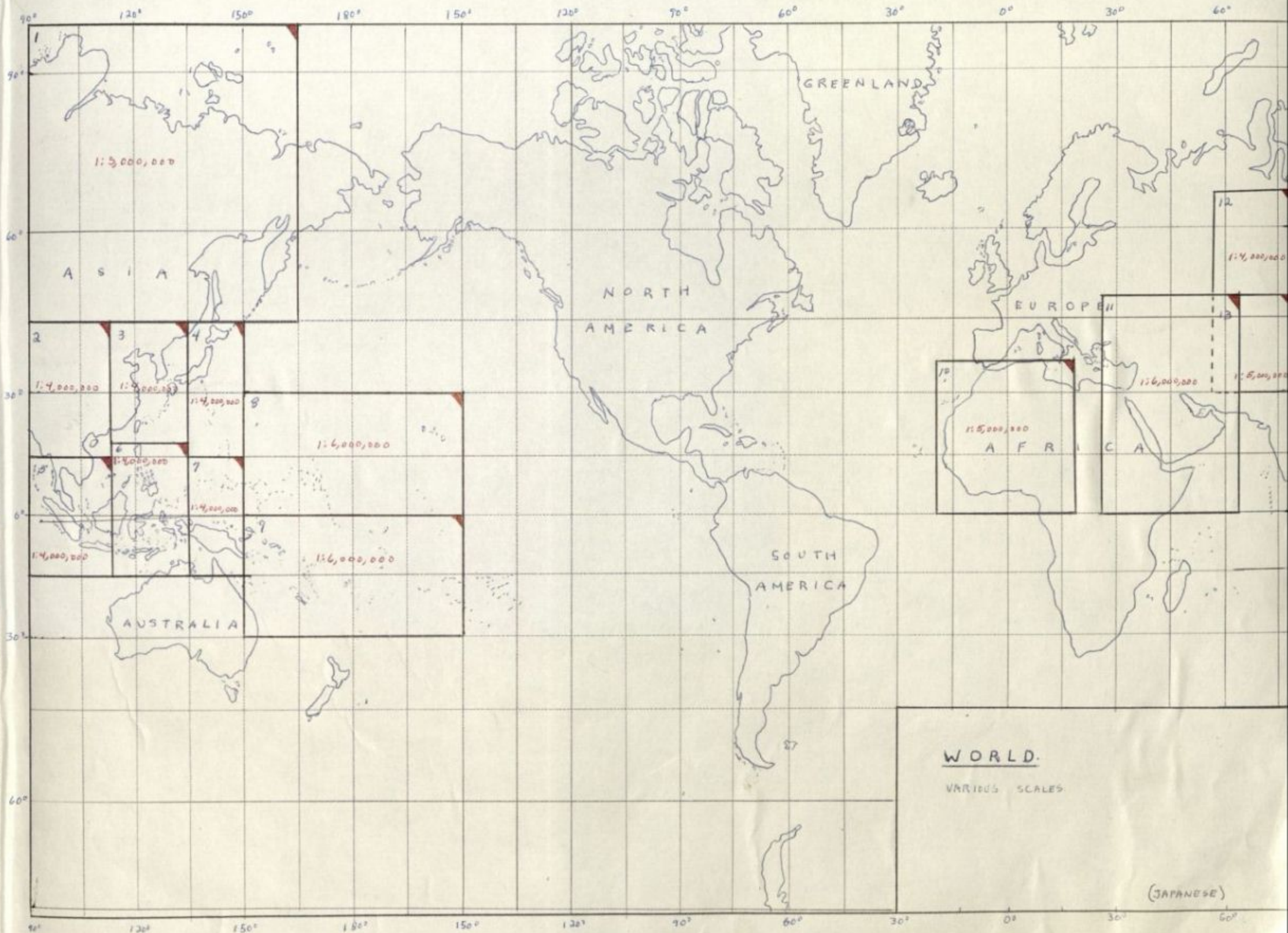

Case R Folder 36

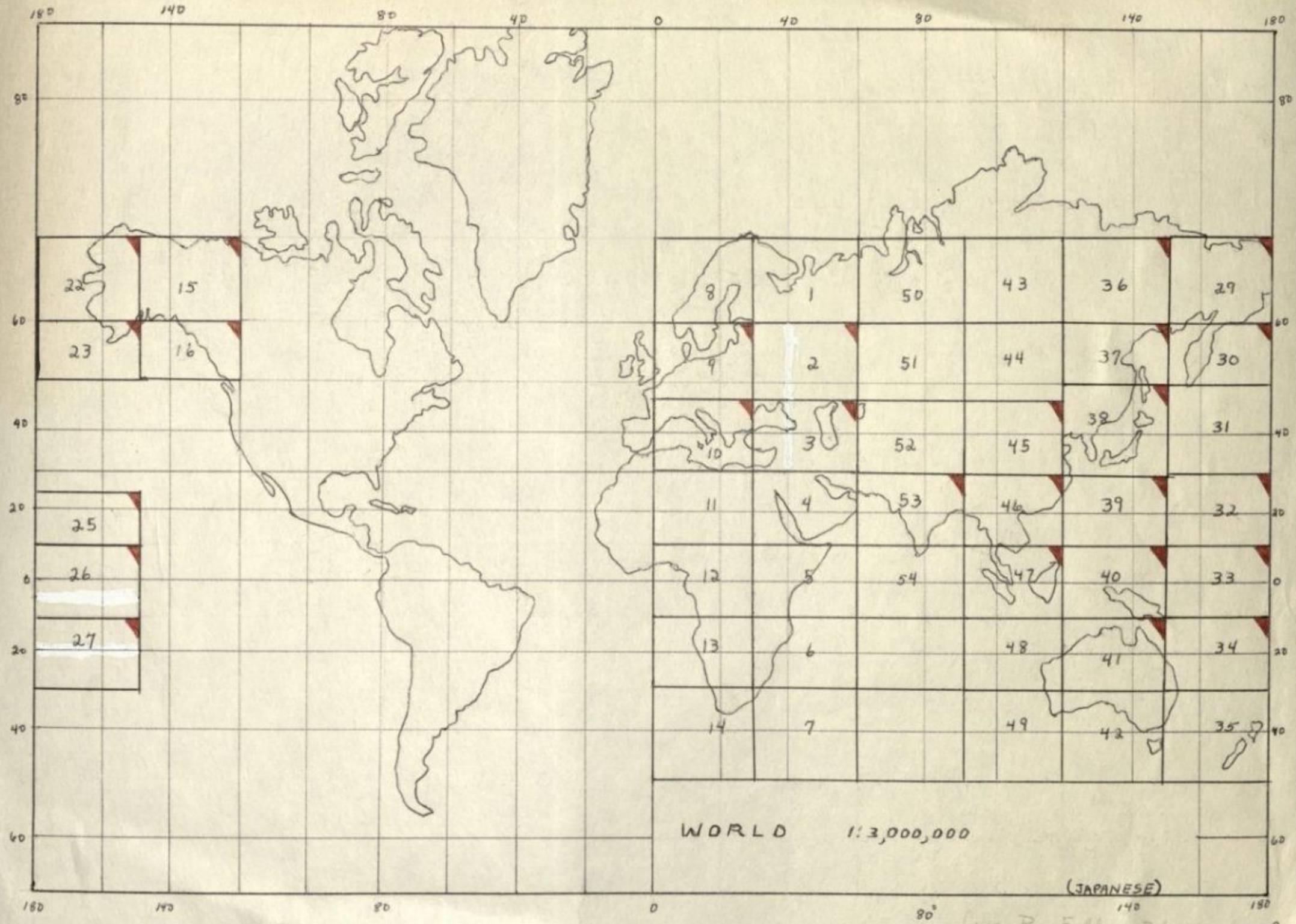

Case R Folder 36

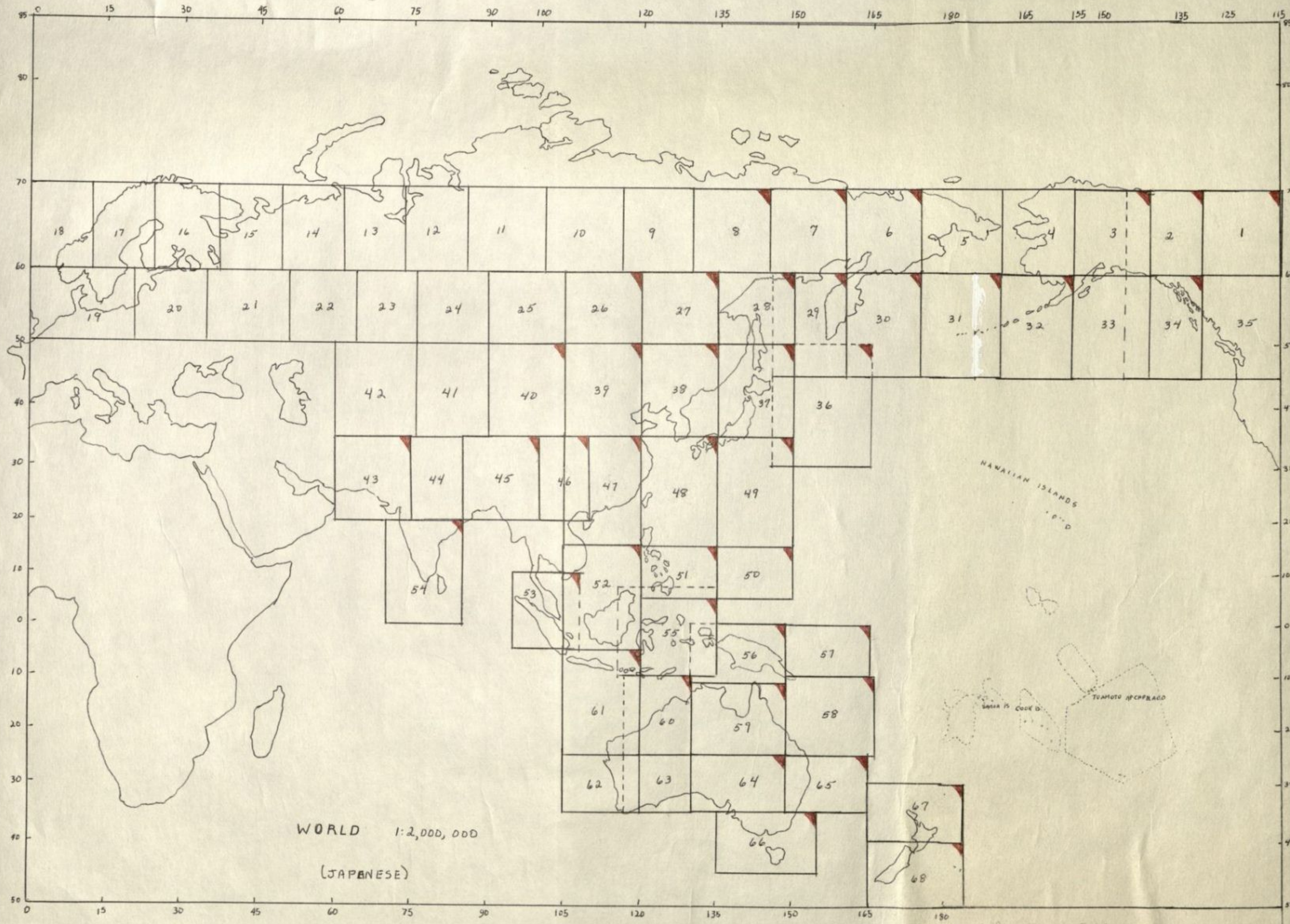
WORLD 1:2,000,000
(JAPANESE)
HAWAIIAN ISLANDS
TUAMOTU ARCHIPELAGO

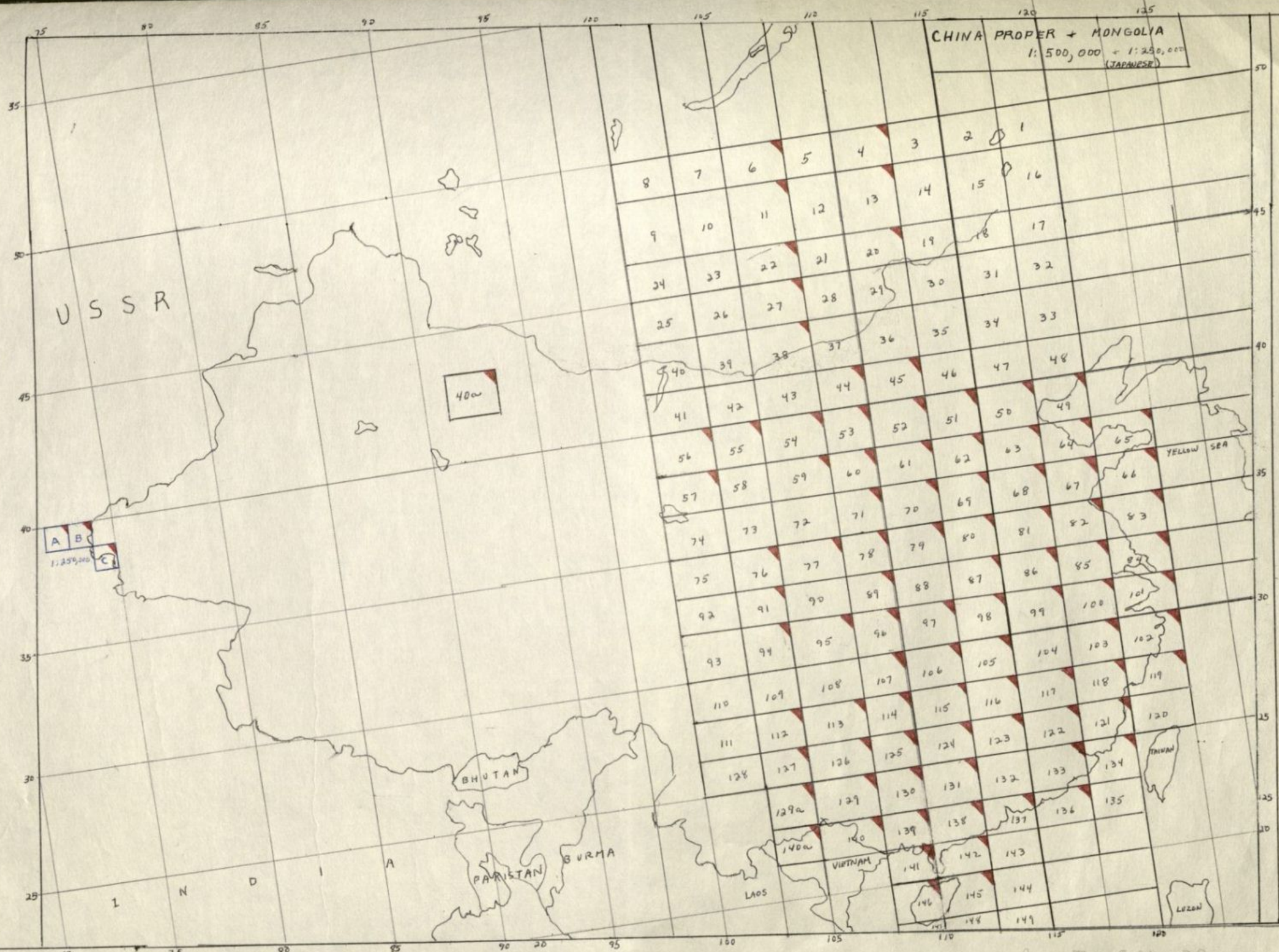

Cases R Folder 39

25.

SERIES DESCRIPTION

TYPE: Topographic; colored, military grid added.

FORMAT: 1° sheets, based on Greenwich.

SOURCE MATERIALS: Compiled from Chinese General Survey maps at 1:100,000, Japanese and U. S. Hydrographic Charts, and British Admiralty Charts.

PREPARATION PROCEDURE: The original sources were mosaicked together to serve as a base for the compilations. Color separation drafting was accomplished on blueline boards made from the compilation.

CHARACTERISTICS: Relief is shown either by form lines or by hilly area shading. Population centers are classified administratively since little populated information is available. Chinese place names are transliterated according to the Modified Wade-Giles System. Chinese generics are translated in a glossary.

COMMUNICATIONS: Roads are classified as to surface and importance. Railroads are classified as to gauge. While this information comes from Intelligence Reports, it is pointed out that such information is meager and has not been checked from reconnaissance.

RELIABILITY: The vertical data used on the various source maps differs greatly, as the surveys were made by several different agencies who apparently did not cooperate with one another. Consequently spot elevations should be referred to only for establishing approximate differences in elevations between points. Numerous inaccuracies occur upon all sheets. Proper cautionary notes regarding reliability of particular items are shown in the margin of the sheets. The horizontal control is unreliable and consequently the exact locations of particular features are questionable. While the maps were compiled from the best available sources, the user should refer to them with extreme caution.

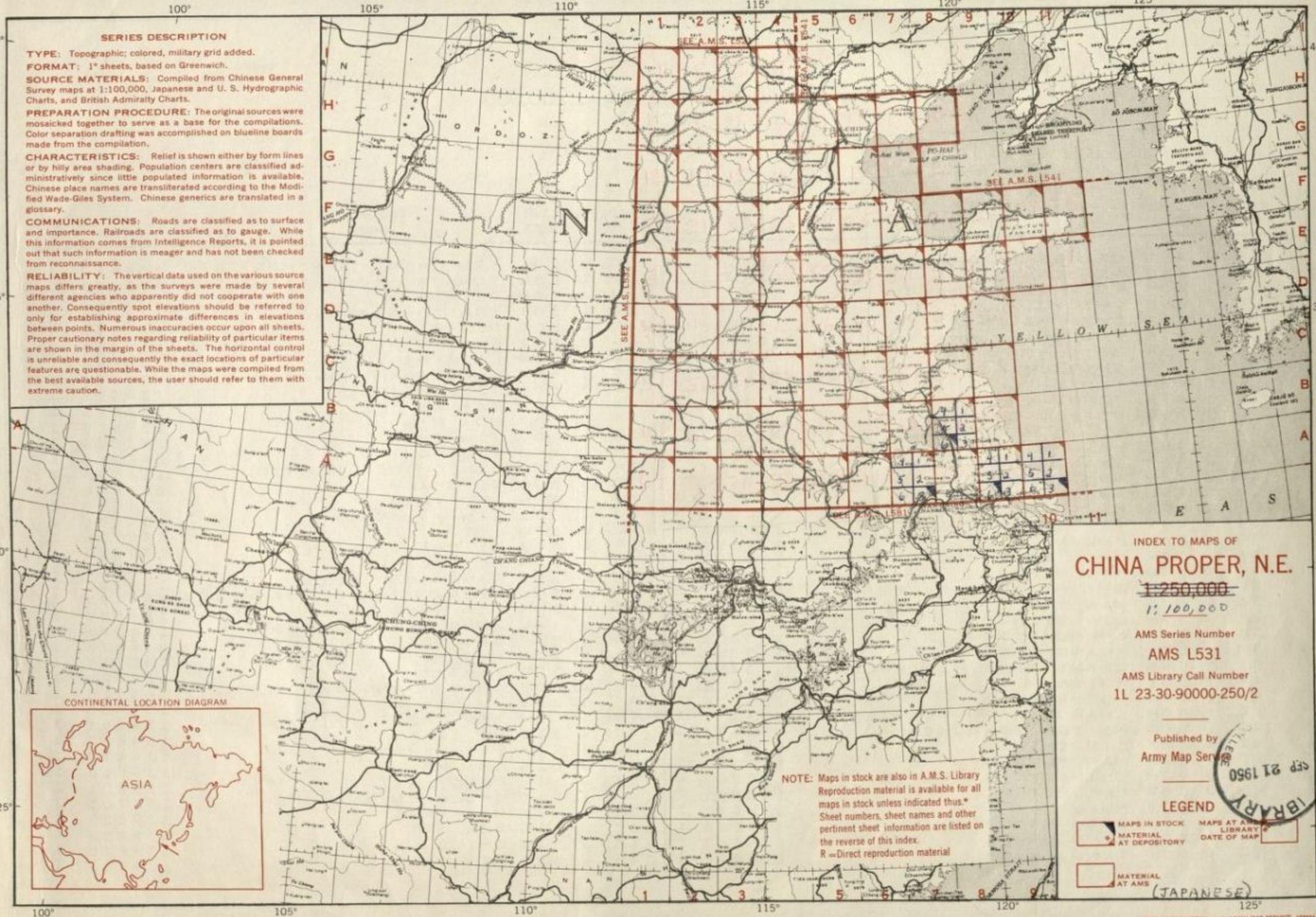

CORPS OF ENGINEERS, U. S. ARMY MAP SERVICE. 150524
9-49 JUNE 1948

Case R Folder 39

26.

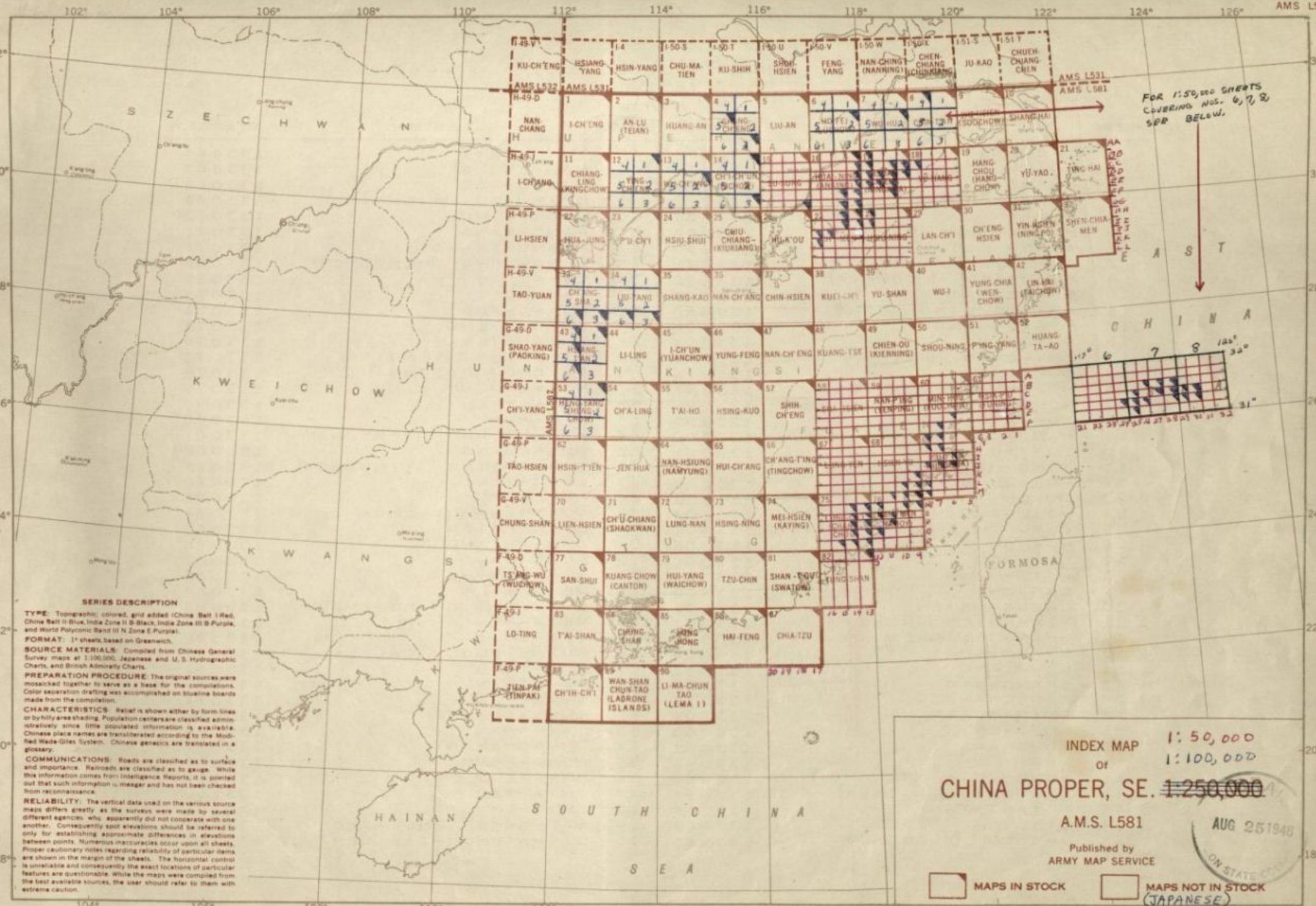
S Z E C H W A N
K W E I C H O W
H U
K W A N G S I
S O U T H C H I N A S E A
HAINAN
FORMOSA
C H I N A
E A S T
FOR 1:50,000 SHEETS COVERING NOS. 6, 7, 8 SEE BELOW.
AMS L531
AMS L581
AMS L532
H-49-V KU-CH'ENG
I-4 HSIAN-YANG
I-50-S HSIN-YANG
I-50-T CHU-MA-TIEN
I-50-U KU-SHIH
I-50-V SHOU-HSIEN
I-50-W FENG-YANG
I-50-X NAN-CHING (NANNING)
I-51-S CHEN-CHIANG (CHINKIANG)
I-51-T JU-KAO
CHUEH-CHIANG-CHEN
H-49-D NAN-CHANG
I-CH'ENG
AN-LU (TEIAN)
HUANG-AN
LIU-AN
SOOCHOW
SHANG-HAI
H-49-J I-CHANG
CHIANG-LING (KIANGCHOW)
HANG-CHOU (HANG-CHOW)
YU-YAO
TING HAI
H-49-P LI-HSIEN
HUA-JUNG
P'U-CH'I
HSIU-SHUI
CHIU-CHIANG-(KIUKIANG)
HU-K'OU
LAN-CH'I
CH'ENG-HSIEN
YIN-HSIEN (NING-PO)
SHEN-CHIA-MEN
H-49-V TAO-YUAN
SHANG-KAO
NAN-CH'ANG
CHIN-HSIEN
KUEI-CH'I
YU-SHAN
WU-I
YUNG-CHIA (WEN-CHOW)
LIN-HAI (TAICHOW)
G-49-D SHAO-YANG (PAOKING)
LI-LING
I-CH'UN (YUANCHOW)
YUNG-FENG
NAN-CH'ENG
KUANG-TSE
CHIEN-OU (KIENNING)
SHOU-NING
P'ING-YANG
HUANG-TA-AO
G-49-J CH'I-YANG
CH'A-LING
T'AI-HO
HSING-KUO
SHIH-CH'ENG
NAN-P'ING (YENPING)
G-49-P TAO-HSIEN
HSIN-T'IEN
JEN-HUA
NAN-HSIUNG (NAMYUNG)
HUI-CH'ANG
CH'ANG-T'ING (TINGCHOW)
G-49-V CHUNG-SHAN
LIEN-HSIEN
CH'U-CHIANG (SHAOKWAN)
LUNG-NAN
HSING-NING
MEI-HSIEN (KAYING)
F-49-D TS'ANG-WU (WUCHOW)
SAN-SHUI
KUANG-CHOW (CANTON)
HUI-YANG (WAICHOW)
TZU-CHIN
SHAN-TOU (SWATOW)
F-49-J LO-TING
T'AI-SHAN
CHUNG-SHAN
HONG KONG
HAI-FENG
CHIA-TZU
F-49-P TIEN-PAI (TINPAK)
CH'IH-CH'I
WAN-SHAN CHUN-TAO (LADRONE ISLANDS)
LI-MA-CHUN TAO (LEMA I)
SERIES DESCRIPTION
TYPE: Topographic; colored, grid added (China Belt I-Red, China Belt II-Blue, India Zone II B-Black, India Zone III B-Purple, and World Polyconic Band III N Zone E-Purple).
FORMAT: 1° sheets based on Greenwich.
SOURCE MATERIALS: Compiled from Chinese General Survey maps at 1:100,000, Japanese and U. S. Hydrographic Charts, and British Admiralty Charts.
PREPARATION PROCEDURE: The original sources were mosaicked together to serve as a base for the compilations. Color separation drafting was accomplished on blueline boards made from the compilation.
CHARACTERISTICS: Relief is shown either by form lines or by hilly area shading. Population centers are classified administratively since little populated information is available. Chinese place names are transliterated according to the Modified Wade-Giles System. Chinese genesics are translated in a glossary.
COMMUNICATIONS: Roads are classified as to surface and importance. Railroads are classified as to gauge. While this information comes from Intelligence Reports, it is pointed out that such information is meager and has not been checked from reconnaissance.
RELIABILITY: The vertical data used on the various source maps differs greatly as the surveys were made by several different agencies who apparently did not cooperate with one another. Consequently spot elevations should be referred to only for establishing approximate differences in elevations between points. Numerous inaccuracies occur upon all sheets. Proper cautionary notes regarding reliability of particular items are shown on the margin of the sheets. The horizontal control is unreliable and consequently the exact locations of particular features are questionable. While the maps were compiled from the best available sources, the user should refer to them with extreme caution.
INDEX MAP
Of
CHINA PROPER, SE. ~~1:250,000~~ 1:50,000 1:100,000
A.M.S. L581
Published by
ARMY MAP SERVICE
MAPS IN STOCK
MAPS NOT IN STOCK (JAPANESE)
AUG 25 1948
CORRECT TO JUNE 1946
ARMY MAP SERVICE, U. S. ARMY, WASHINGTON, D. C. 150777

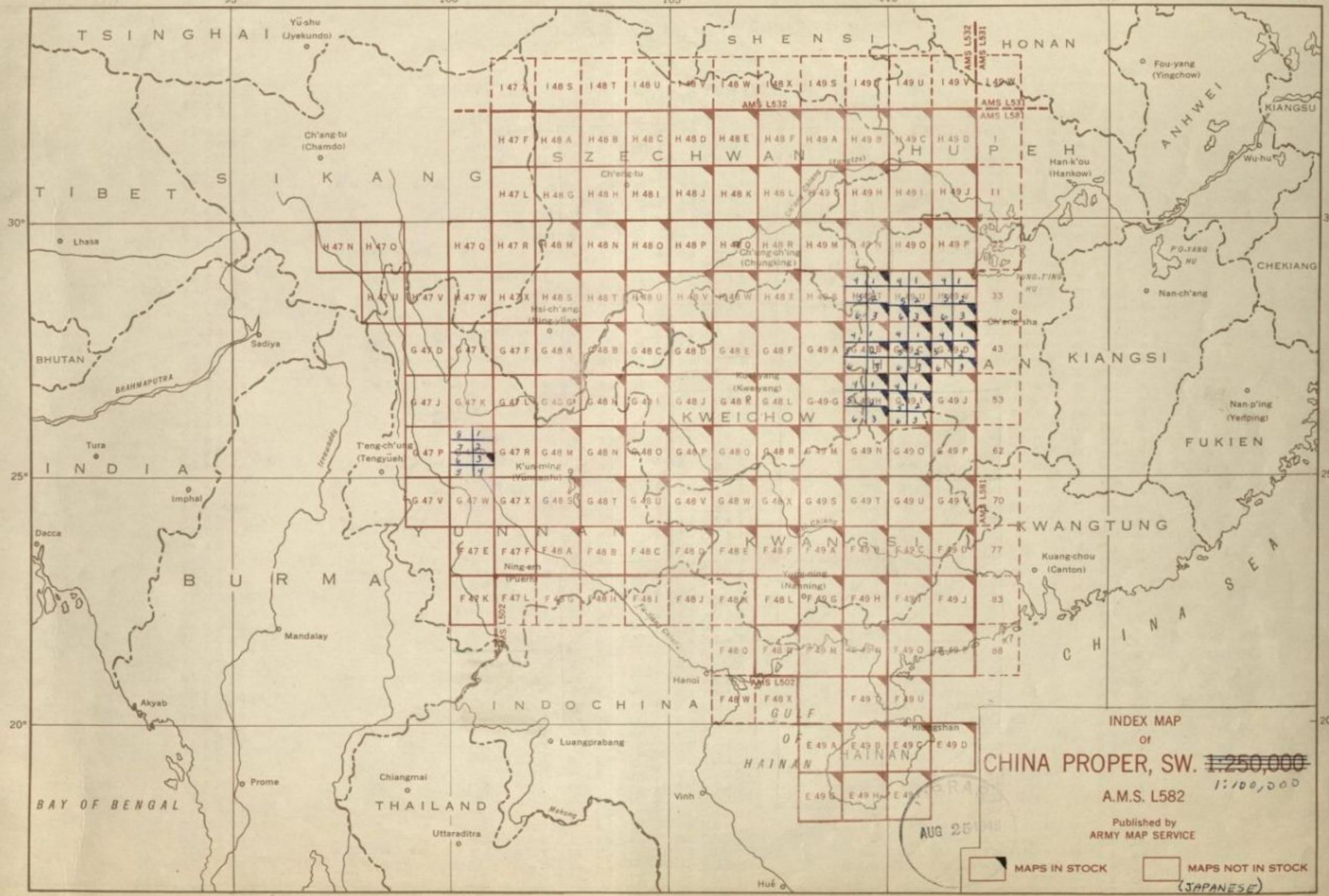

CORRECT TO DECEMBER 1945
ARMY MAP SERVICE, U.S. ARMY, WASHINGTON, D.C. 150325
2-46

Case R Folder 39

28.

Numbers 1 through 4 would lie directly over numbers 5 through 8. We have all sheets except # 2

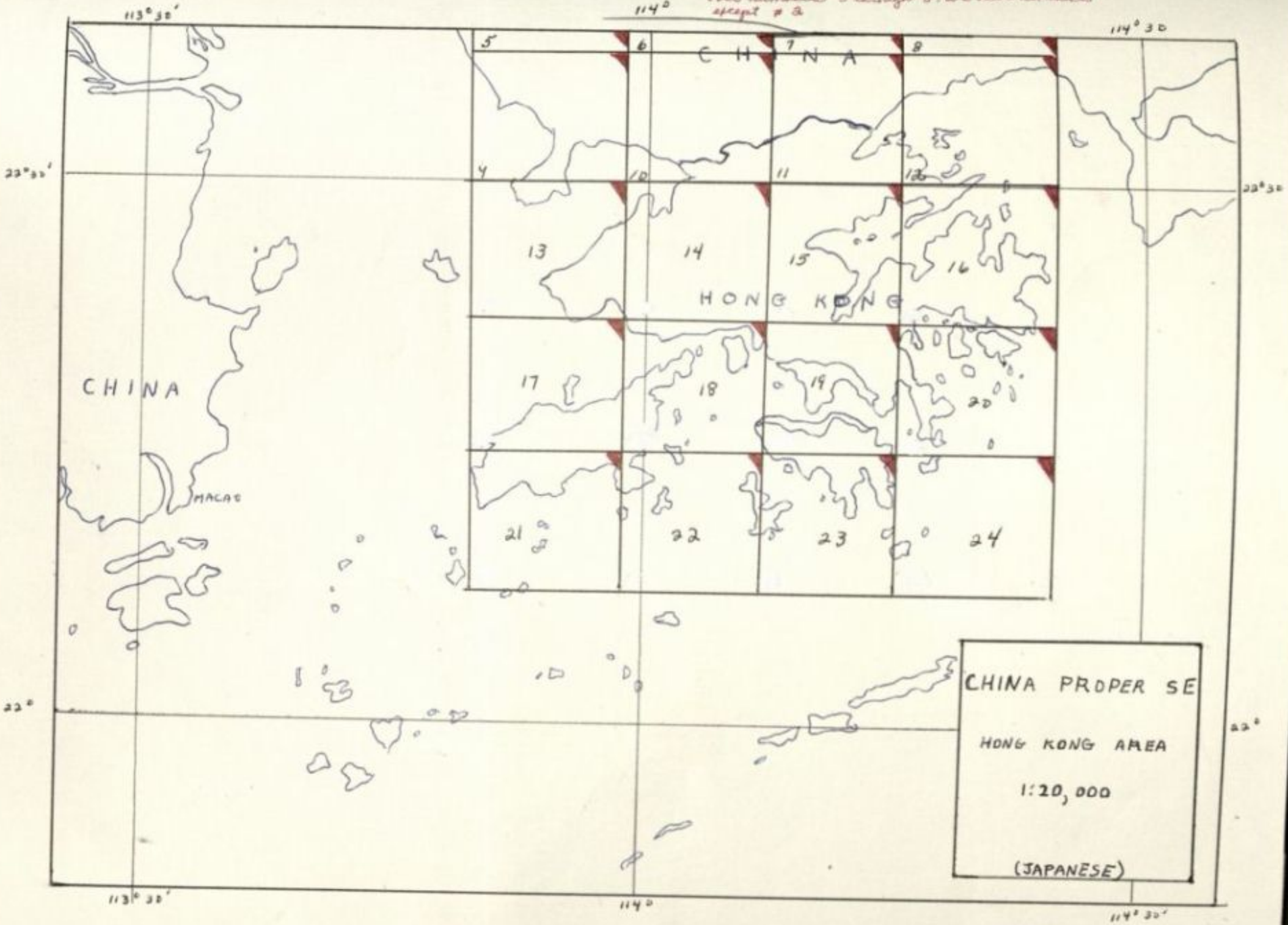

Case R Folder 39

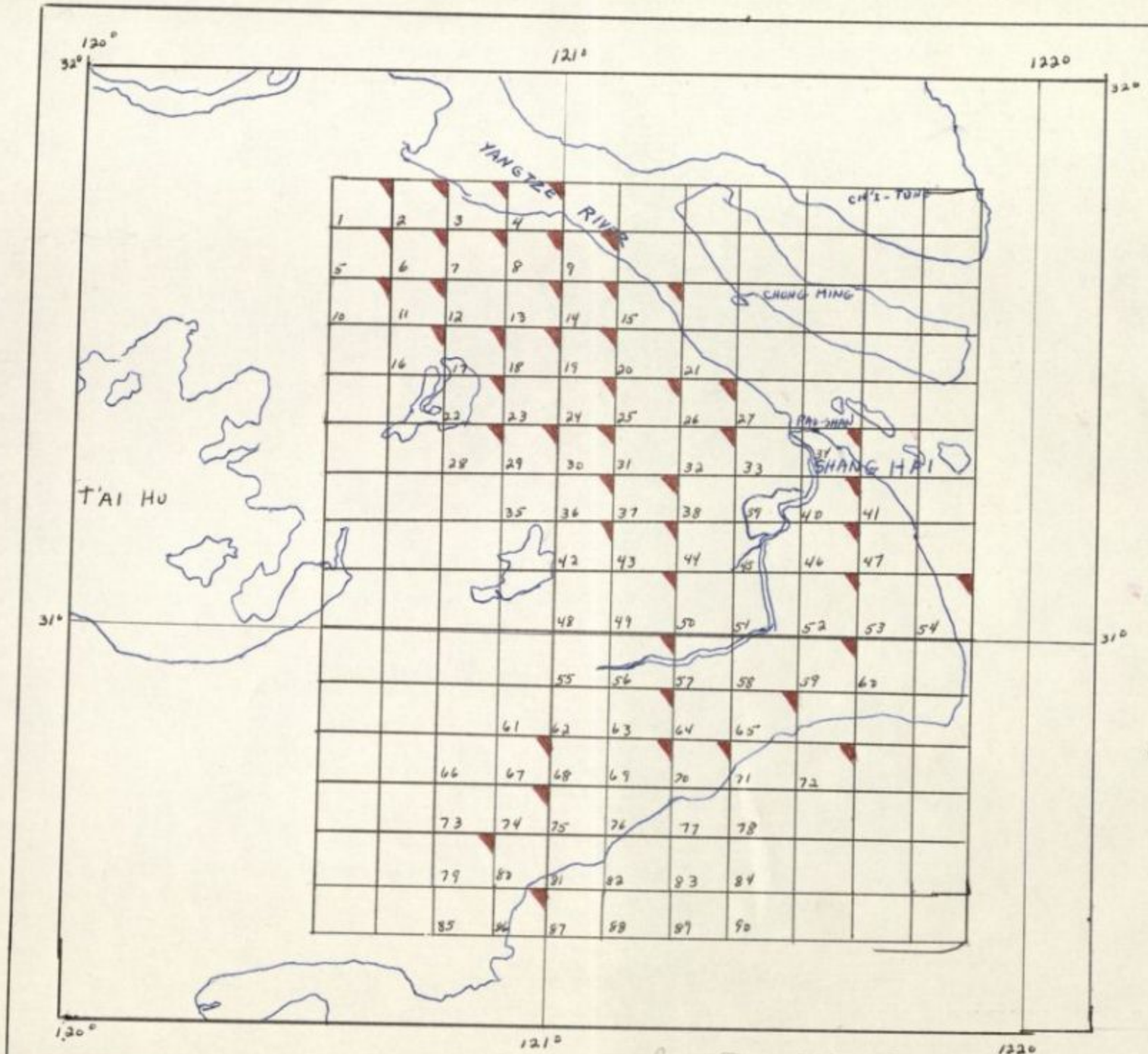

CHINA

SHANGHAI AREA

1:25,000

(JAPANESE)

Cover R Folder 39

CHINA

COASTAL AREA

NO SCALE

(JAPANESE)

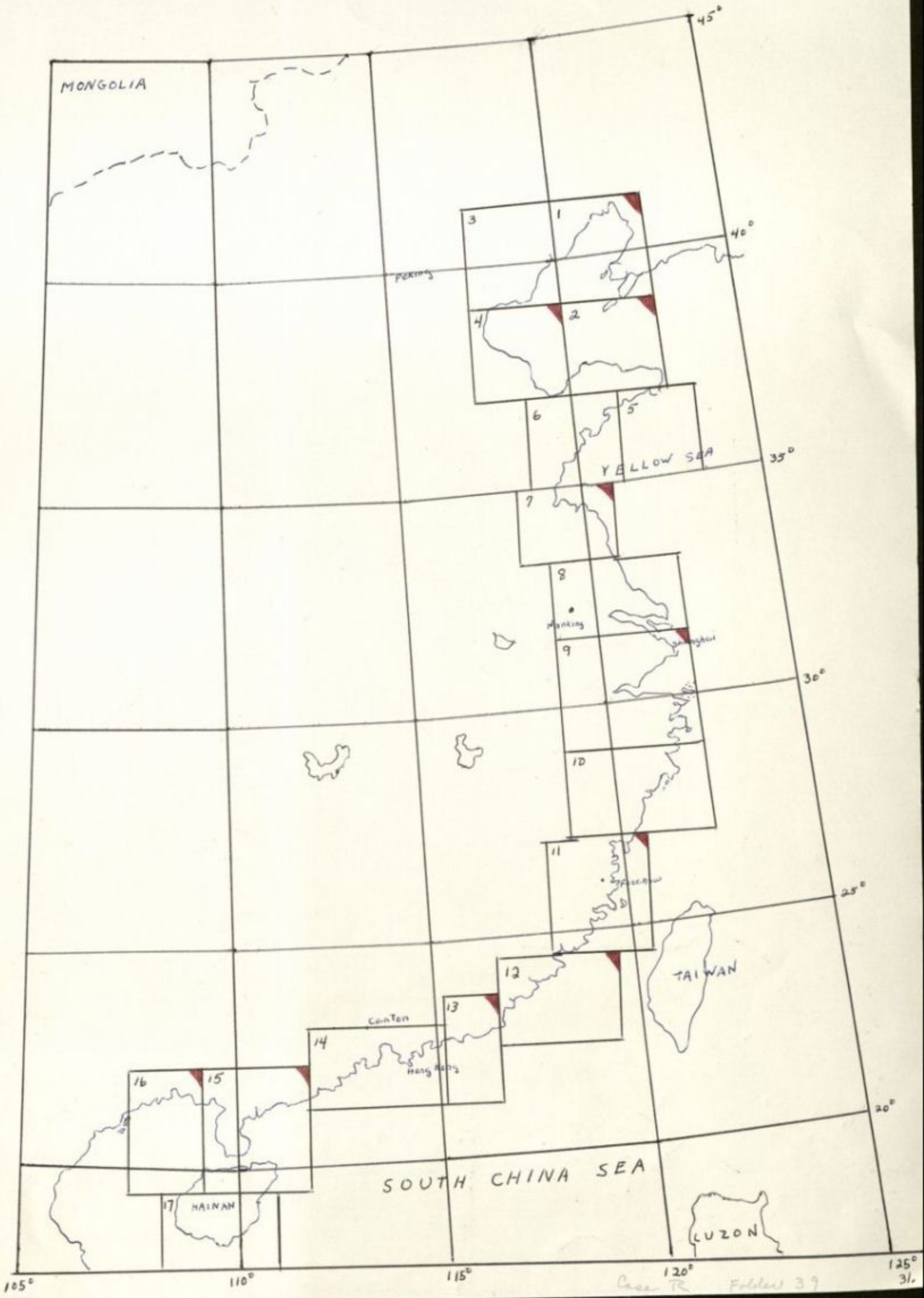

Case R Folder 39

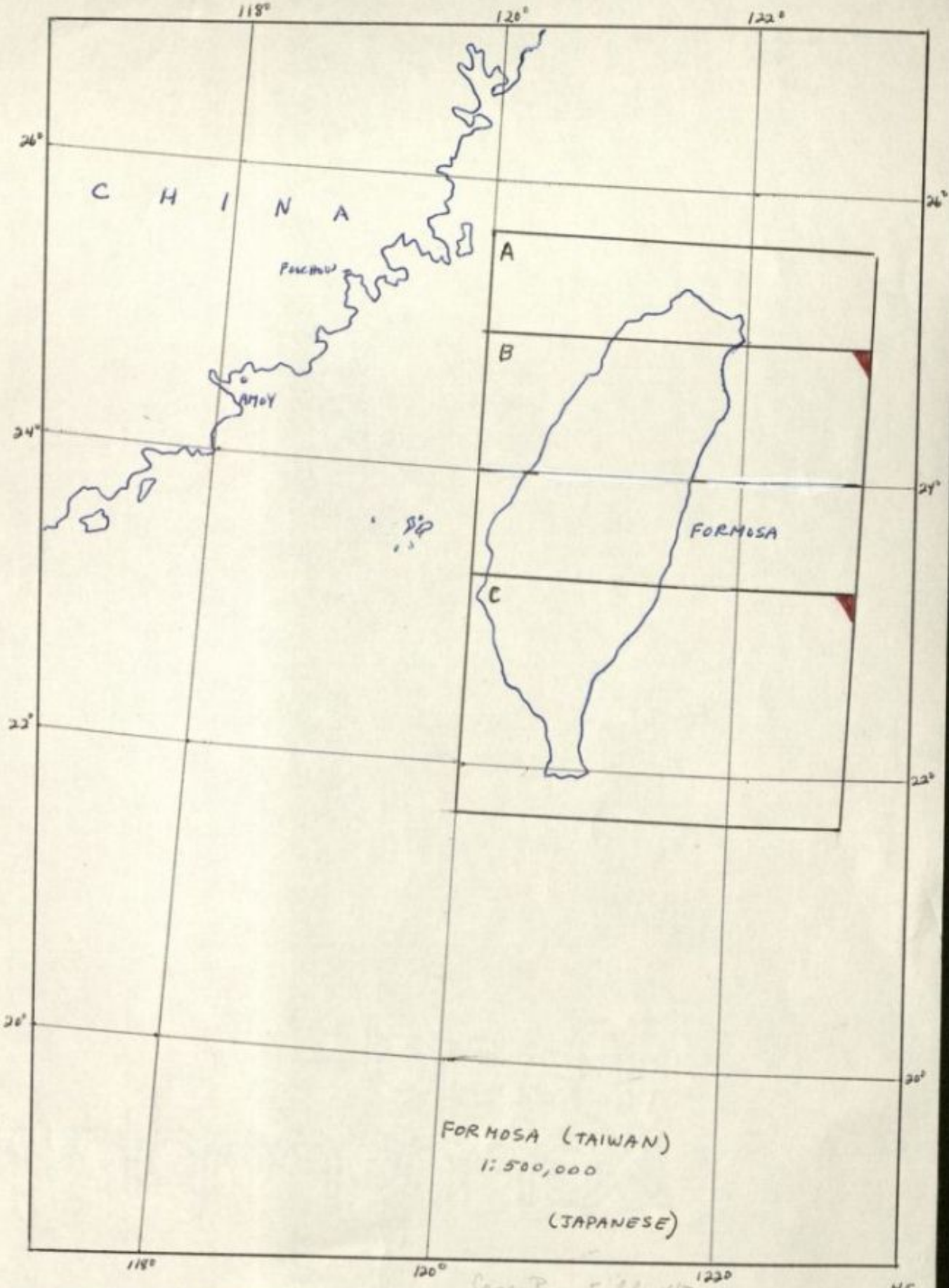
118°
120°
122°
26°
24°
22°
20°
C H I N A
FOOCHOW
AMOY
A
B
C
FORMOSA
FORMOSA (TAIWAN)
1:500,000
(JAPANESE)

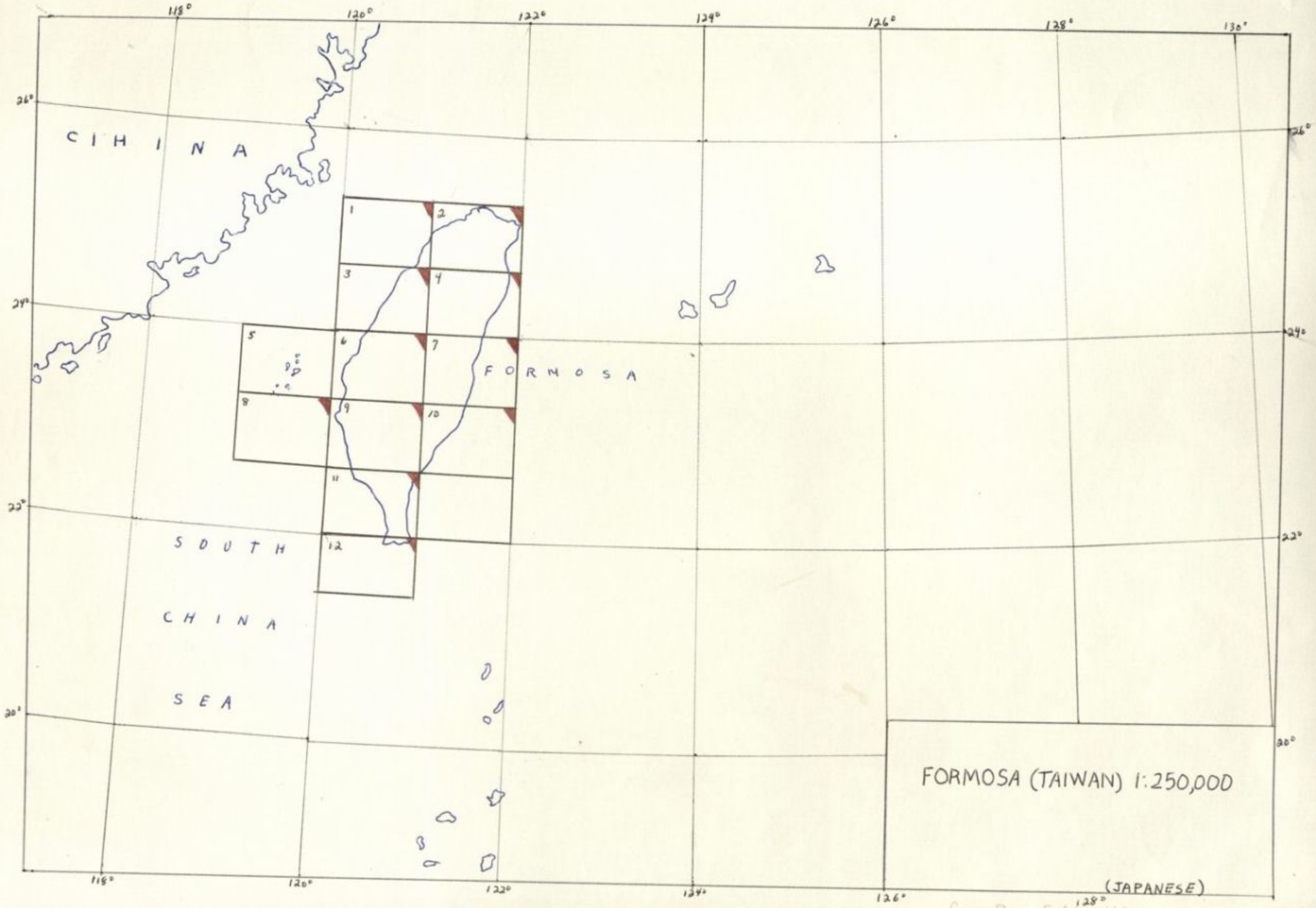

Case R Folder 40

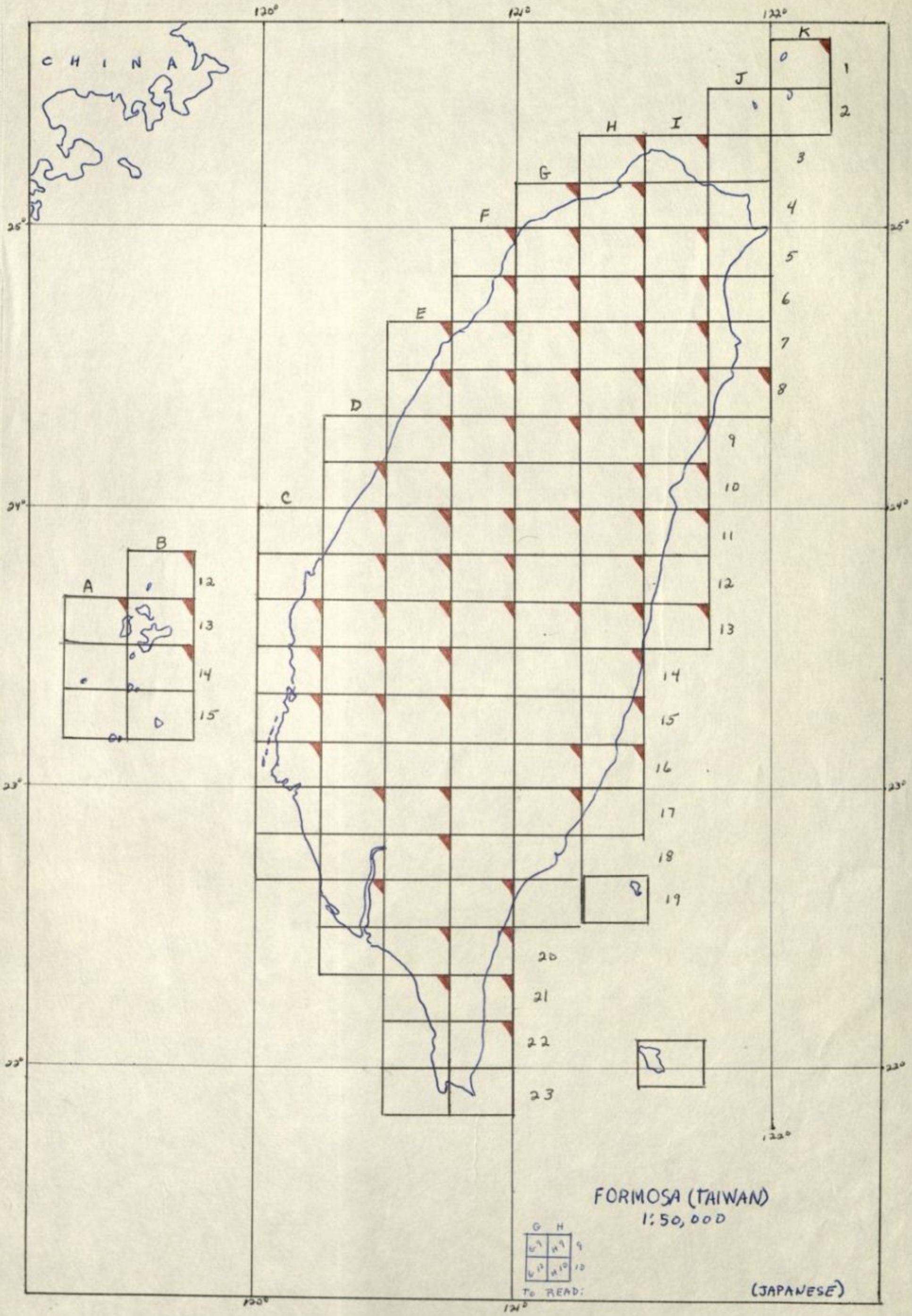
CHINA
120°
121°
122°
25°
24°
23°
22°
A
B
C
D
E
F
G
H
I
J
K
0
1
2
3
4
5
6
7
8
9
10
11
12
13
14
15
16
17
18
19
20
21
22
23
FORMOSA (TAIWAN)
1:50,000
G H
TO READ:
(JAPANESE)

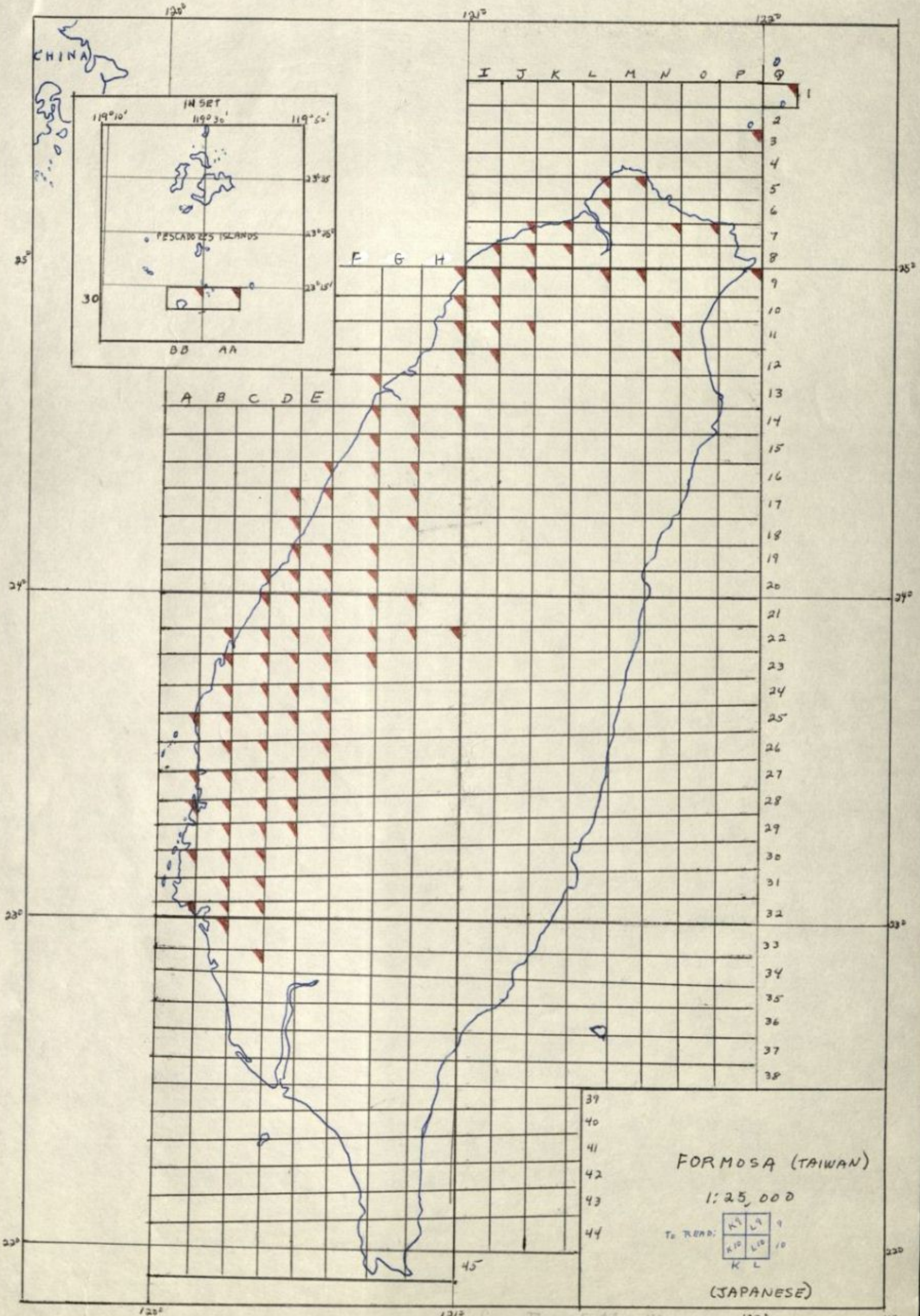
CHINA
INSET
119°10'
119°30'
119°50'
23°25'
23°20'
23°15'
PESCADORES ISLANDS
30
BB
AA
A B C D E
F G H
I J K L M N O P Q
120°
121°
122°
25°
24°
23°
22°
45
FORMOSA (TAIWAN)
1:25,000
To READ:
K9 L9 9
K10 L10 10
K L
(JAPANESE)

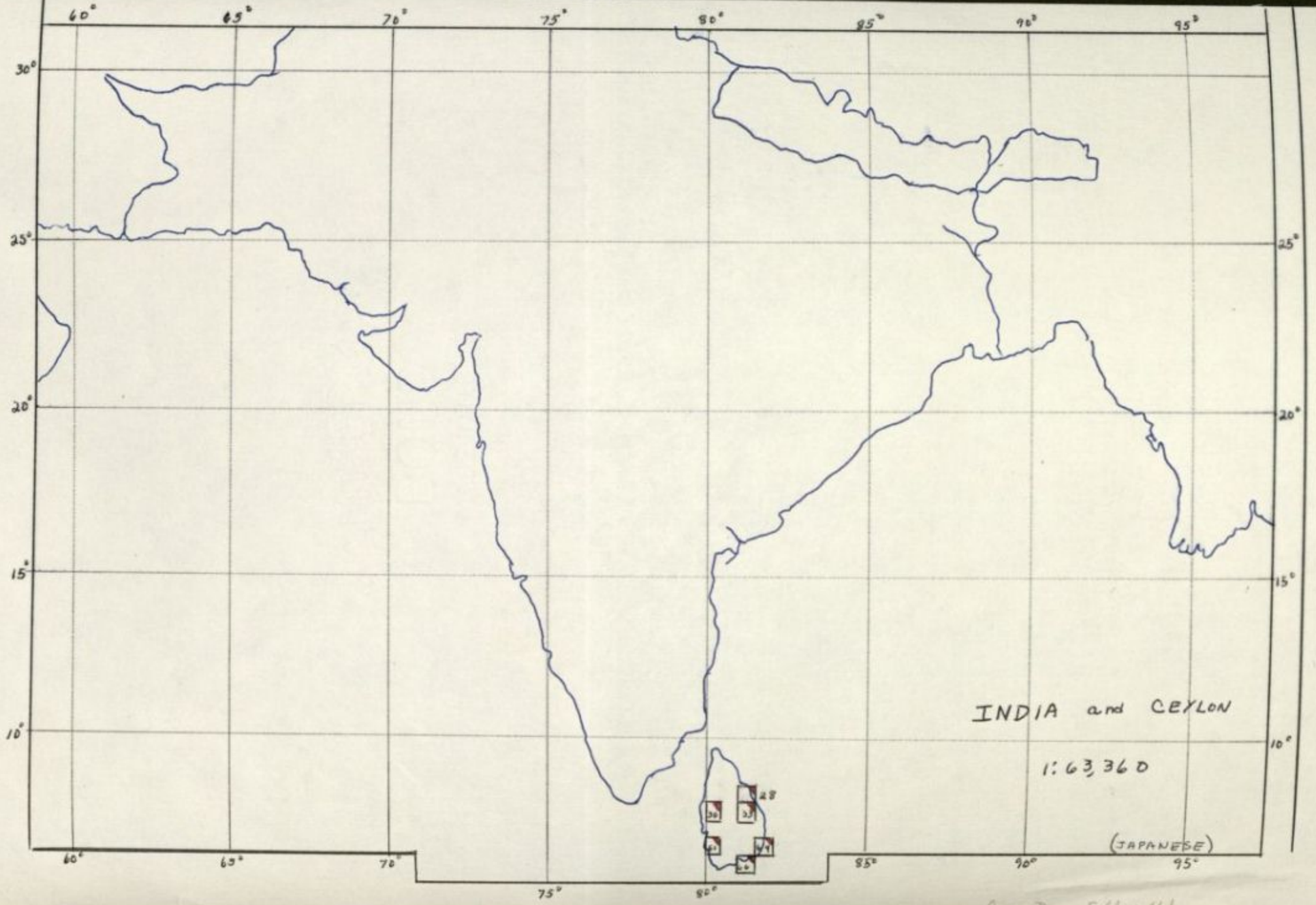
60°
65°
70°
75°
80°
85°
90°
95°
30°
25°
20°
15°
10°
INDIA and CEYLON
1:63,360
(JAPANESE)
28
36
37
44
45
46

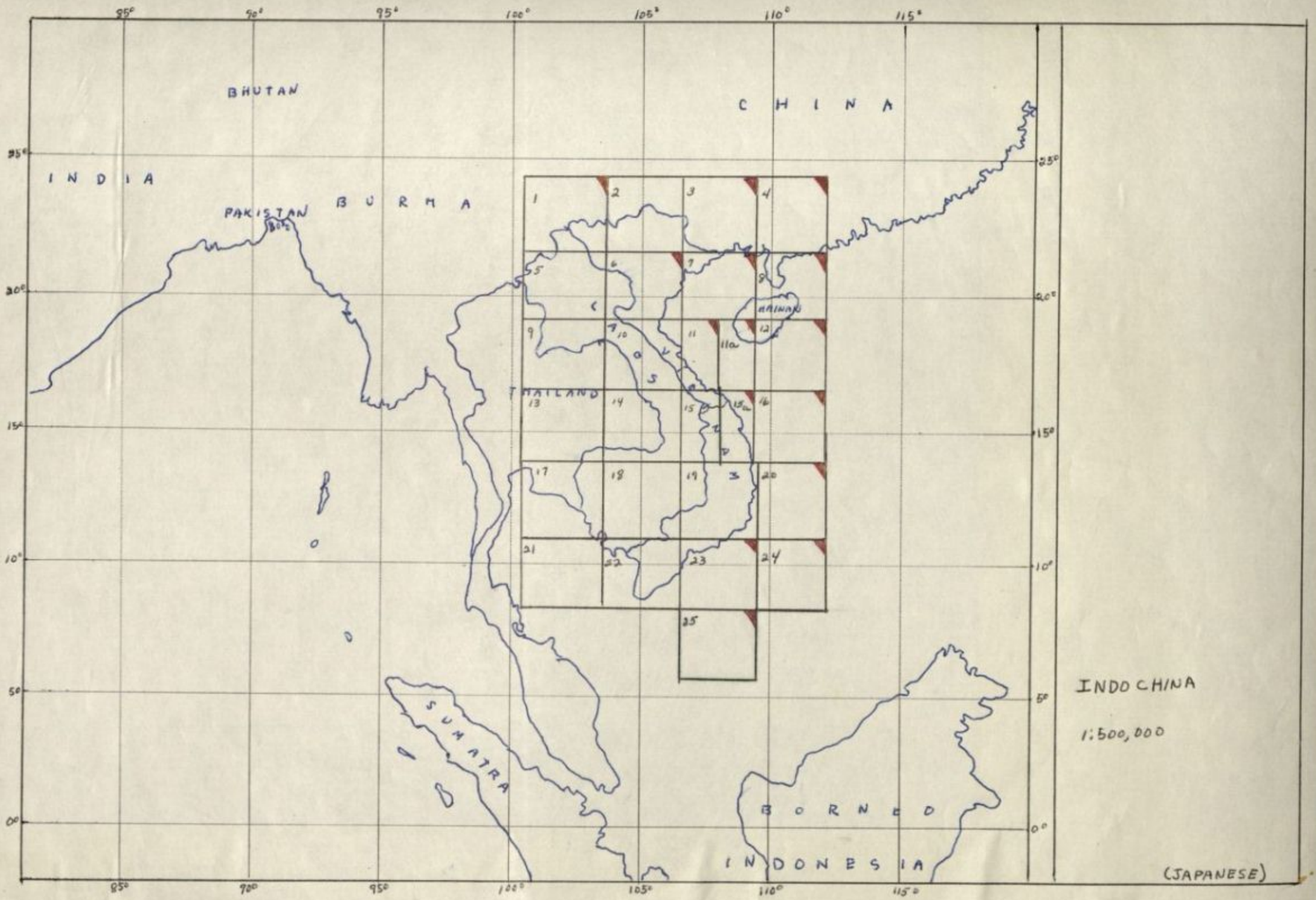
BHUTAN
CHINA
INDIA
PAKISTAN
BURMA
THAILAND
HAINAN
SUMATRA
BORNEO
INDONESIA
INDOCHINA
1:500,000
(JAPANESE)

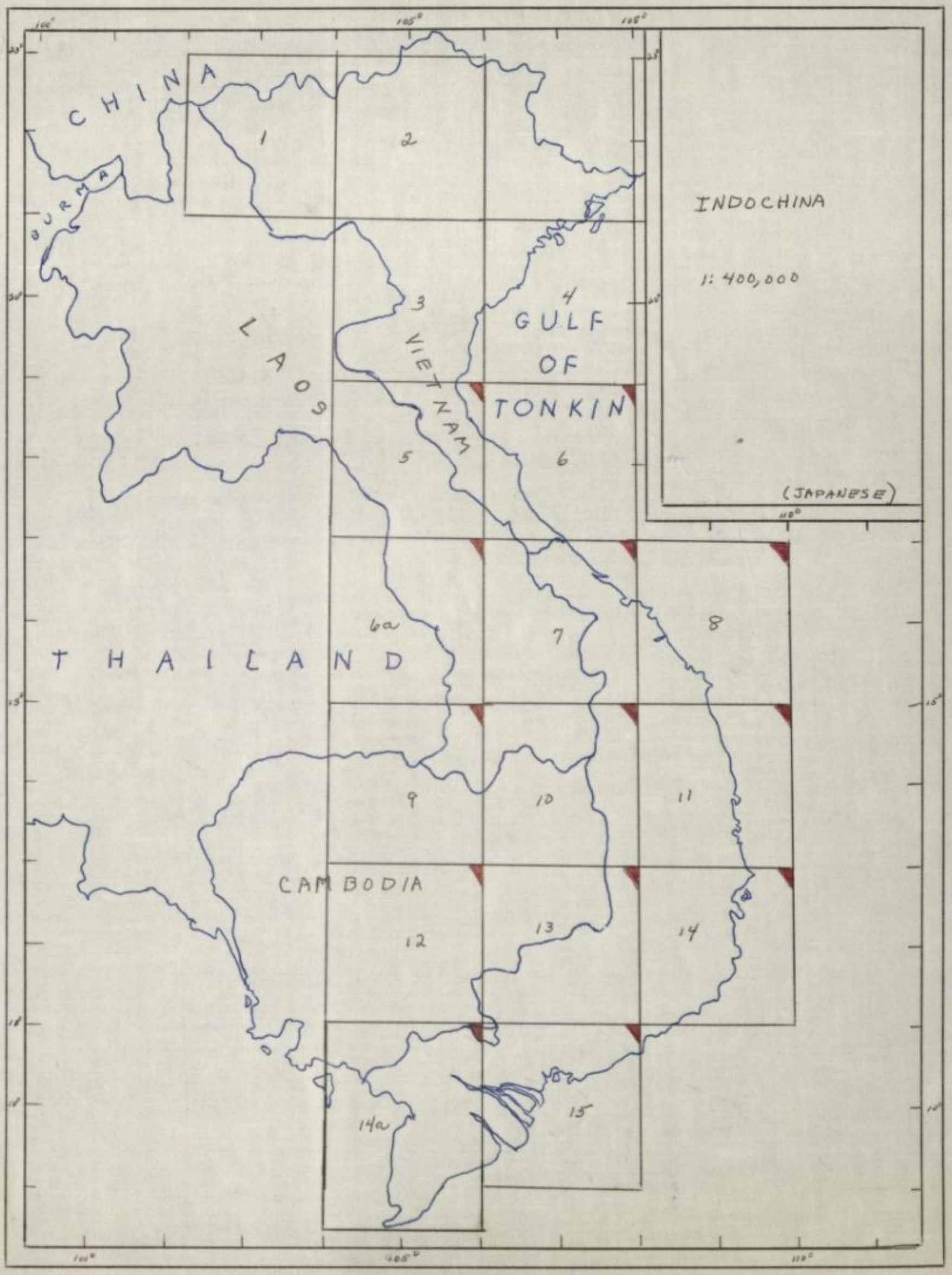
CHINA
BURMA
LAOS
VIETNAM
GULF OF TONKIN
THAILAND
CAMBODIA
INDOCHINA
1: 400,000
(JAPANESE)
1
2
3
4
5
6
6a
7
8
9
10
11
12
13
14
14a
15

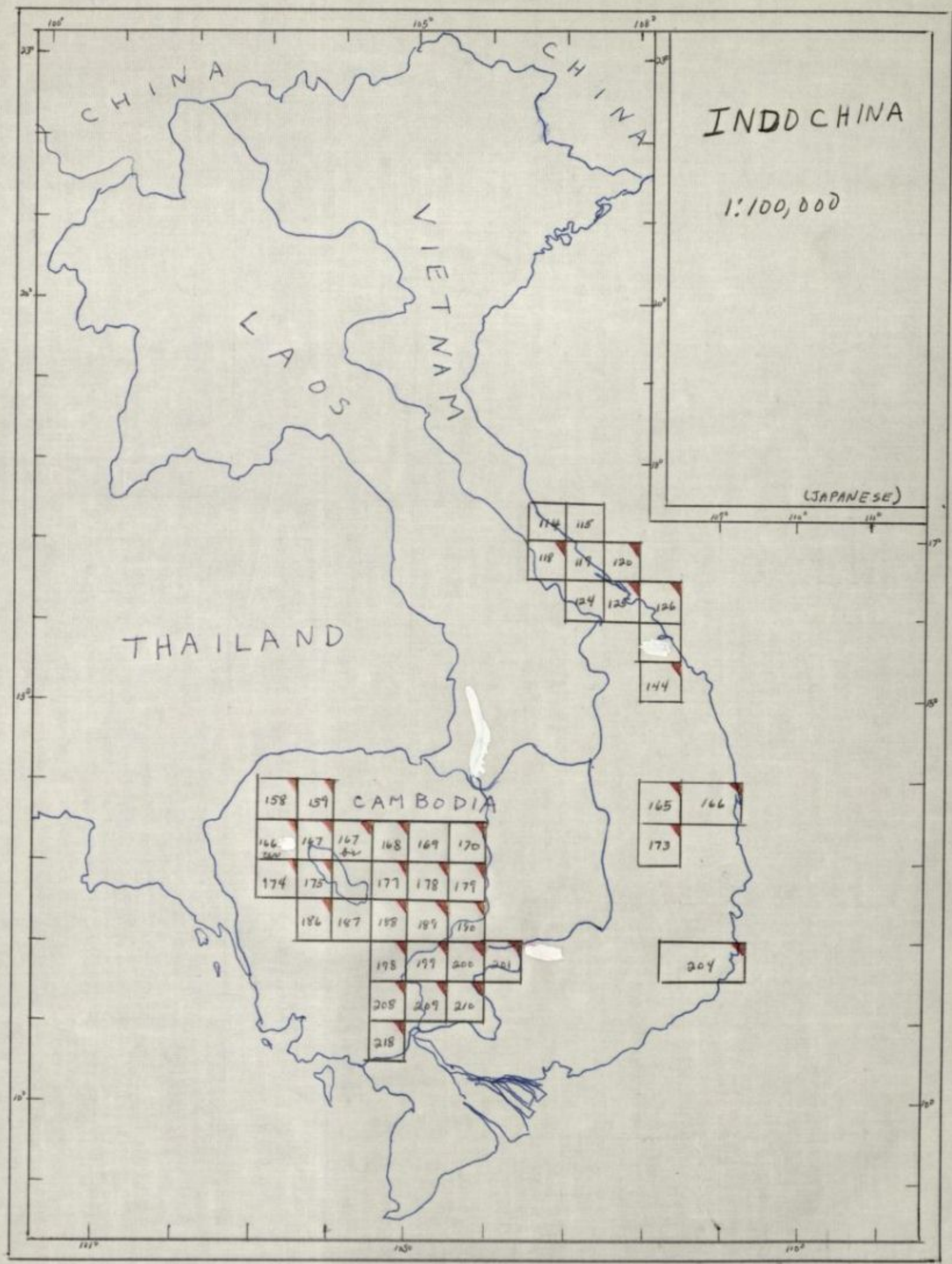

Case R Folder 41

Cover R Folder 41

75.

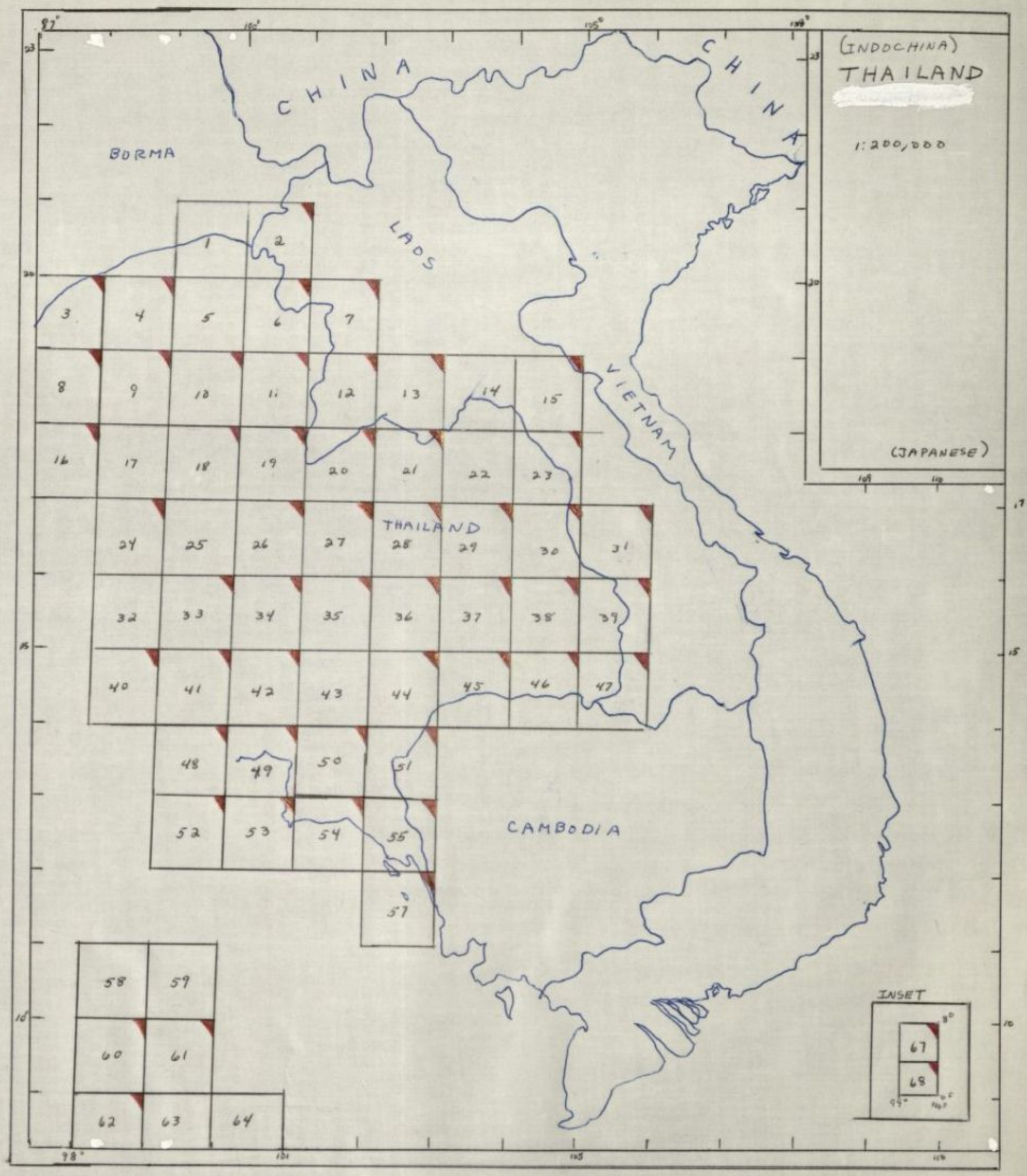

Cover R Folder 41

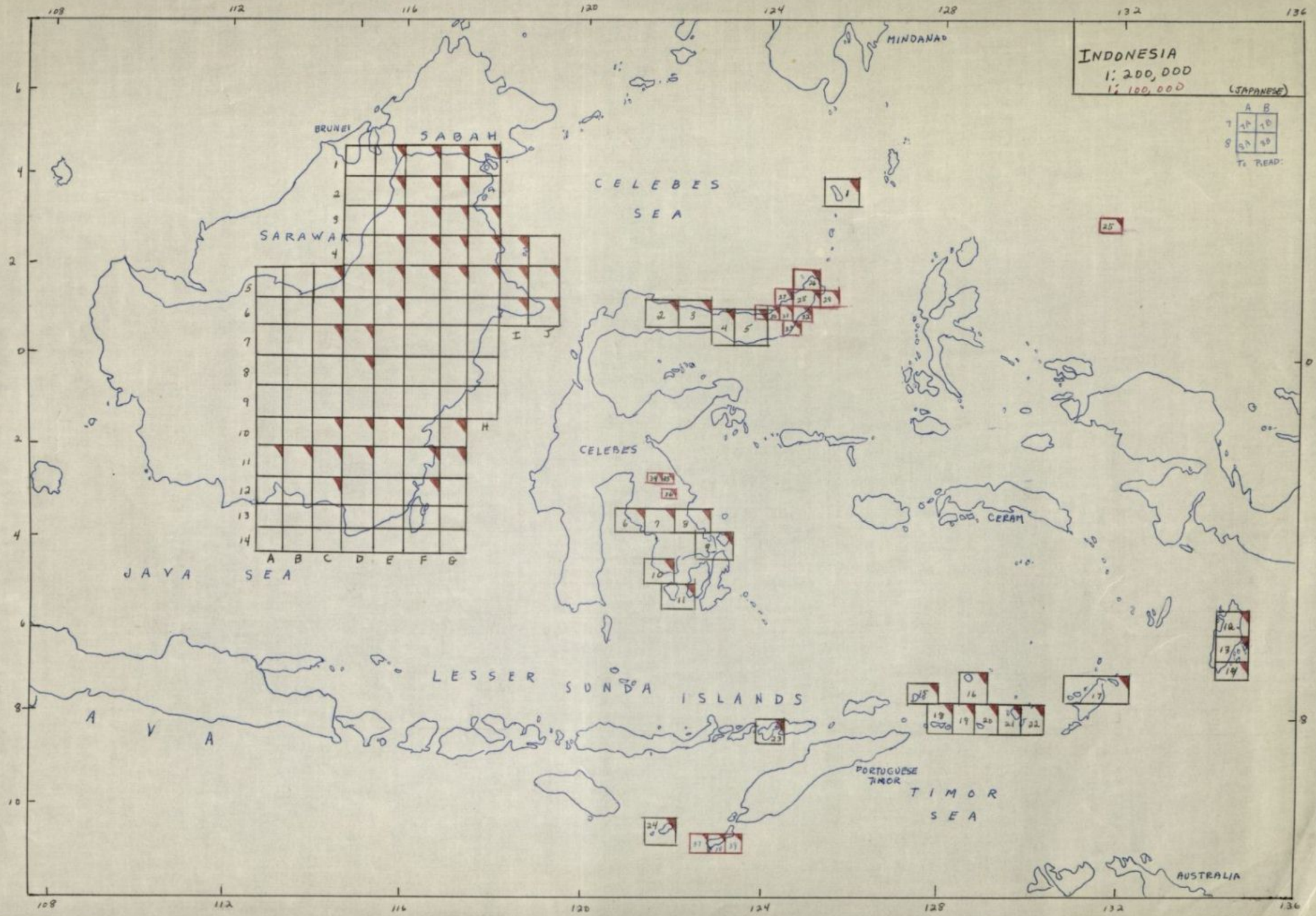
INDONESIA
1: 200,000
1: 100,000
(JAPANESE)
A B
7 7A 7B
8 8A 8B
TO READ:
MINDANAO
BRUNEI
SABAH
SARAWAK
CELEBES SEA
CELEBES
CERAM
JAVA SEA
LESSER SUNDA ISLANDS
JAVA
PORTUGUESE TIMOR
TIMOR SEA
AUSTRALIA
108 112 116 120 124 128 132 136
6 4 2 0 2 4 6 8 10

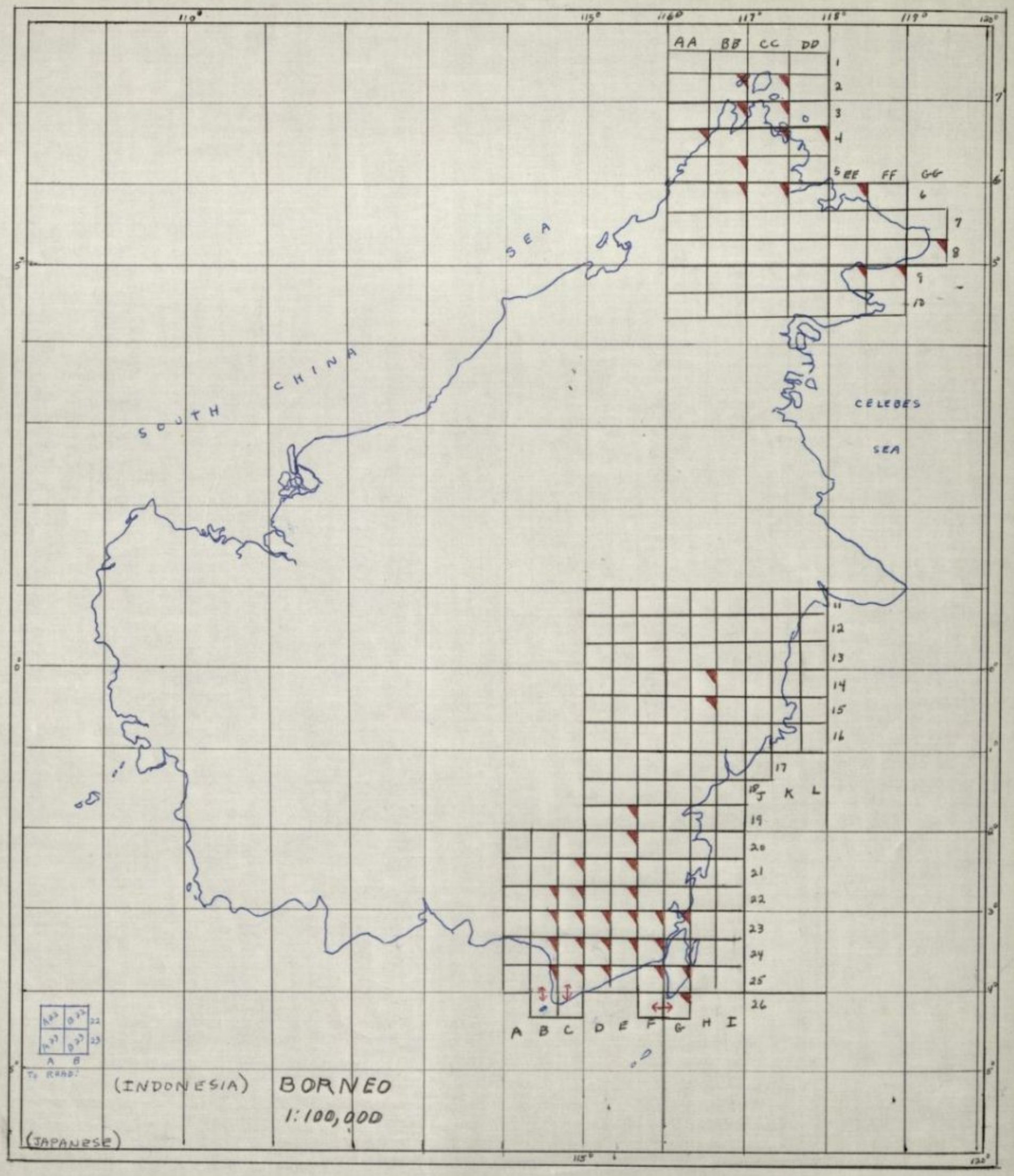

Case R Folder 42

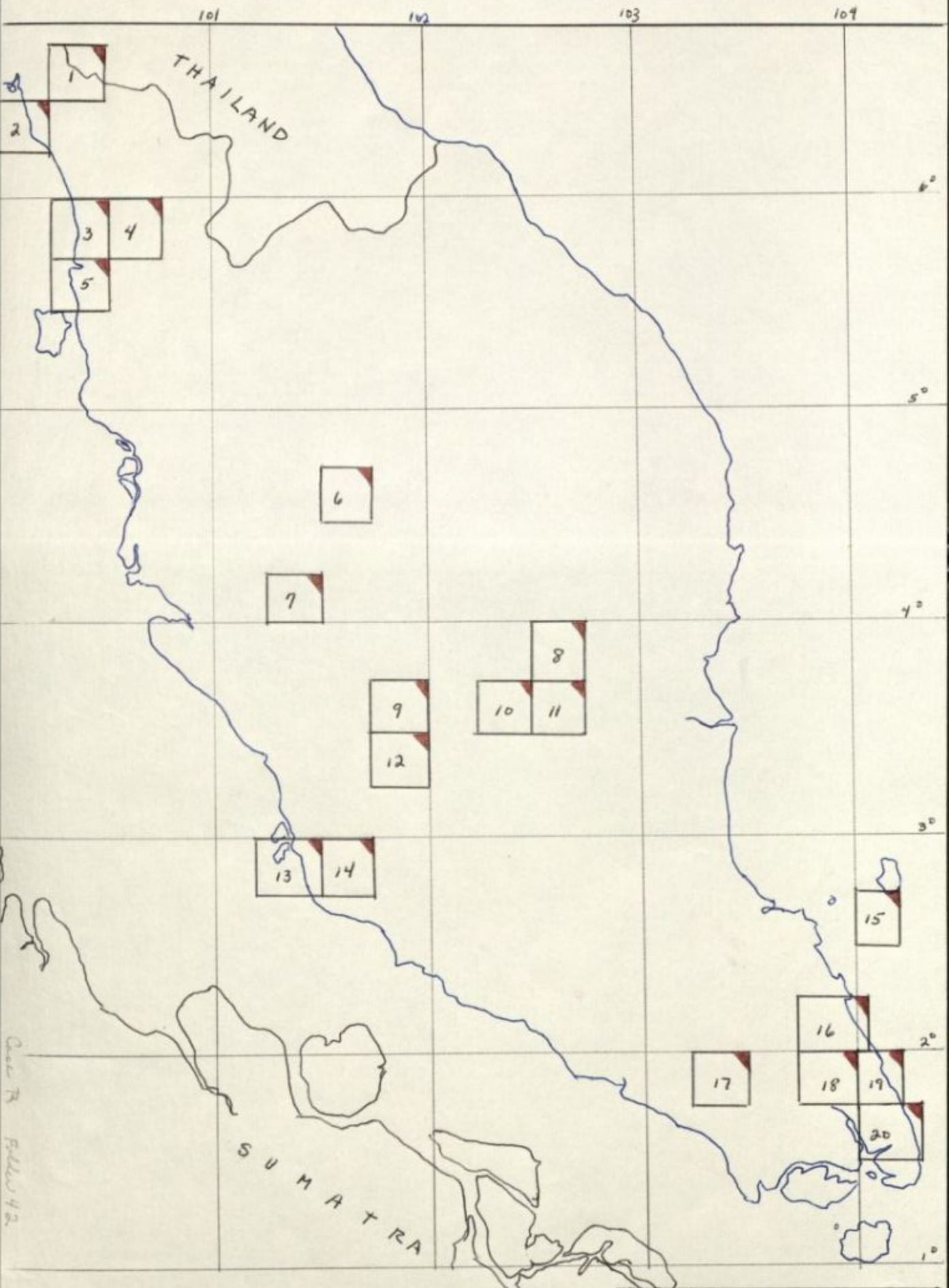

(INDONESIA)
MALAY STATES
1:50,000

(JAPANESE)

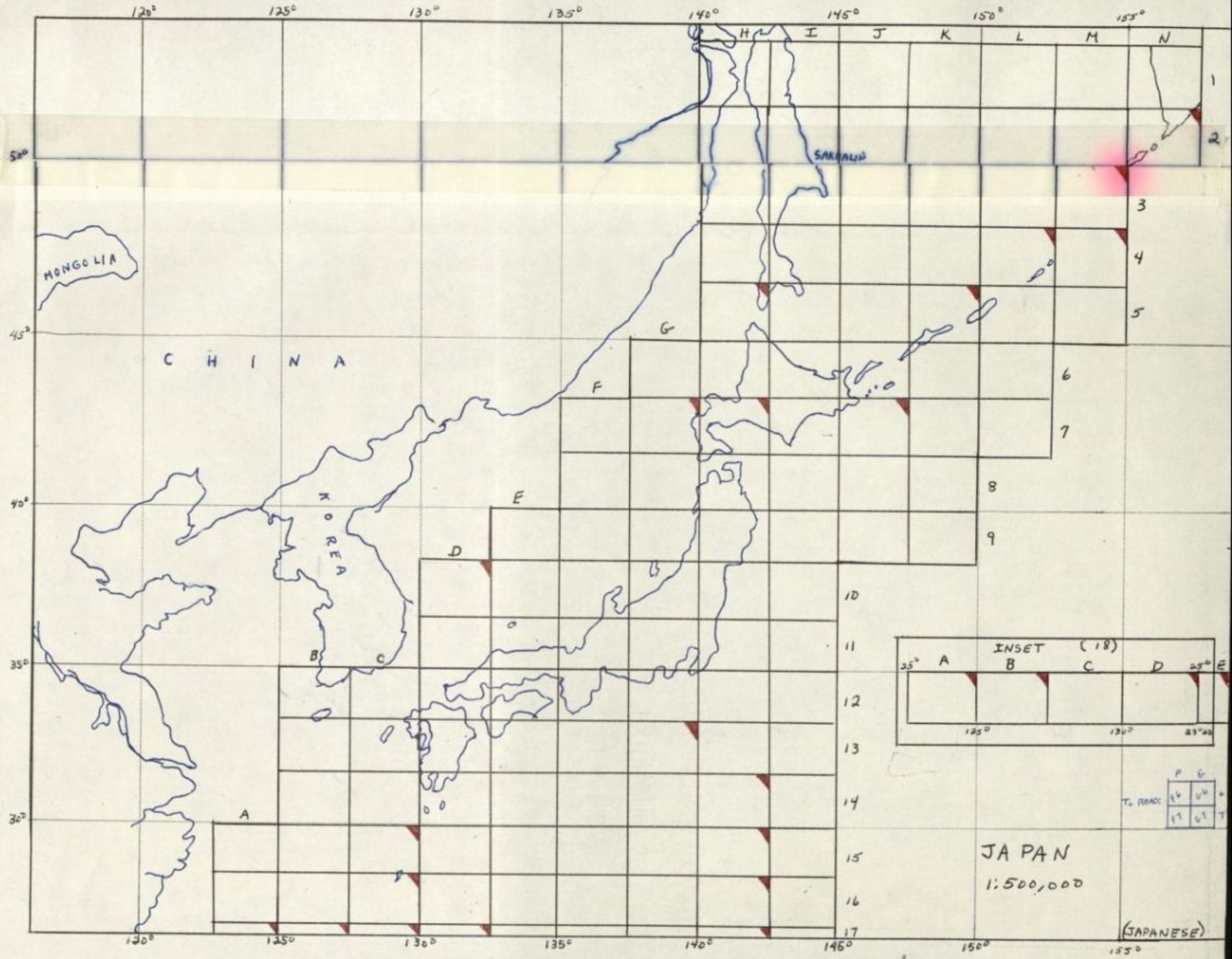
120°
125°
130°
135°
140°
145°
150°
155°
50°
45°
40°
35°
30°
MONGOLIA
CHINA
KOREA
SAKHALIN
A
B
C
D
E
F
G
H
I
J
K
L
M
N
1
2
3
4
5
6
7
8
9
10
11
12
13
14
15
16
17
INSET (18)
25°
A
B
C
D
E
125°
130°
23°00
JAPAN
1:500,000
(JAPANESE)

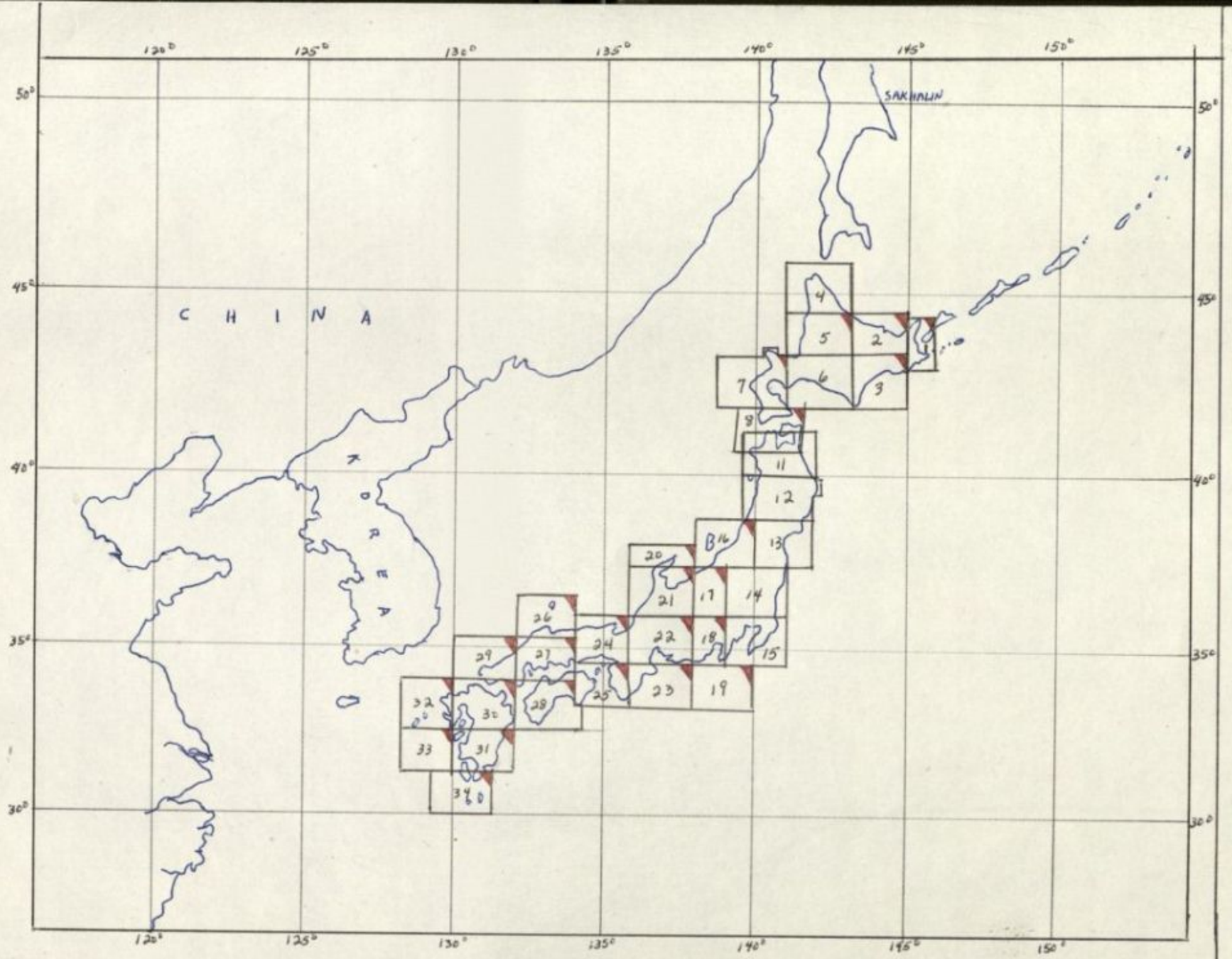

JAPAN

1:200,000

(JAPANESE)

Case B Folder 1 of 3

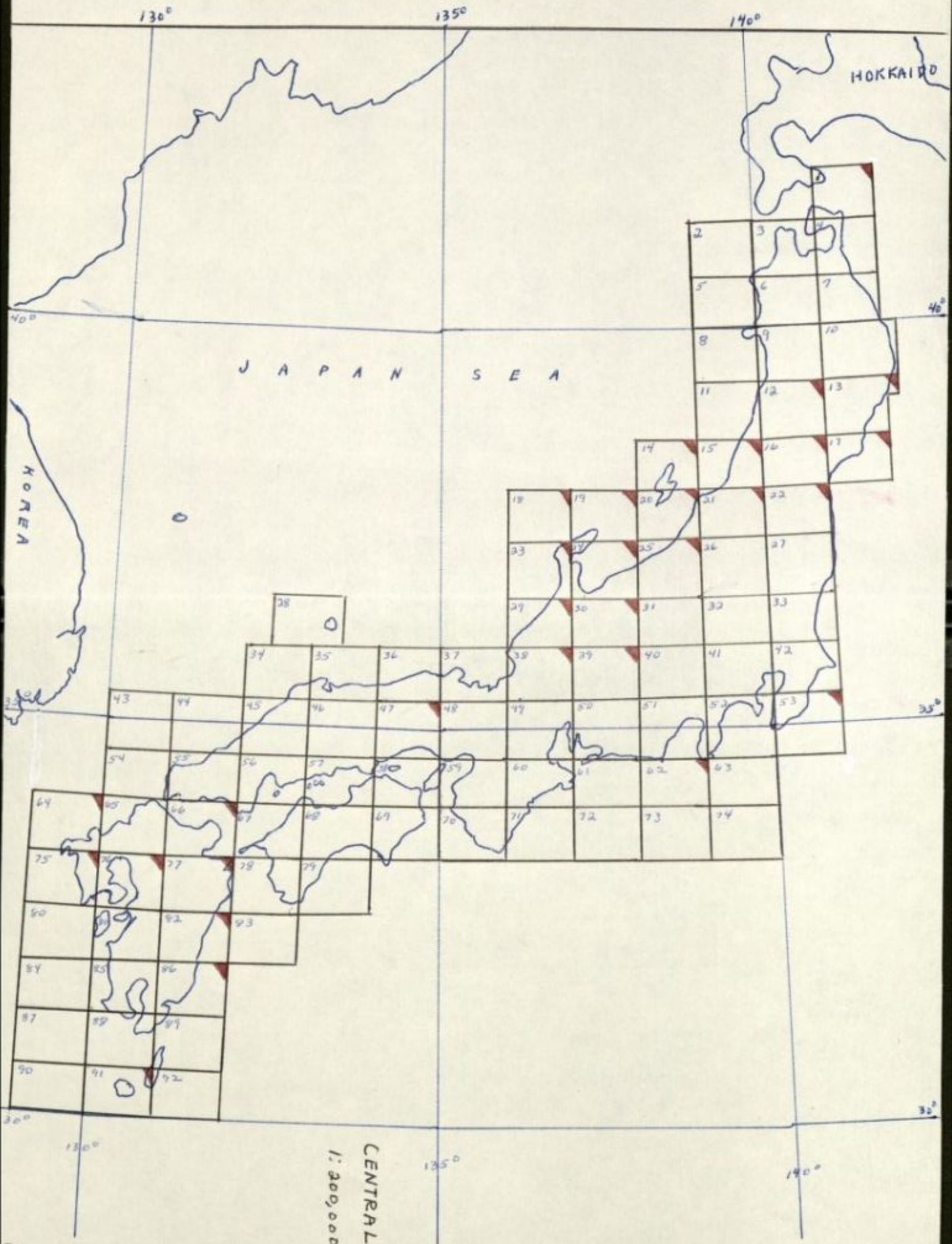

CENTRAL JAPAN
1:200,000

(JAPANESE)

Geo. R. Fitzhugh '43

88.

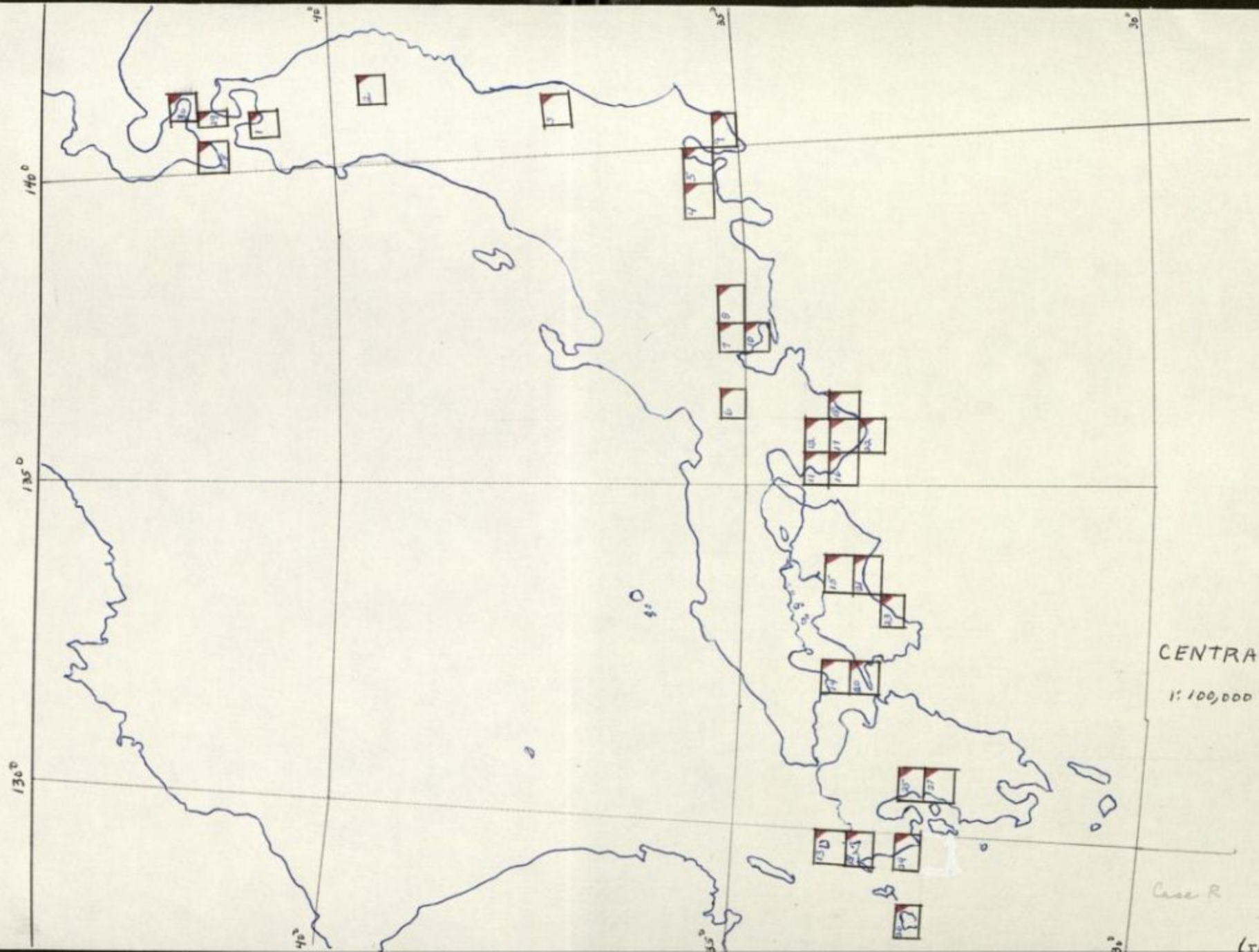

CENTRAL JAPAN

1:100,000

Case R Folder 43

(JAPANESE) 89.

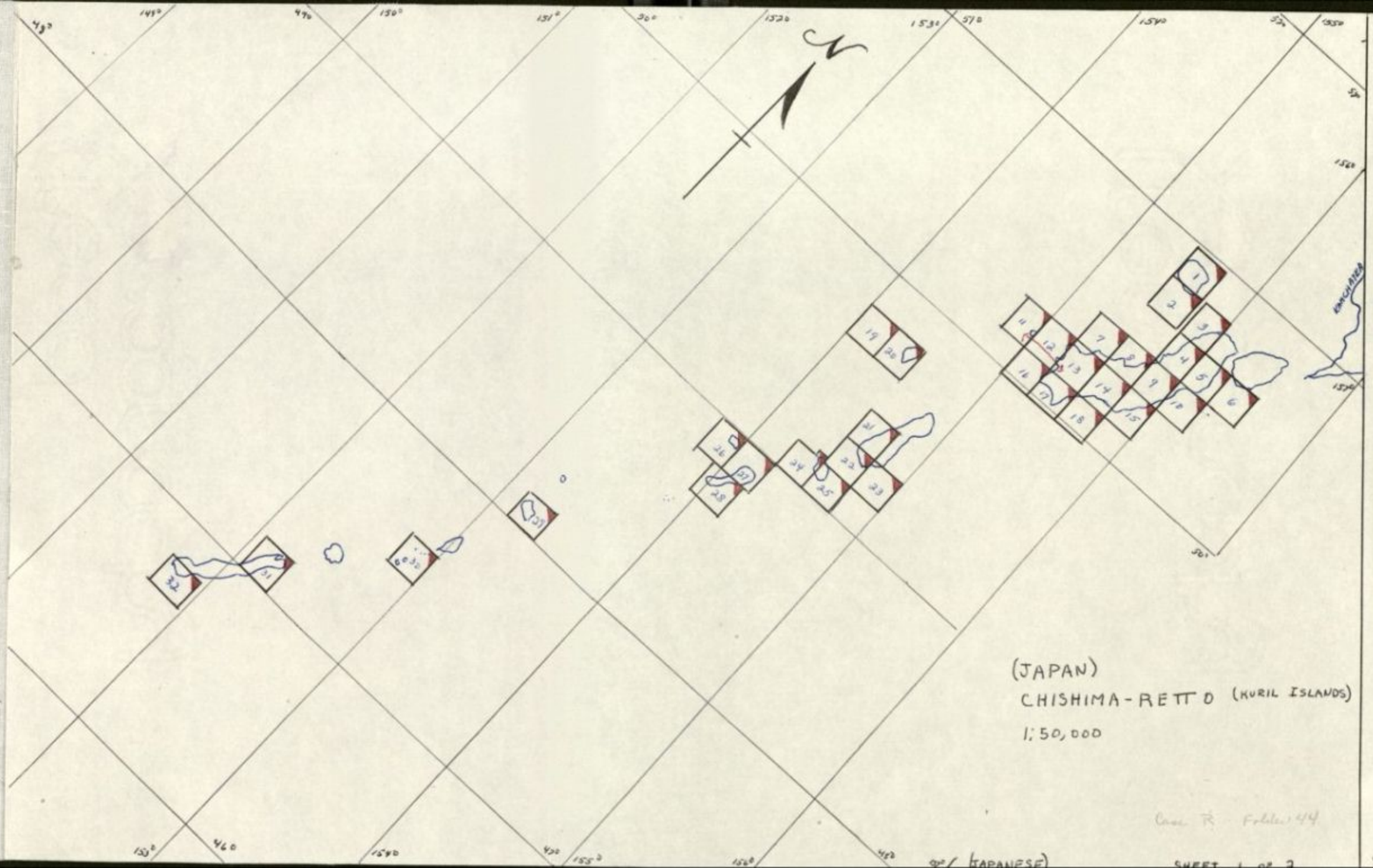
(JAPAN)
CHISHIMA-RETTO (KURIL ISLANDS)
1:50,000
(JAPANESE)
SHEET 1 OF 2

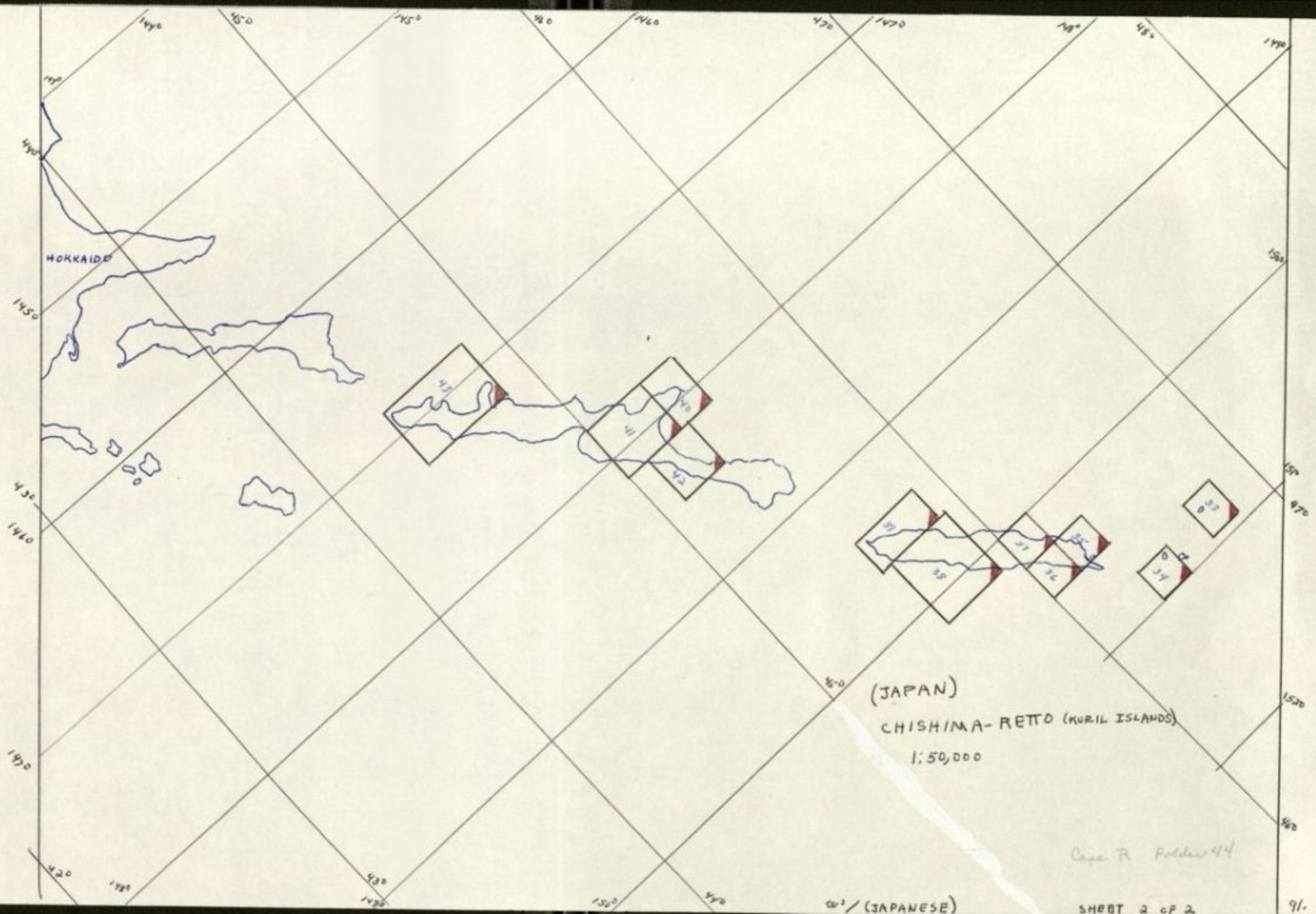
HOKKAIDO
43
41
40
42
39
38
37
36
35
34
33
(JAPAN)
CHISHIMA-RETTO (KURIL ISLANDS)
1:50,000
Cape R. Folder 44
SHEET 2 of 2

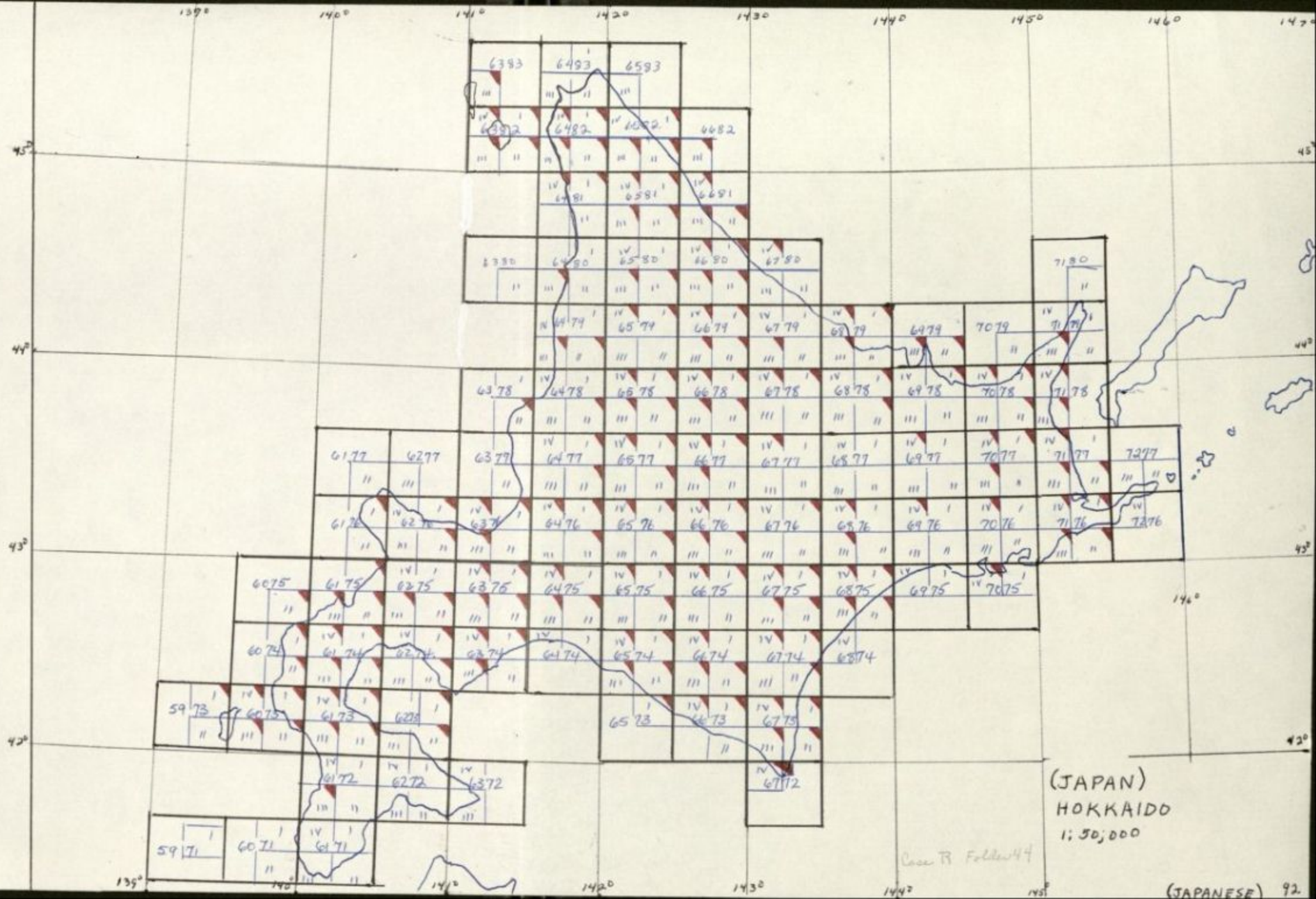
(JAPAN)
HOKKAIDO
1:50,000
Case R Folder 44

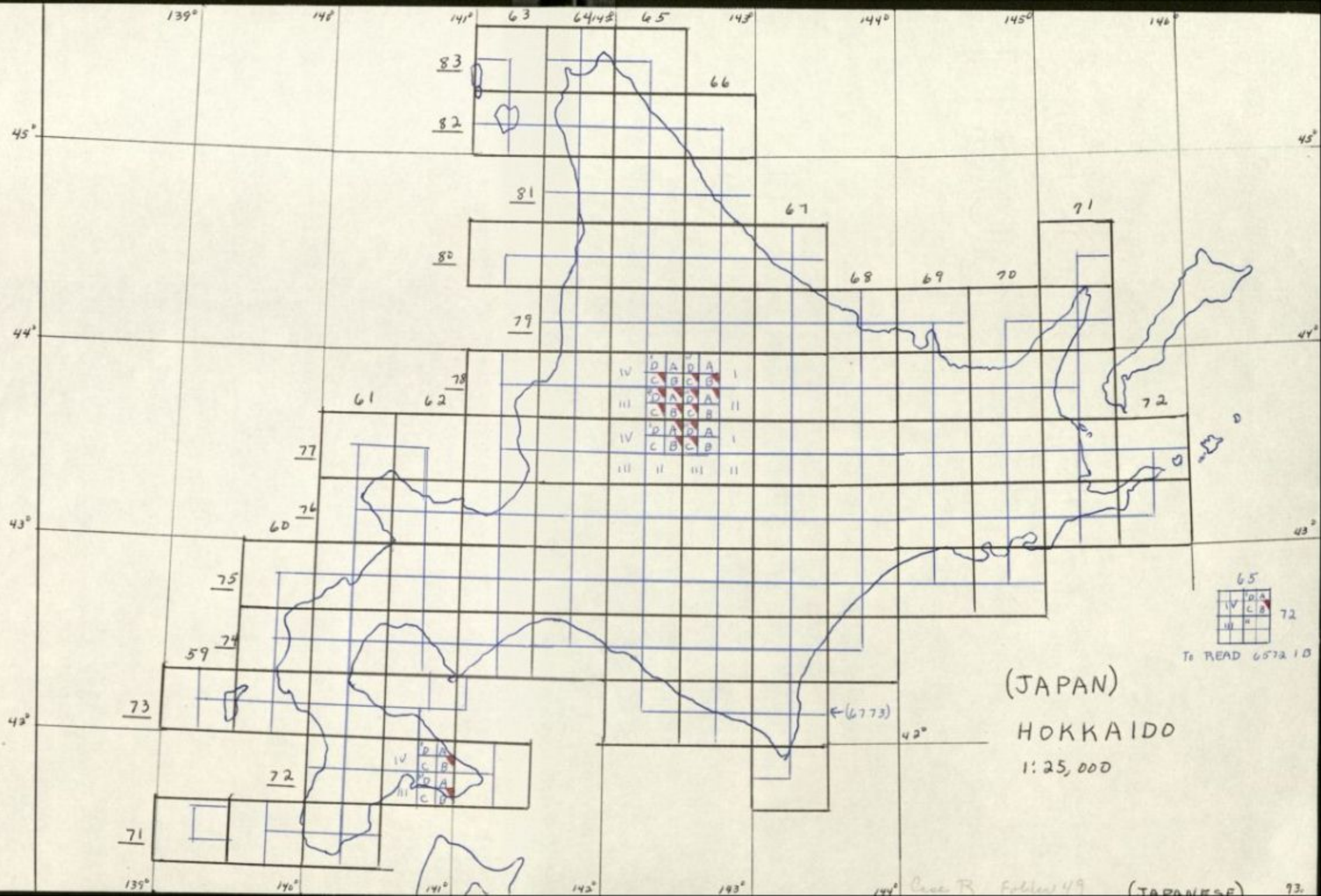
(JAPAN)
HOKKAIDO
1:25,000
To READ 6572 1B
(6773)
139°
140°
141°
142°
143°
144°
145°
146°
45°
44°
43°
42°
63
64
65
66
67
68
69
70
71
72
73
74
75
76
77
78
79
80
81
82
83
59
60
61
62

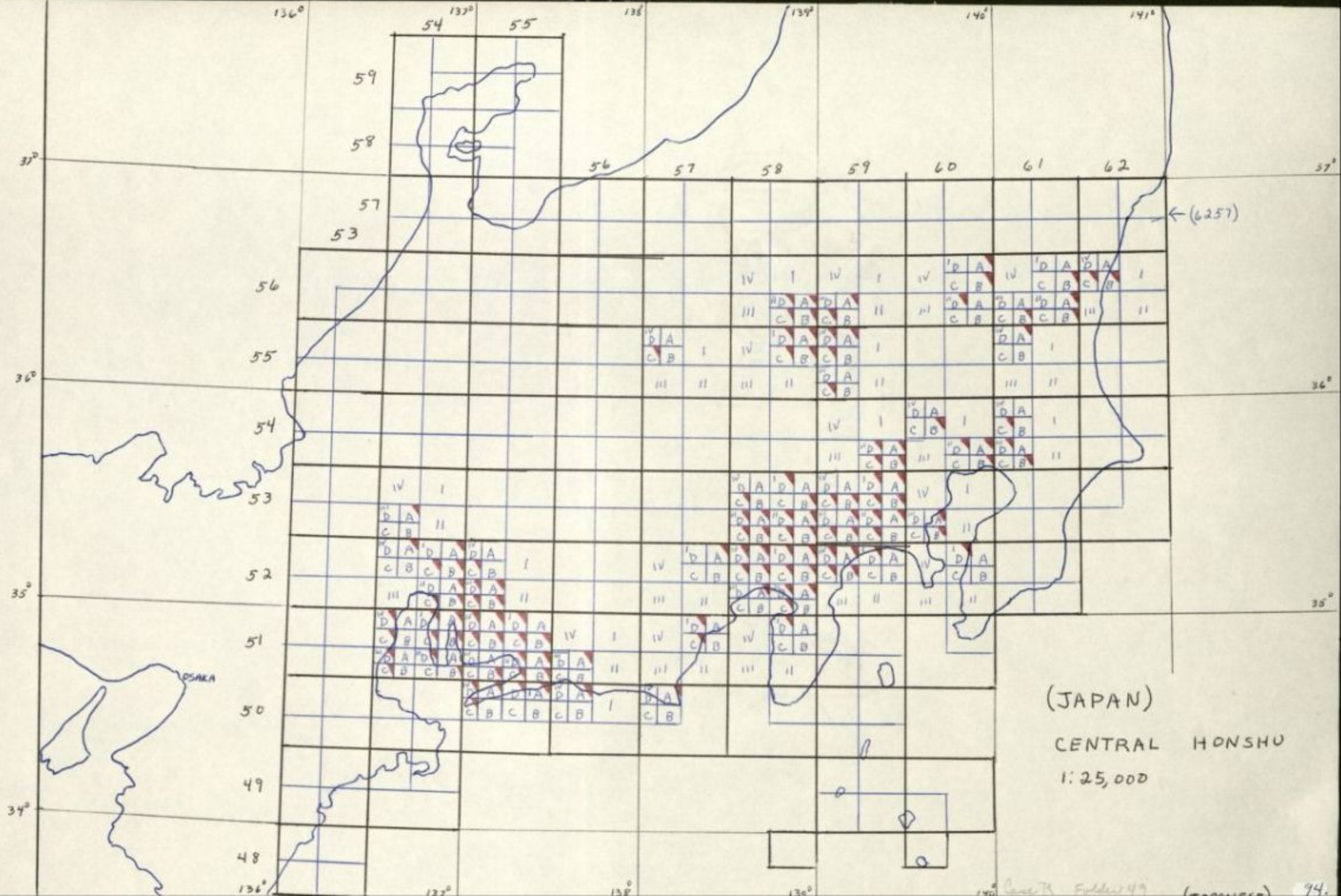
(JAPAN)
CENTRAL HONSHU
1:25,000
OSAKA
(6257)

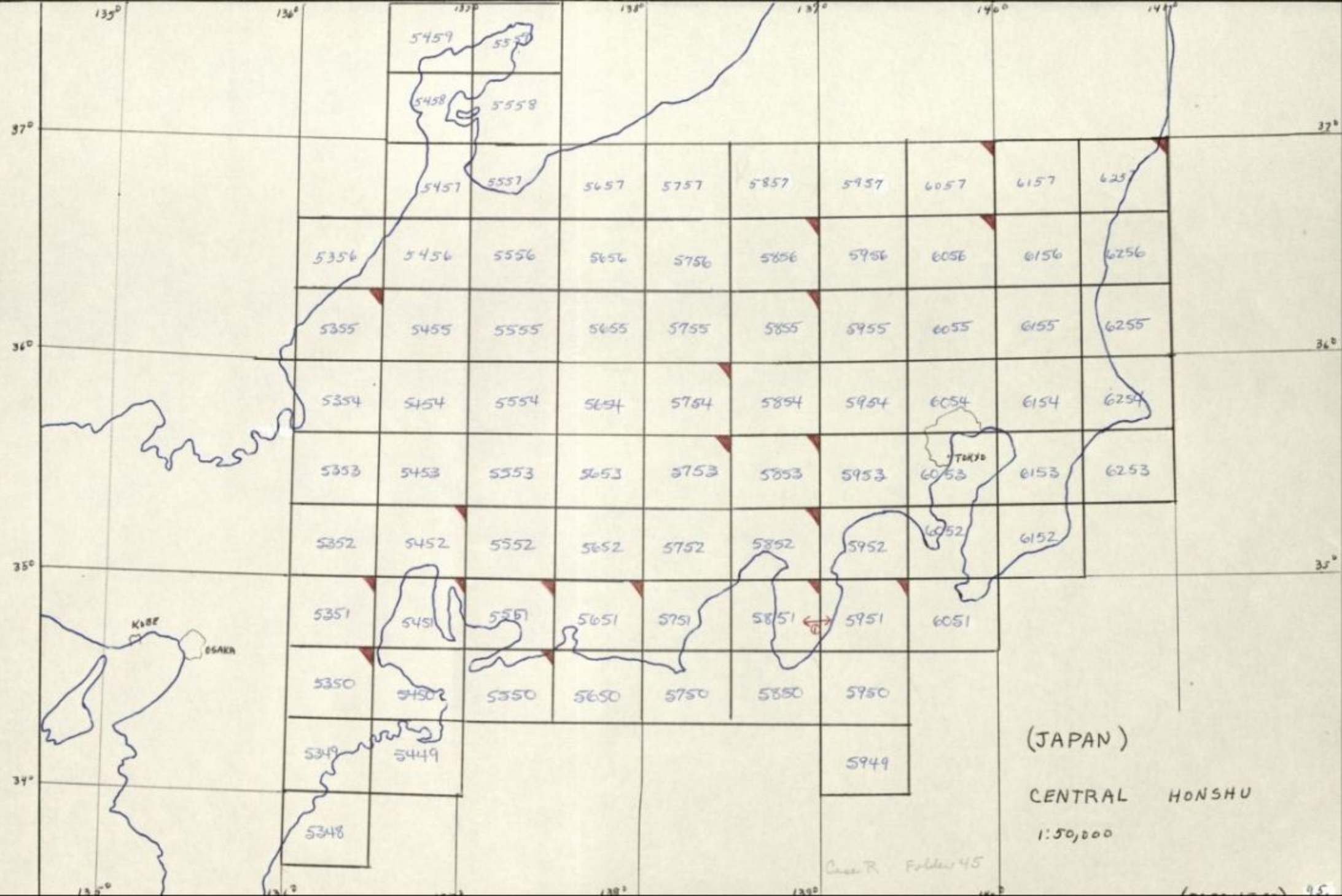
135°
136°
137°
138°
139°
140°
141°
37°
36°
35°
34°
5459
5558
5458
5557
5457
5557
5657
5757
5857
5957
6057
6157
6257
5356
5456
5556
5656
5756
5856
5956
6056
6156
6256
5355
5455
5555
5655
5755
5855
5955
6055
6155
6255
5354
5454
5554
5654
5754
5854
5954
6054
6154
6254
5353
5453
5553
5653
5753
5853
5953
6053
6153
6253
TOKYO
5352
5452
5552
5652
5752
5852
5952
6052
6152
5351
5451
5551
5651
5751
5851
5951
6051
KOBE
OSAKA
5350
5450
5550
5650
5750
5850
5950
5349
5449
5949
5348
(JAPAN)
CENTRAL HONSHU
1:50,000
Case R Folder 45

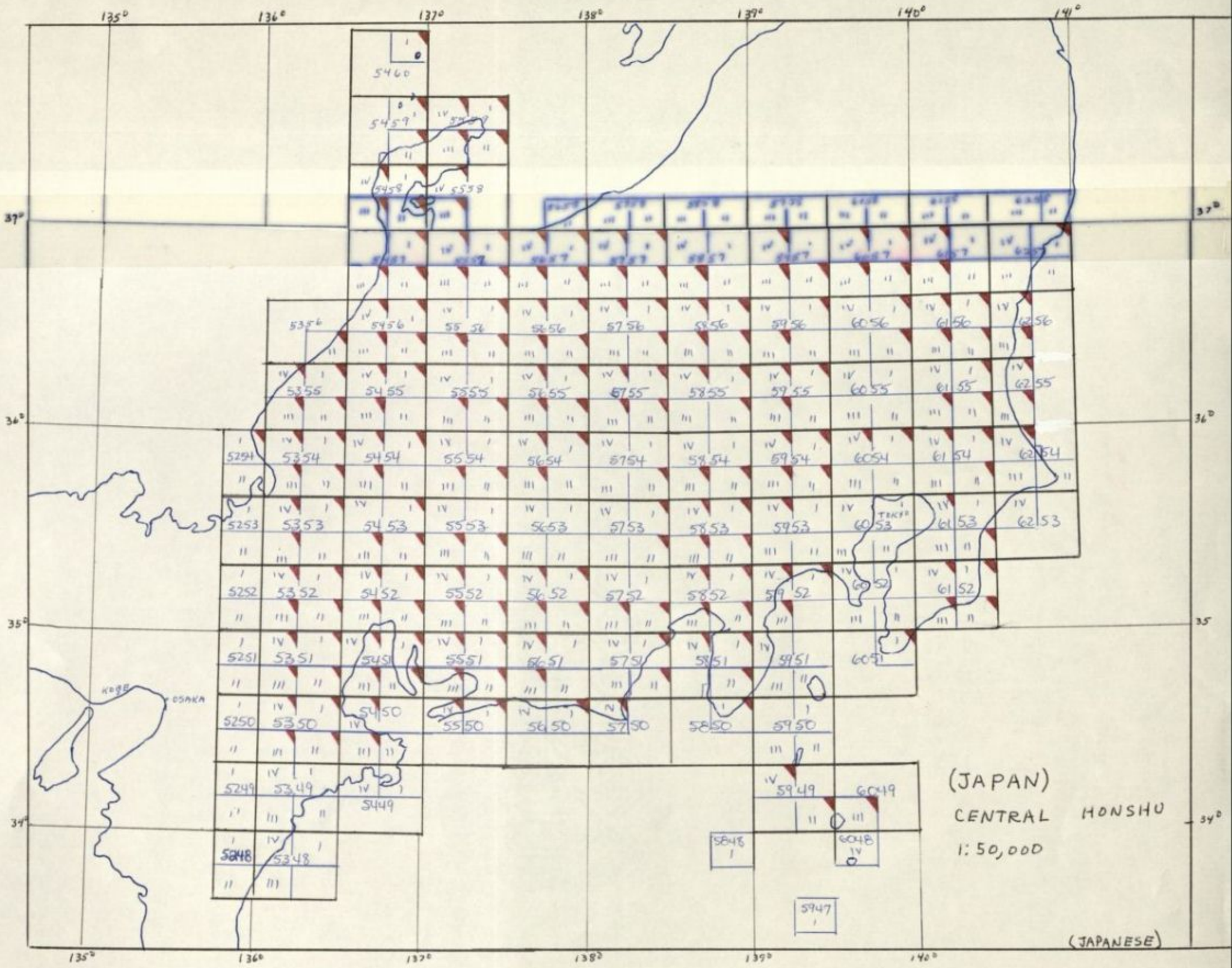

(JAPAN)

CENTRAL HONSHU

1: 50,000

(JAPANESE)

Case R Folder 45

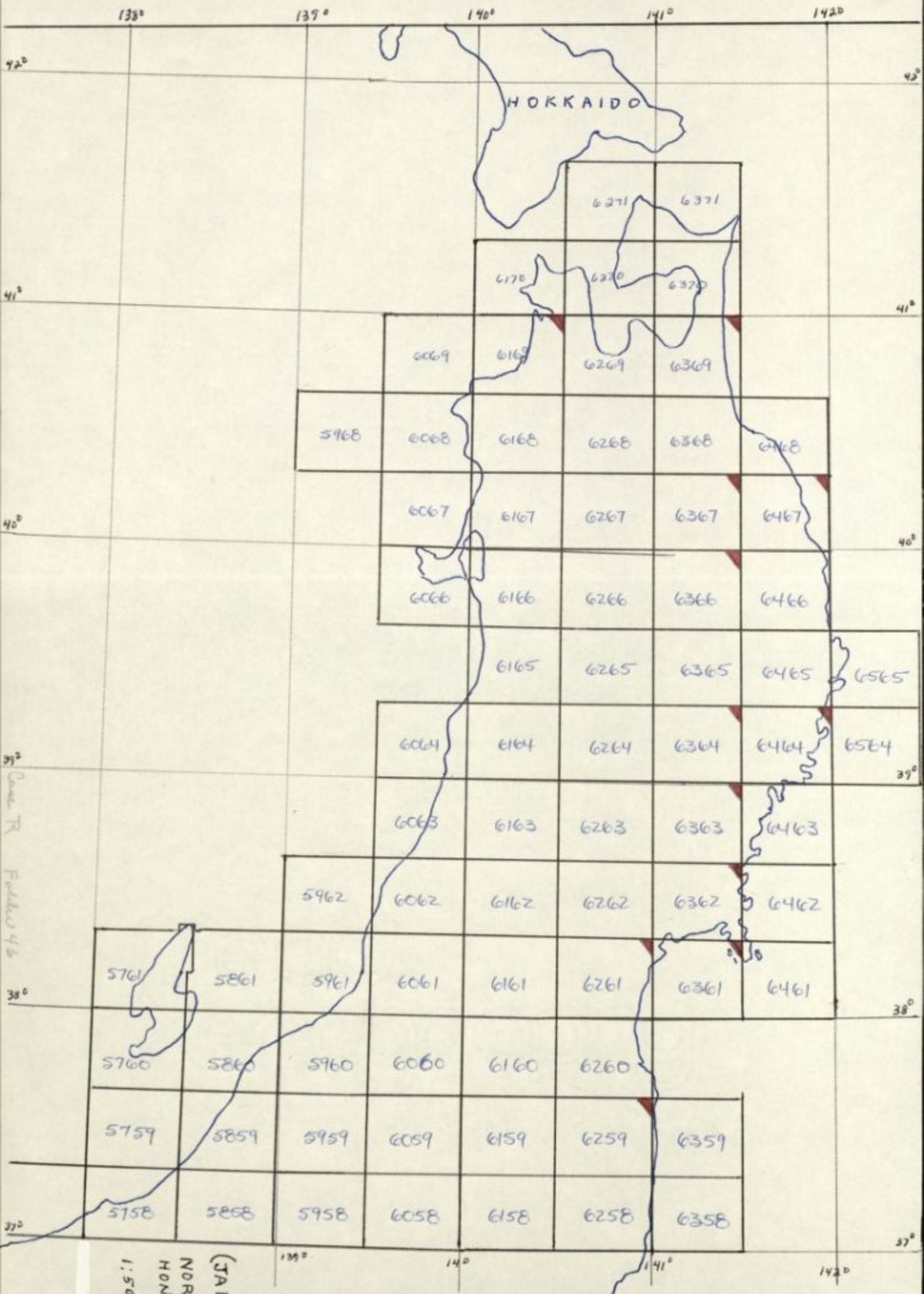

(JAPAN)
NORTERN
HONSHU
1:50,000

(JAPANESE)

97.

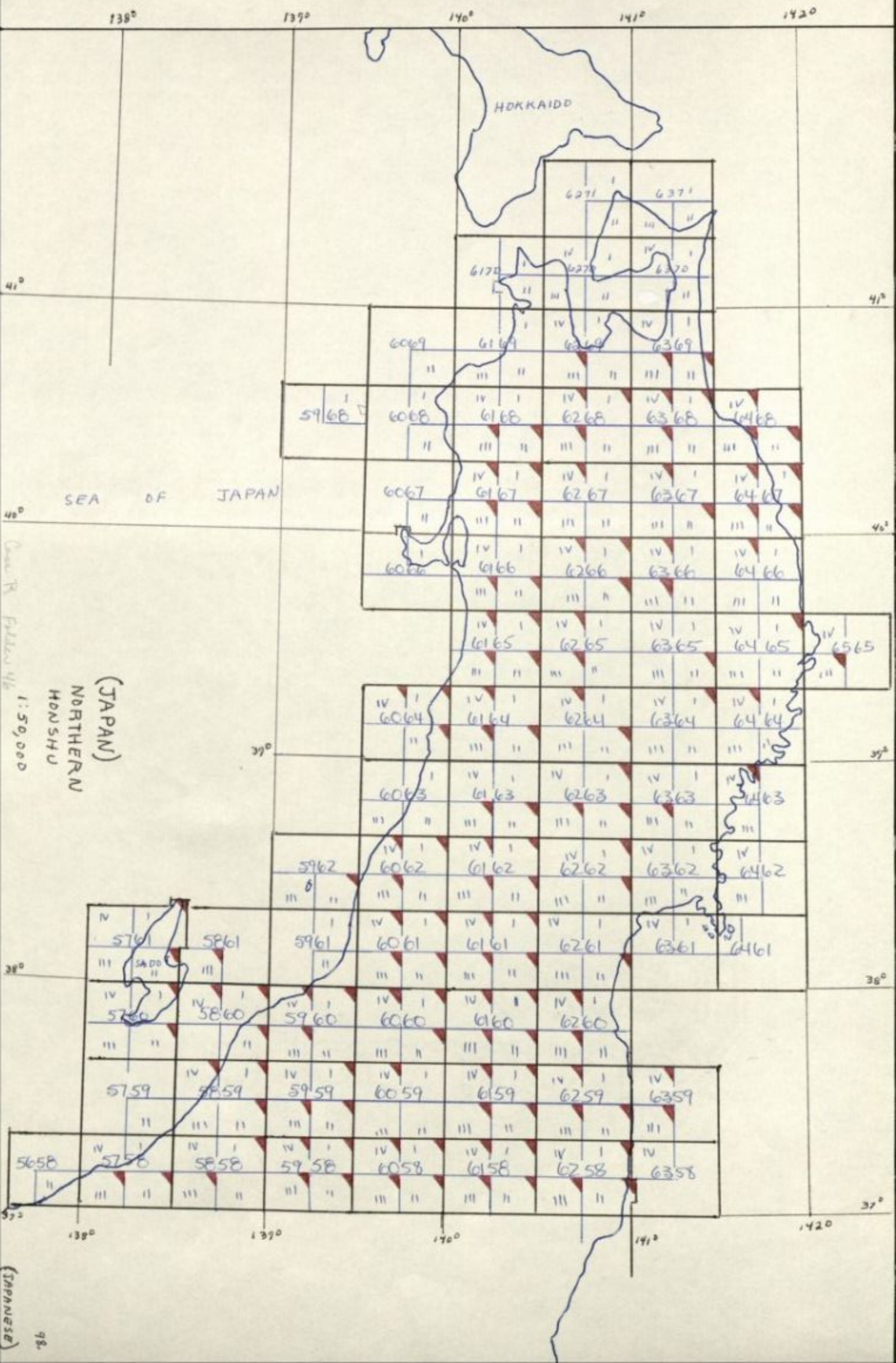
138°
139°
140°
141°
142°
41°
40°
39°
38°
37°
HOKKAIDO
SEA OF JAPAN
SADO
(JAPAN)
NORTHERN
HONSHU
1:50,000
(JAPANESE)

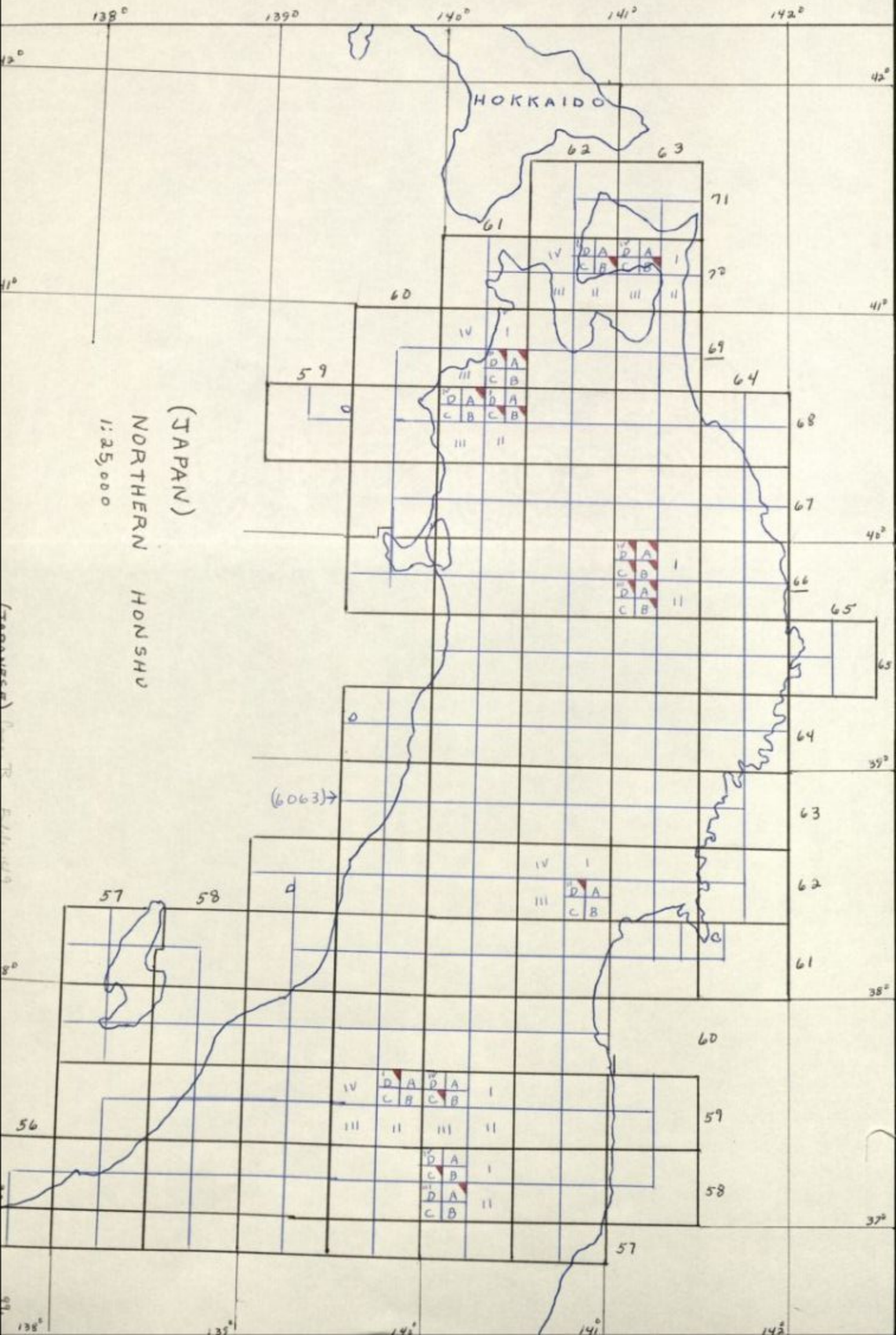
(JAPAN)
NORTHERN HONSHU
1:25,000
HOKKAIDO
138°
139°
140°
141°
142°
42°
41°
40°
39°
38°
37°
(6063)→

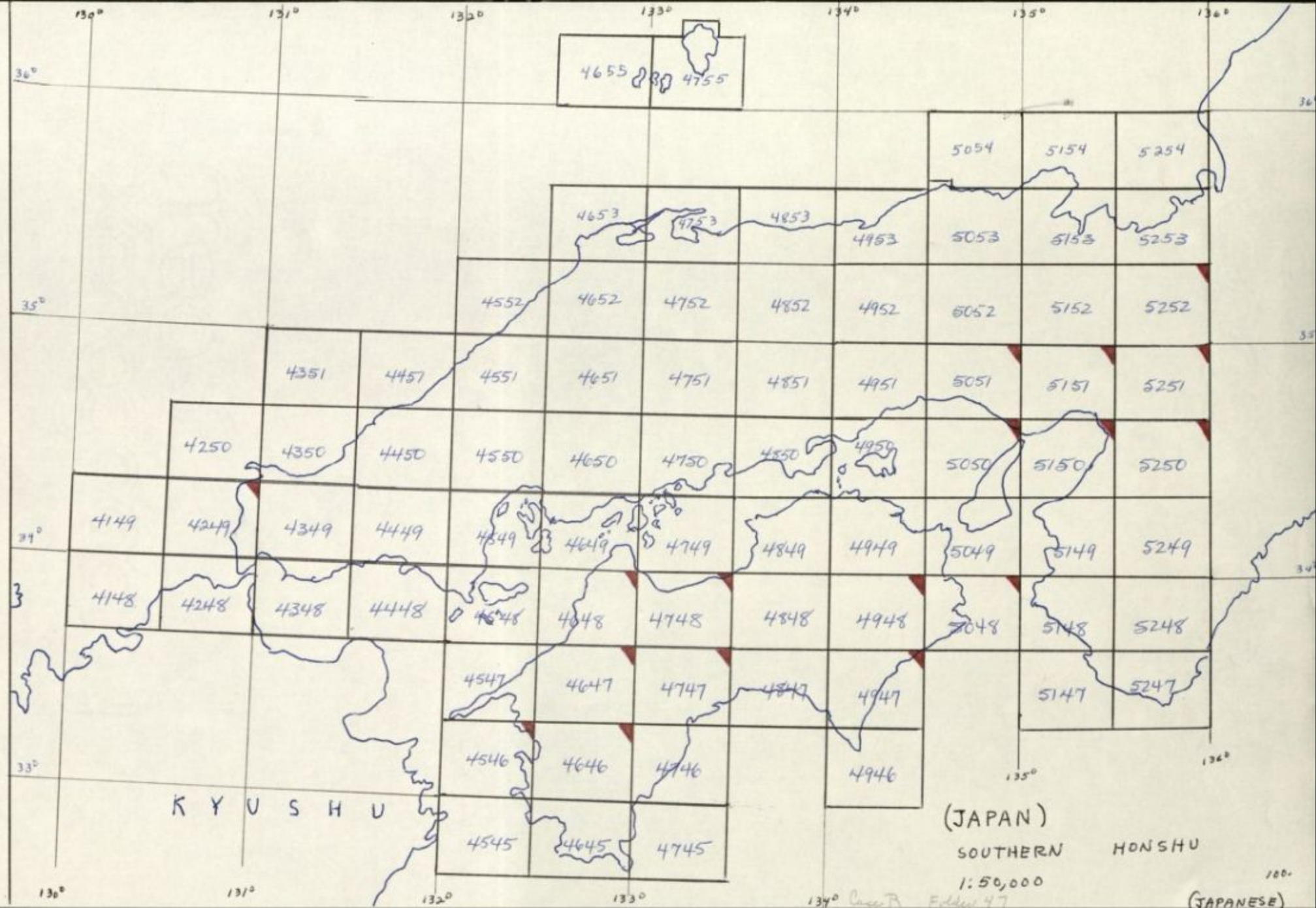
130°
131°
132°
133°
134°
135°
136°
36°
35°
34°
33°
4655
4755
5054
5154
5254
4653
4753
4853
4953
5053
5153
5253
4552
4652
4752
4852
4952
5052
5152
5252
4351
4451
4551
4651
4751
4851
4951
5051
5151
5251
4250
4350
4450
4550
4650
4750
4850
4950
5050
5150
5250
4149
4249
4349
4449
4549
4649
4749
4849
4949
5049
5149
5249
4148
4248
4348
4448
4548
4648
4748
4848
4948
5048
5148
5248
4547
4647
4747
4847
4947
5147
5247
4546
4646
4746
4946
4545
4645
4745
KYUSHU
(JAPAN)
SOUTHERN HONSHU
1:50,000
(JAPANESE)

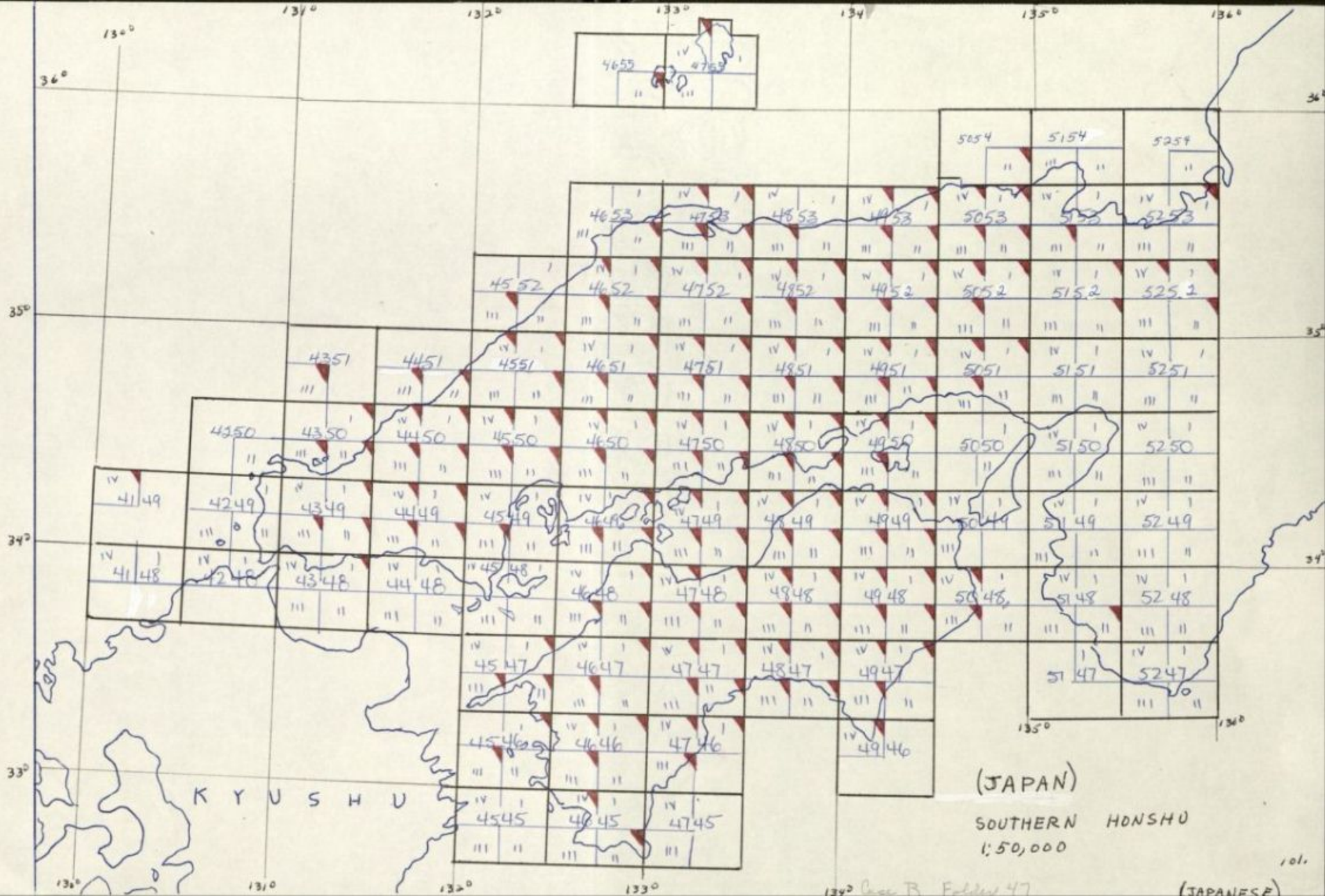
(JAPAN)
SOUTHERN HONSHU
1:50,000
KYUSHU
130°
131°
132°
133°
134°
135°
136°
36°
35°
34°
33°
4655
4763
5054
5154
5254
4653
4753
4853
4953
5053
5153
5253
4552
4652
4752
4852
4952
5052
5152
5252
4351
4451
4551
4651
4751
4851
4951
5051
5151
5251
4250
4350
4450
4550
4650
4750
4850
4950
5050
5150
5250
4149
4249
4349
4449
4549
4649
4749
4849
4949
5049
5149
5249
4148
4248
4348
4448
4548
4648
4748
4848
4948
5048
5148
5248
4547
4647
4747
4847
4947
5147
5247
4546
4646
4746
4946
4545
4645
4745
Case B Folder 47
101.
(JAPANESE)

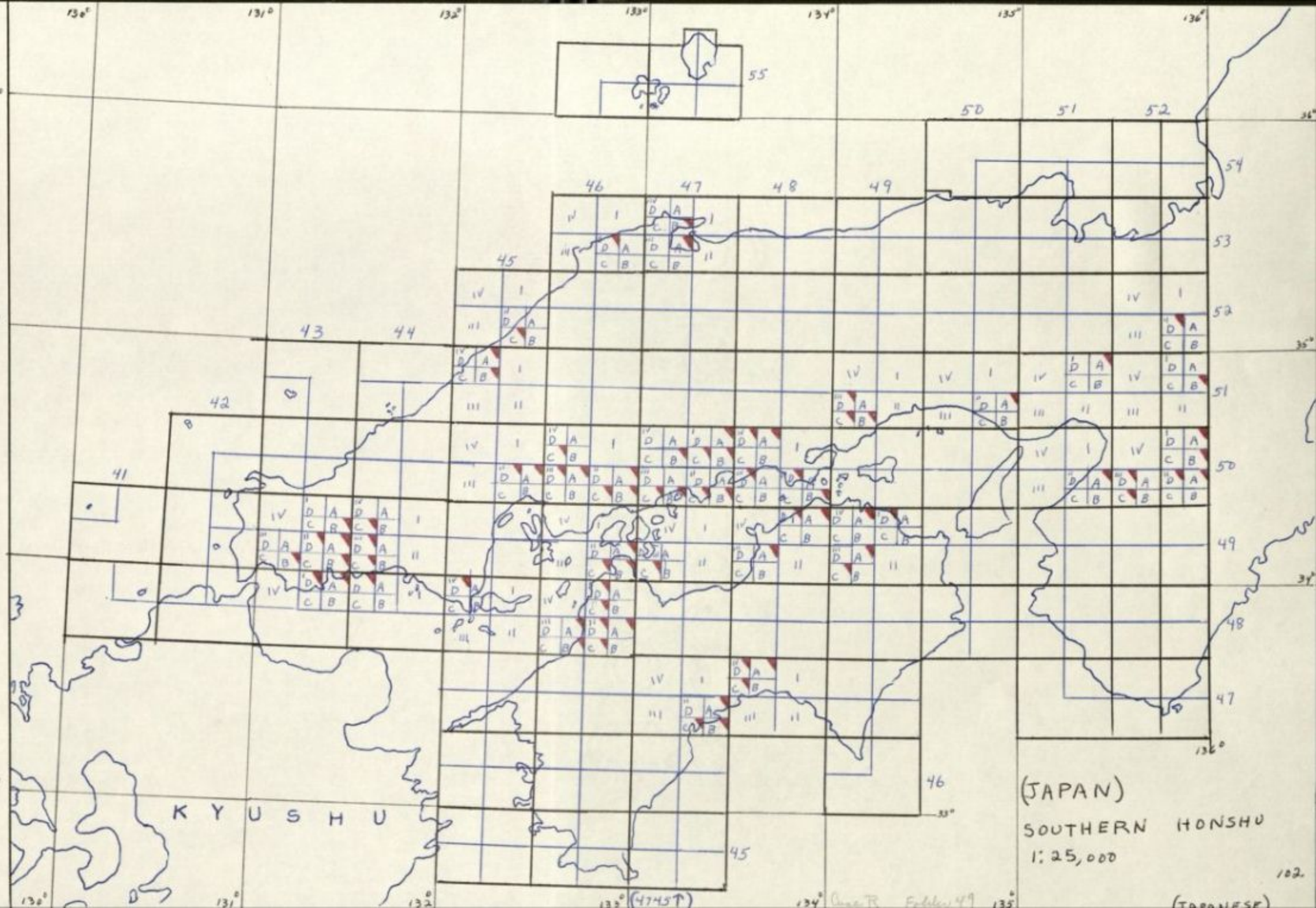
KYUSHU
(JAPAN)
SOUTHERN HONSHU
1:25,000
102.
(JAPANESE)

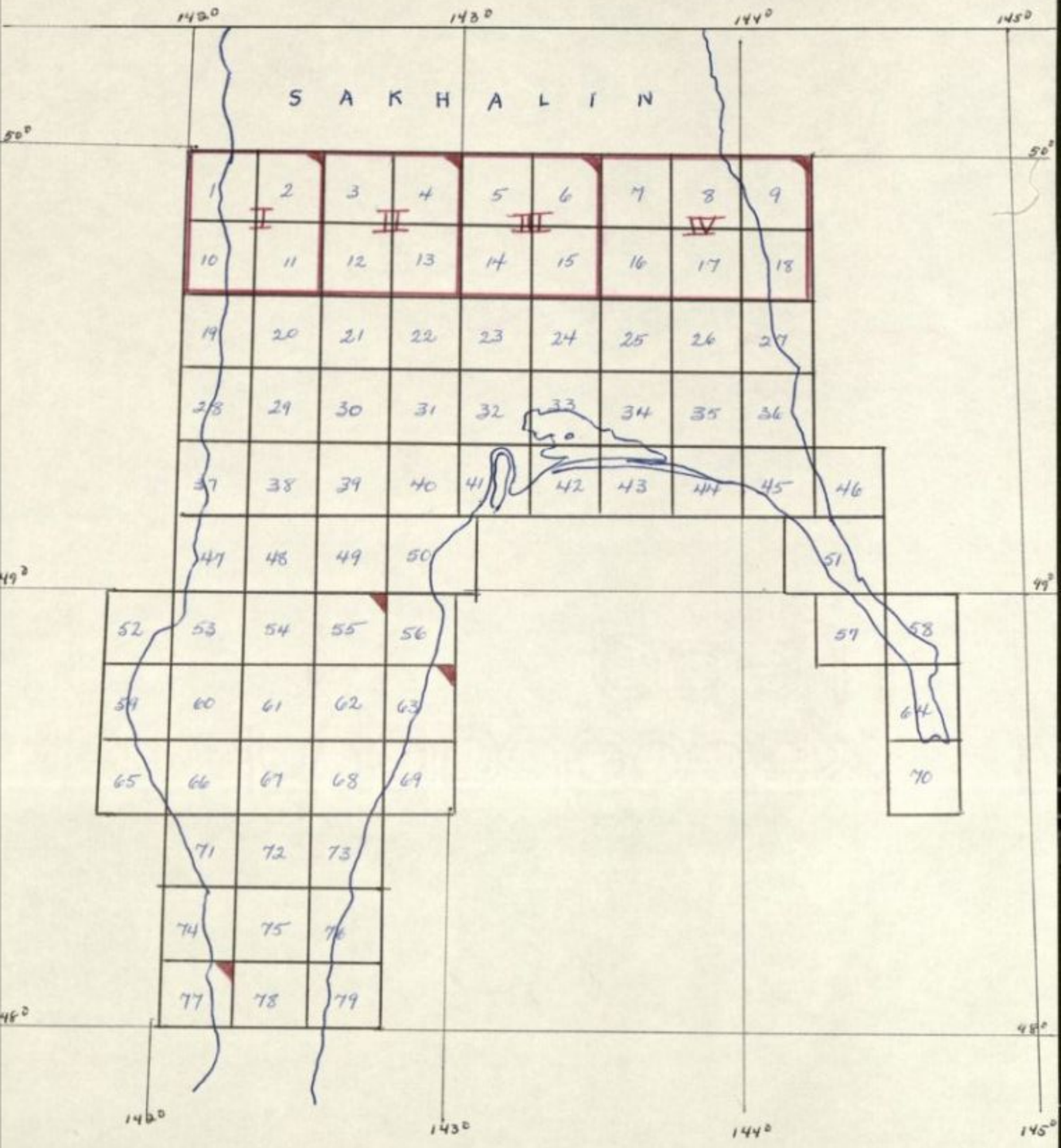

(JAPAN)

NORTHERN KARAFUTO

1:50,000 Cover R. Feb. 1944

1:1,000,000 Cover R. Feb. 1943

(JAPANESE) 103.

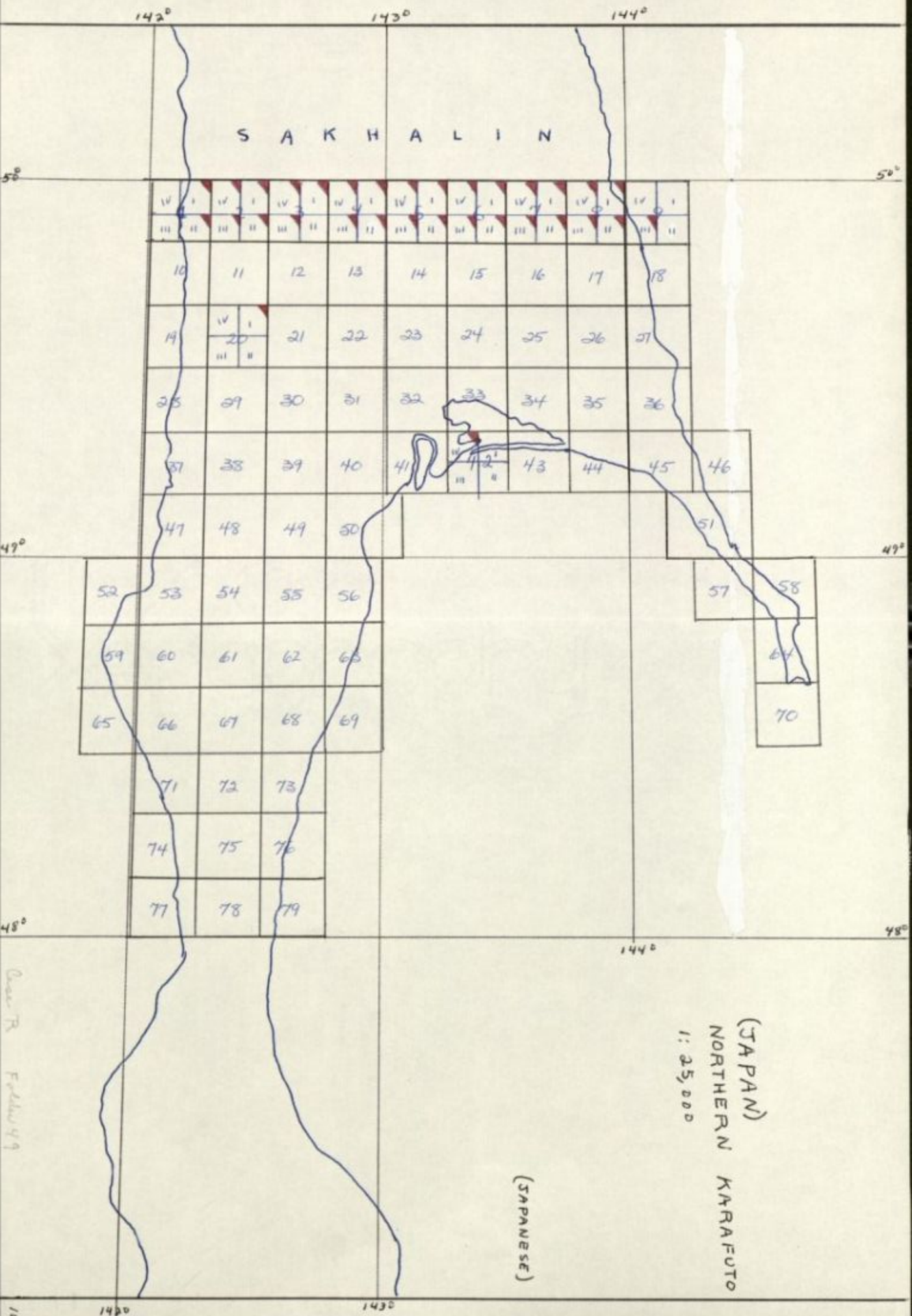

(JAPAN)
NORTHERN KARAFUTO
1: 25,000

(JAPANESE)

Cape R. Footline 49

104.

Line Reference Target LRT-BE4-V2

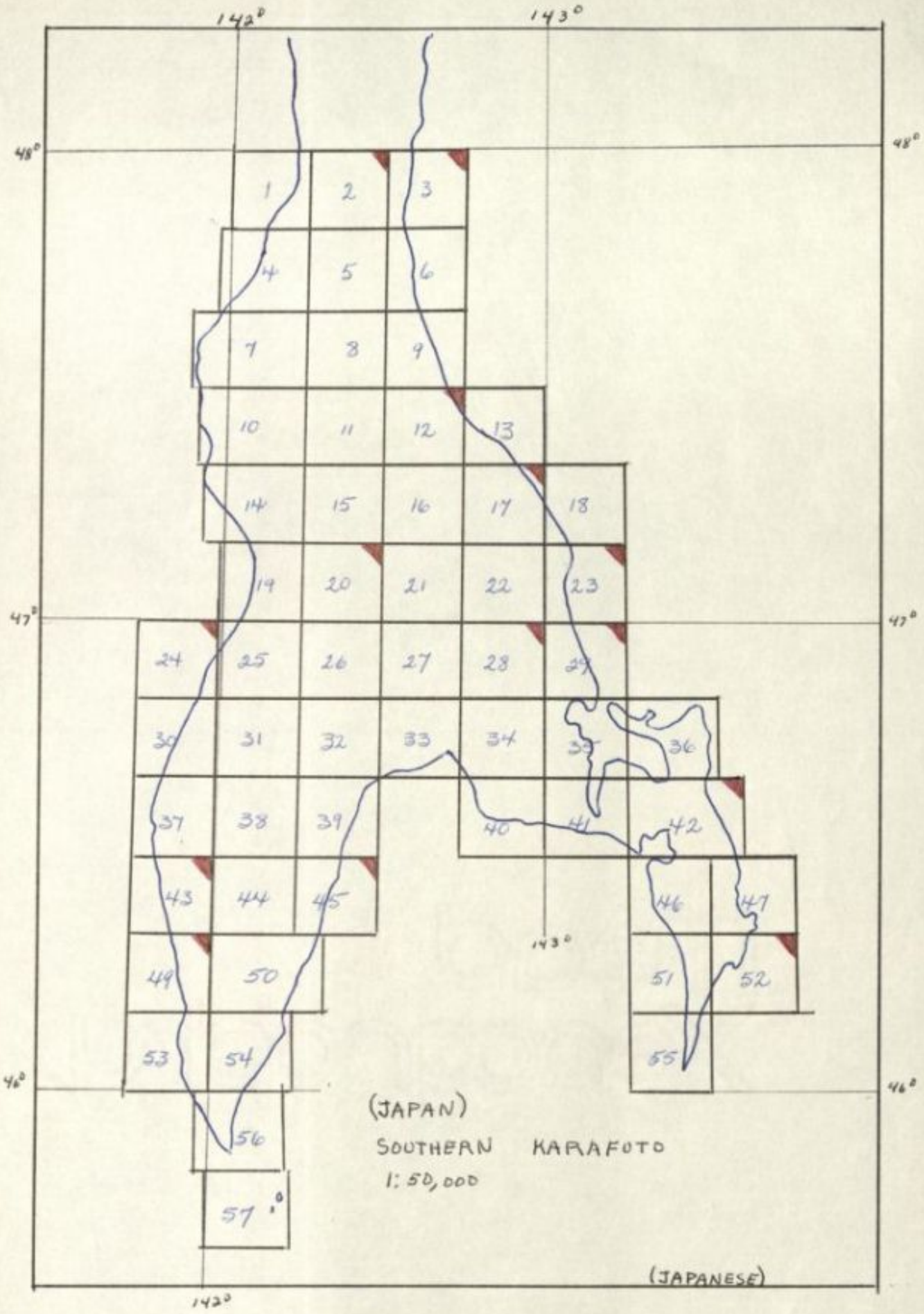

Case R. Folder 44

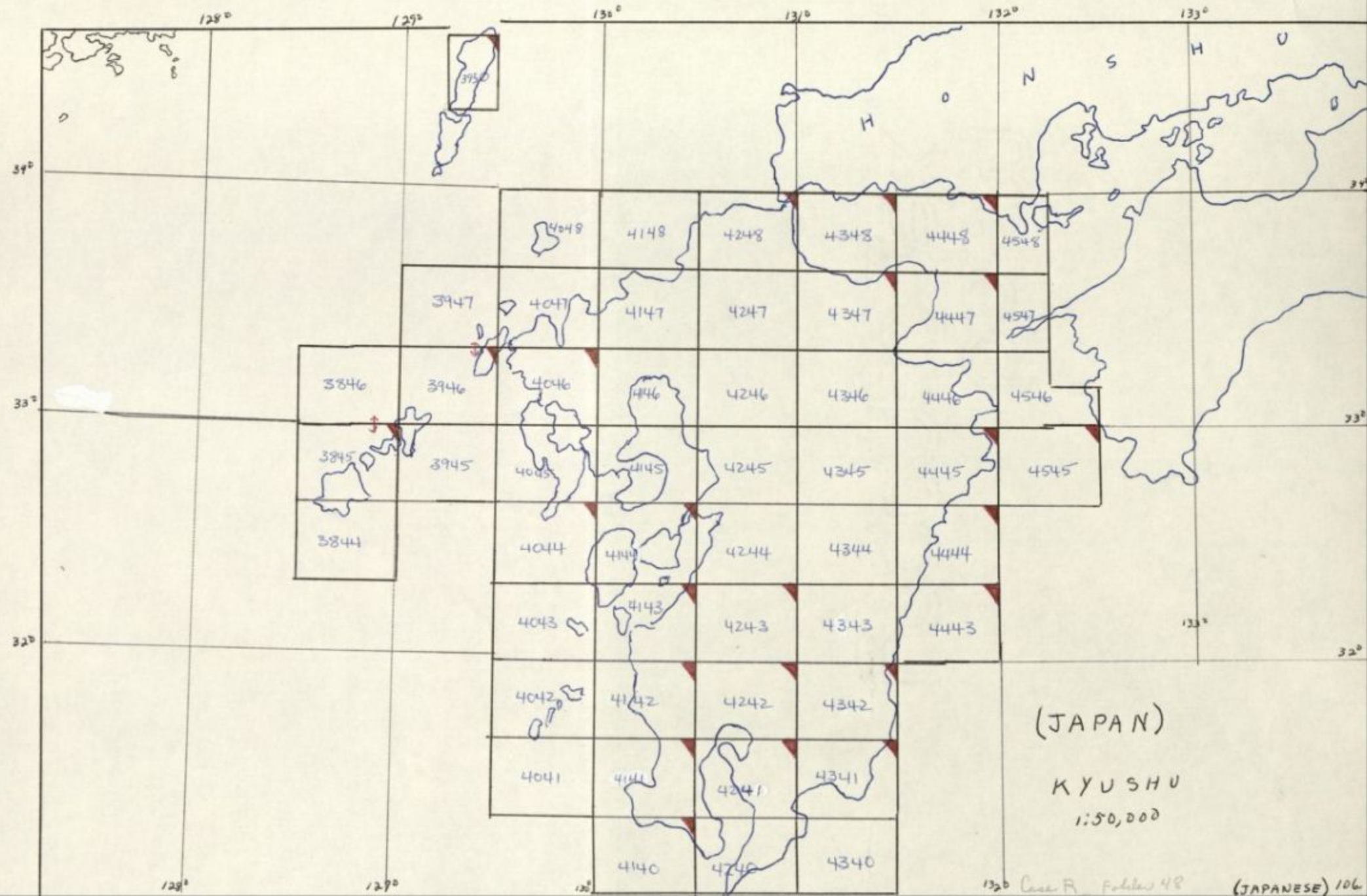

Case R Folder 48

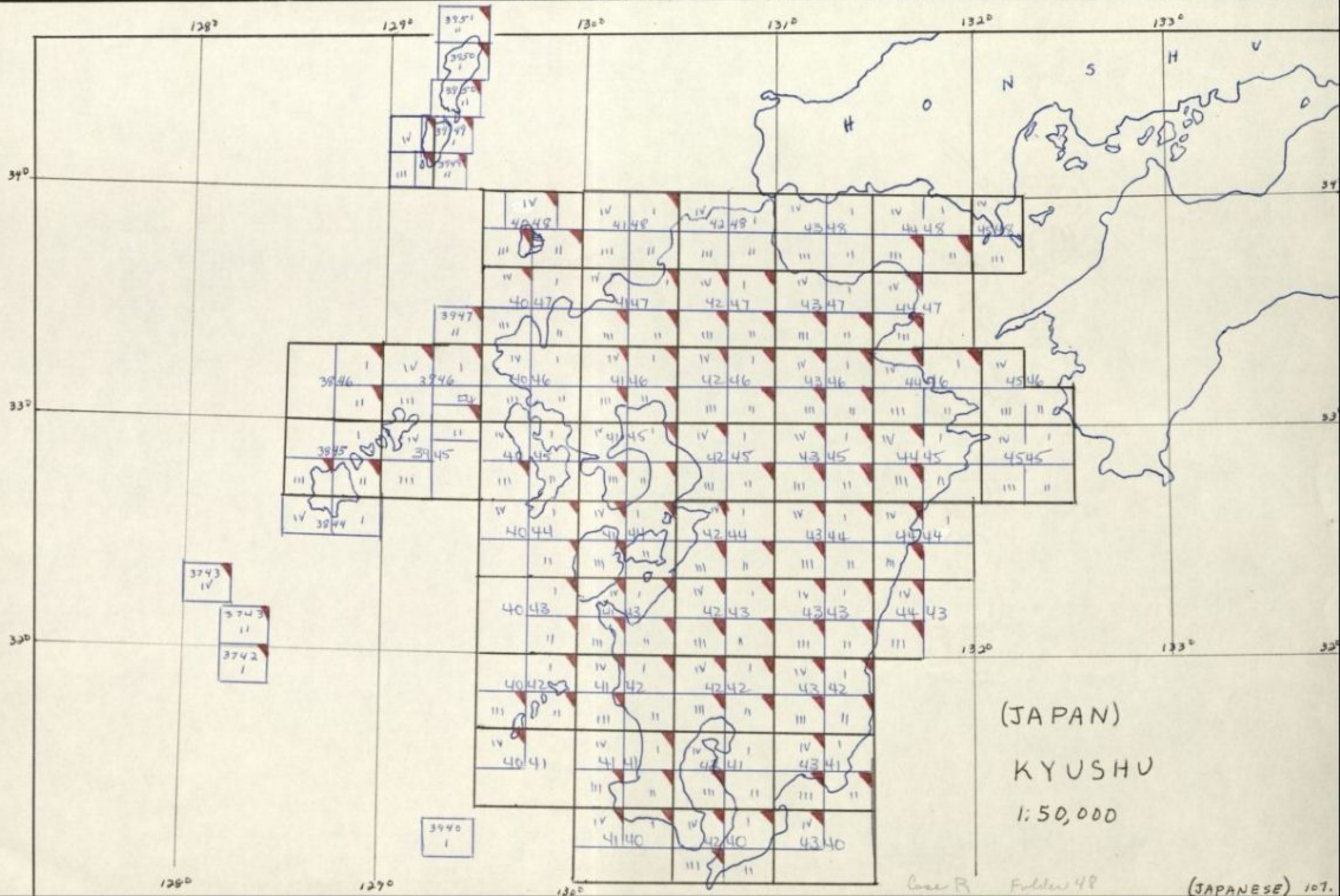

Case R Folder 48

(JAPANESE) 107.

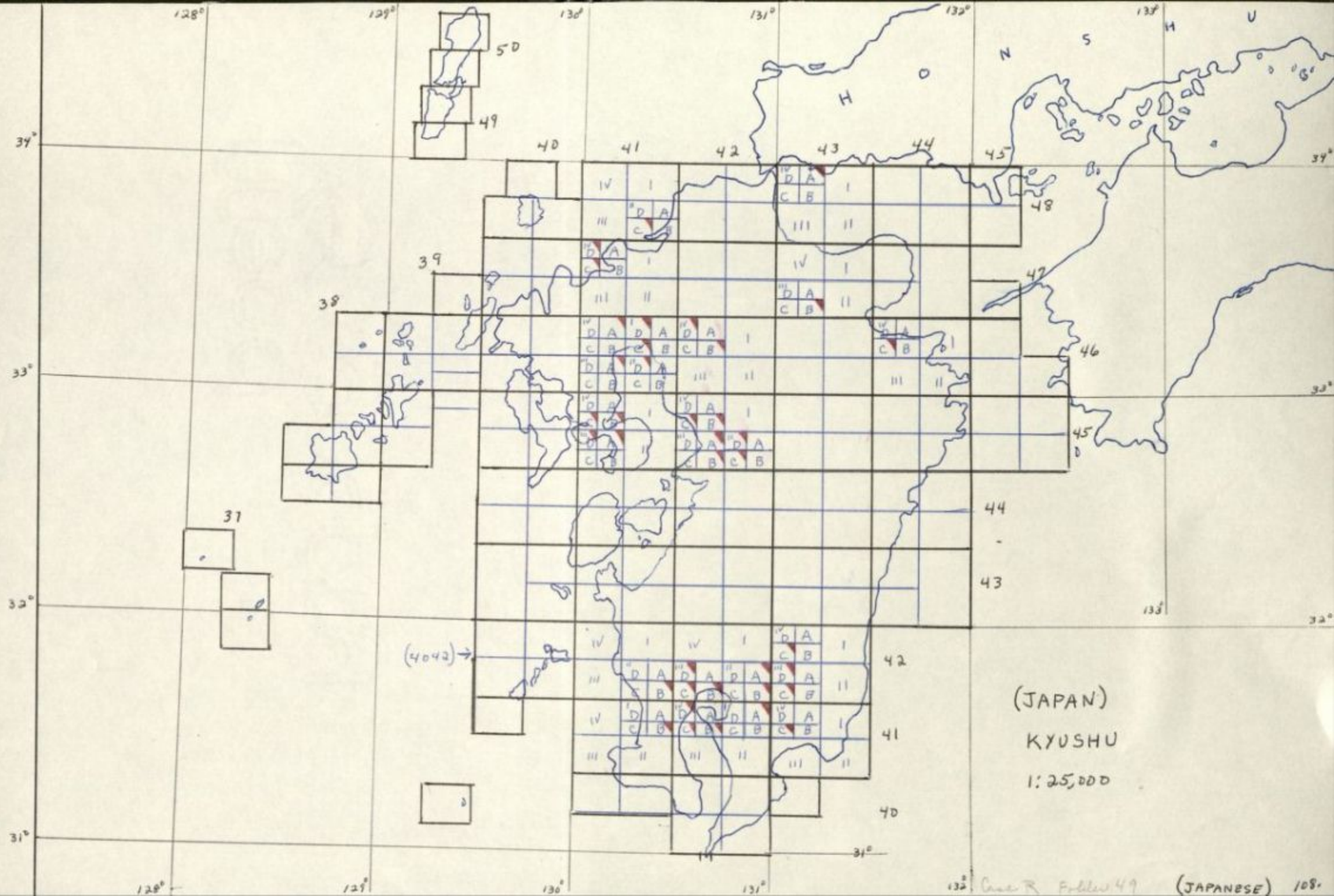

Case R Folder 49 (JAPANESE) 108.

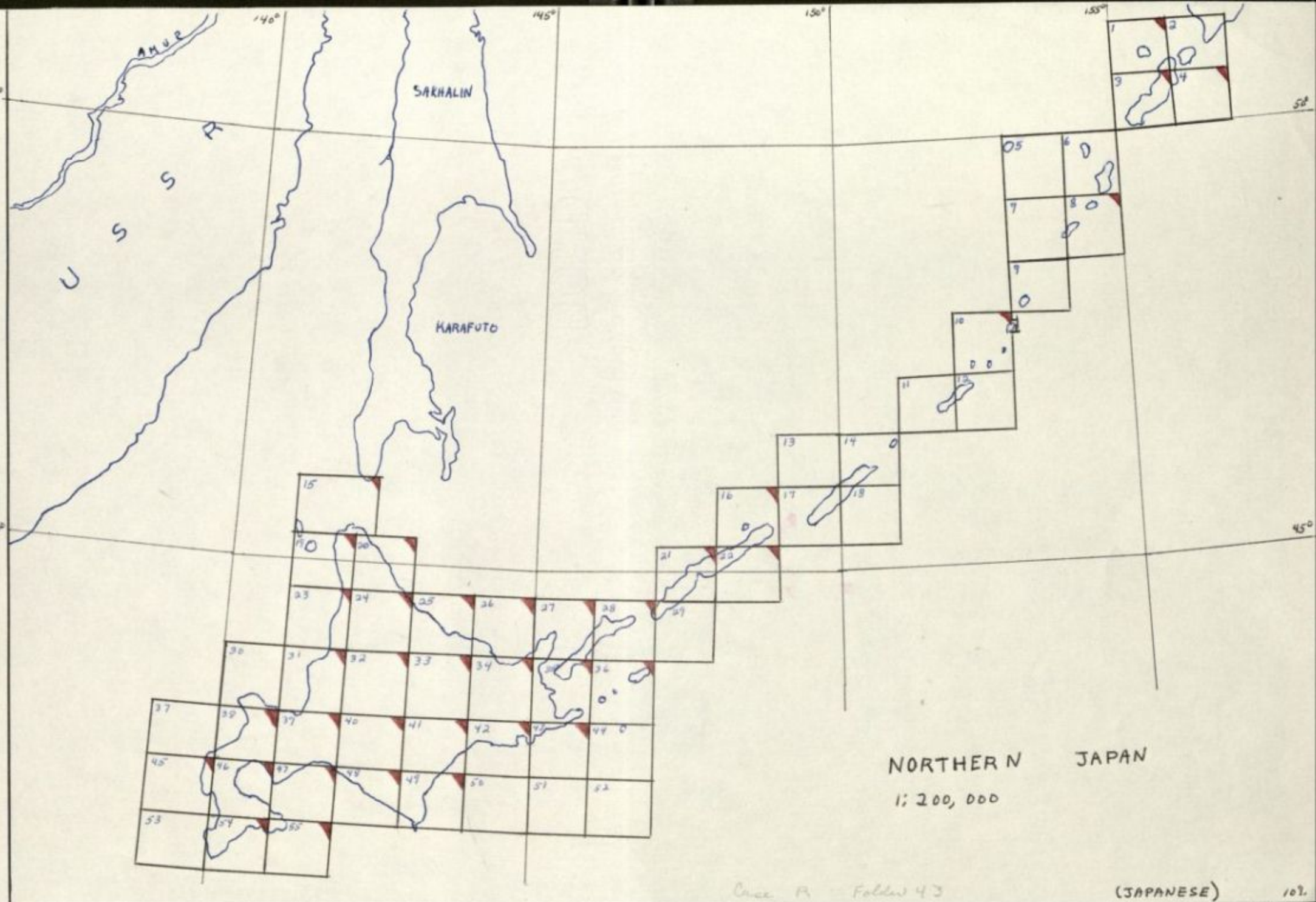

NORTHERN JAPAN

1:200,000

Case B Folder 43

(JAPANESE)

102.

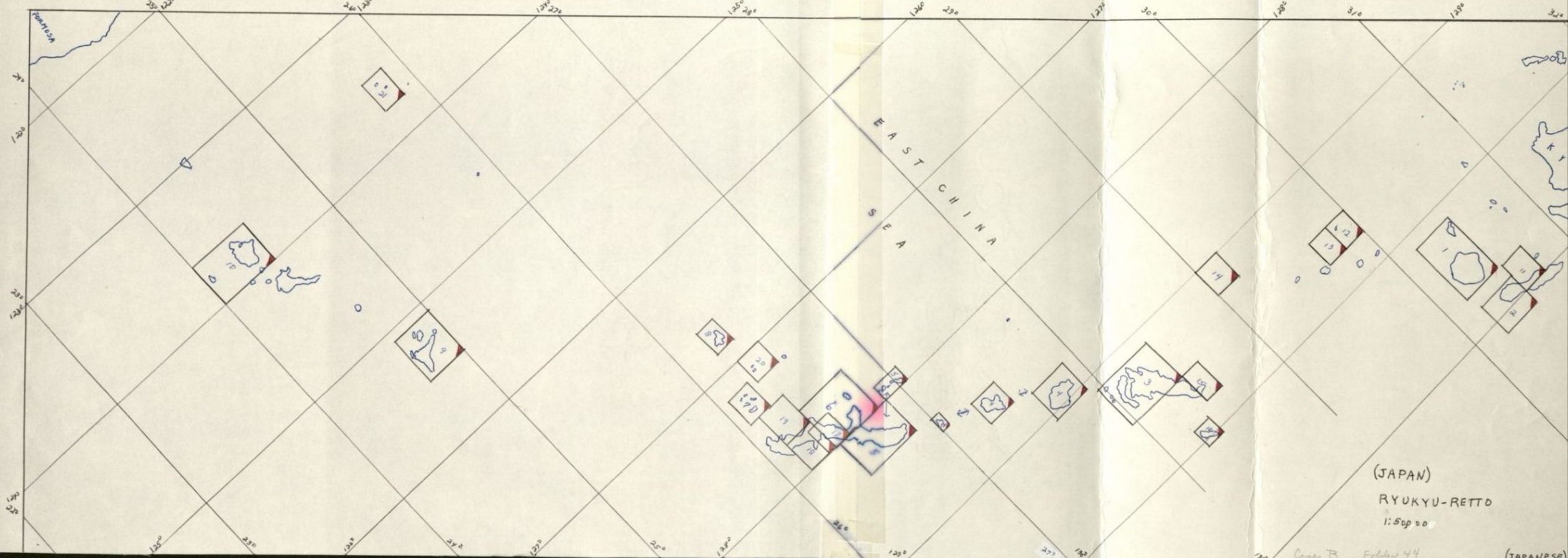
EAST CHINA SEA
(JAPAN)
RYUKYU-RETTO
1:500 000
Cover B
Folded 44
(JAPANESE)

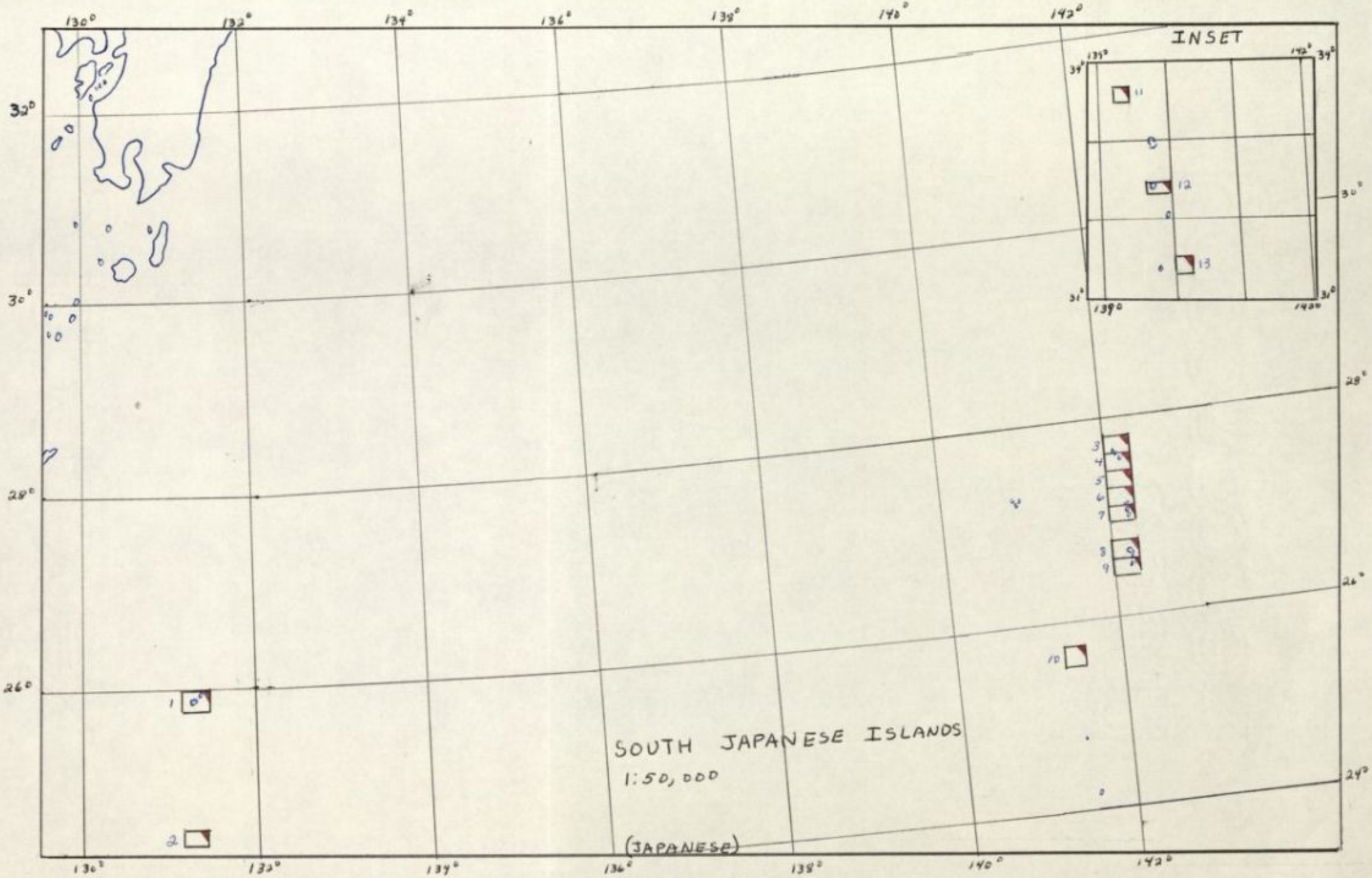
INSET
SOUTH JAPANESE ISLANDS
1:50,000
(JAPANESE)

MANCHURIA
120°
125°
130°
40°
35°
1
2
KOREA
1:500,000

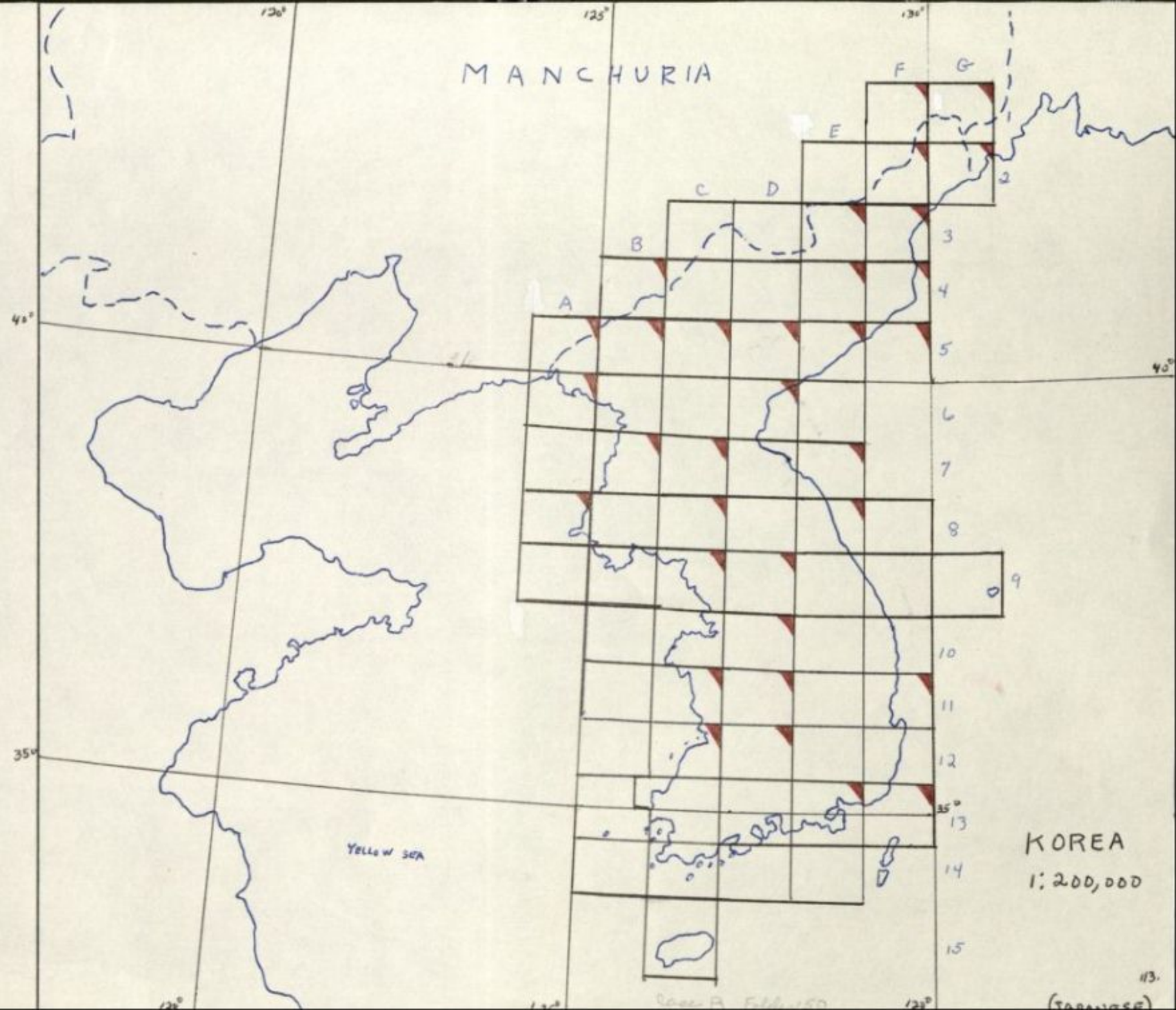

KOREA
1:200,000

(JAPANESE)

MANCHURIA
USSR
JAPAN
KOREA BAY
YELLOW SEA
HIGASHI CHOSEN WAN
TSU SHIMA
TSUSHIMA KAIKYO
CHOSEN KAIKYO
INDEX MAP
of
KOREA 1:50,000
A.M.S. L751
Published by
ARMY MAP SERVICE
MAPS IN STOCK
MAPS NOT IN STOCK
CORRECT TO JUNE 1946
ARMY MAP SERVICE, U.S. ARMY, WASHINGTON, D.C. 150773
9-46
AMS L751


MANCHURIA
KOREA
YELLOW SEA
HIGASHI CHOSEN WAN
CHOSEN KAIKYO
TSUSHIMA KAIKYO
TSU SHIMA
INDEX MAP
of
KOREA
1:25,000
MAPS IN STOCK
(JAPANESE)
CORRECT TO JUNE 1945
ARMY MAP SERVICE, U.S. ARMY.

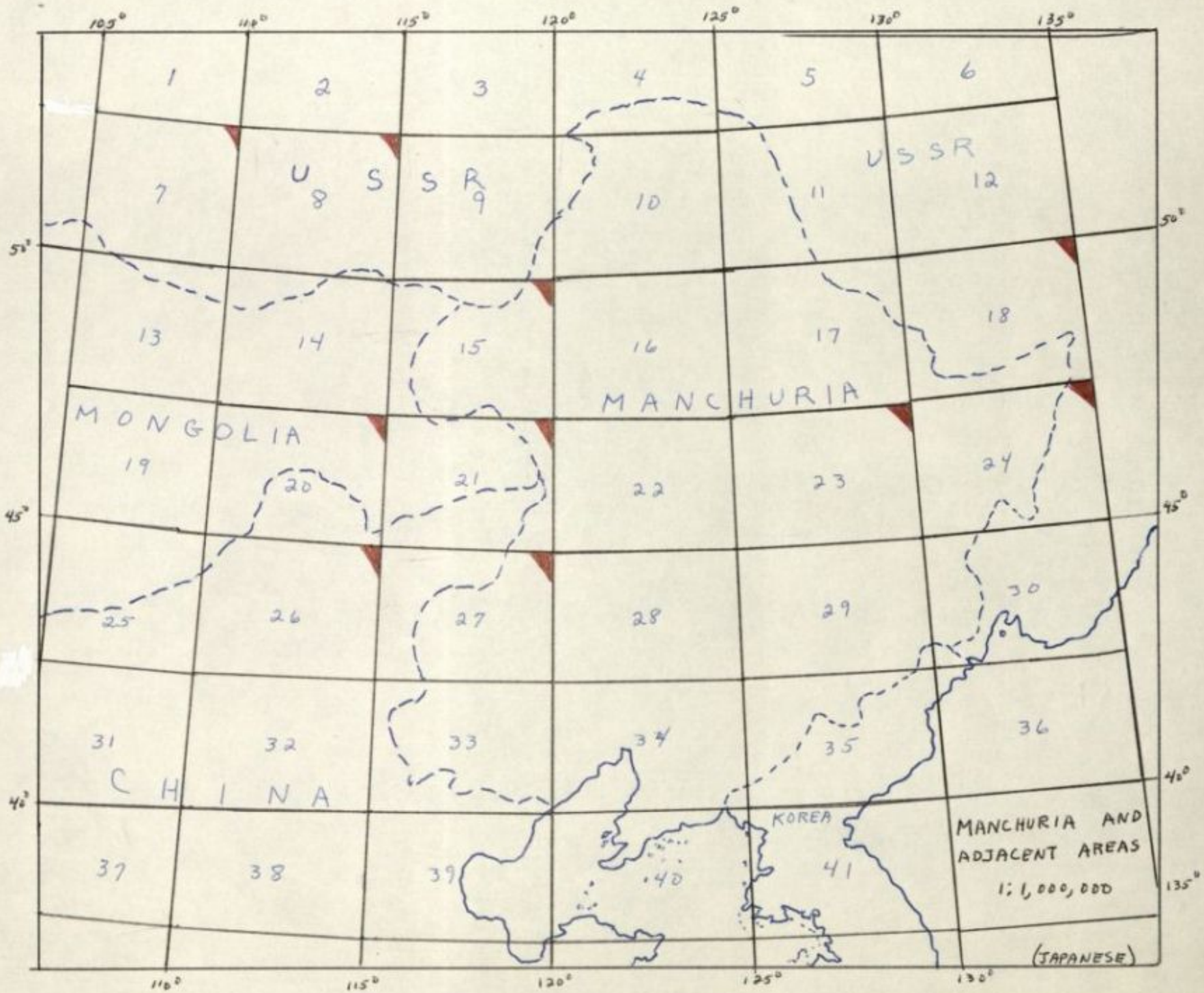
105°
110°
115°
120°
125°
130°
135°
50°
45°
40°
1
2
3
4
5
6
7
8
9
10
11
12
13
14
15
16
17
18
19
20
21
22
23
24
25
26
27
28
29
30
31
32
33
34
35
36
37
38
39
40
41
USSR
USSR
MANCHURIA
MONGOLIA
CHINA
KOREA
MANCHURIA AND
ADJACENT AREAS
1:1,000,000
(JAPANESE)

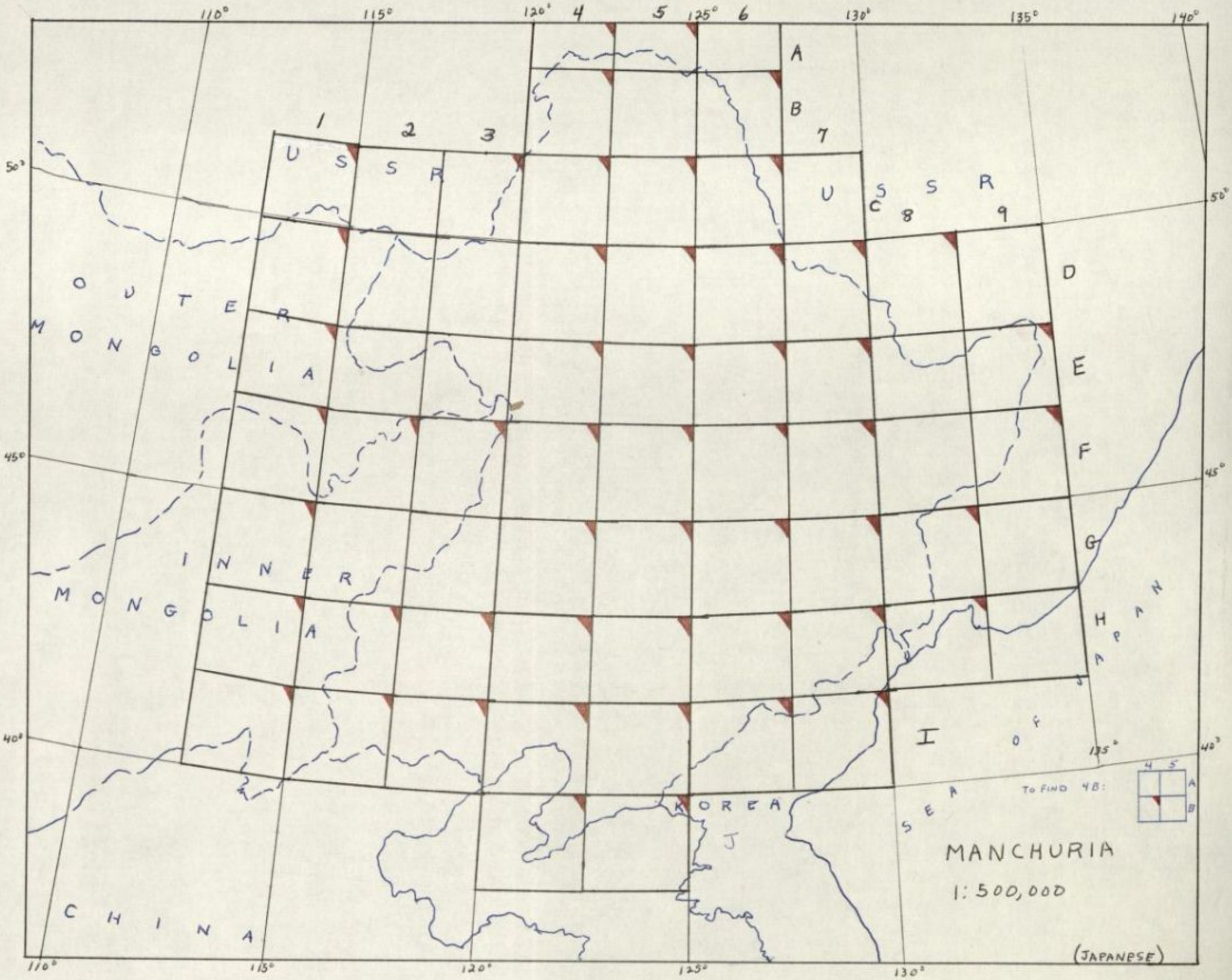

Case B Folder 52

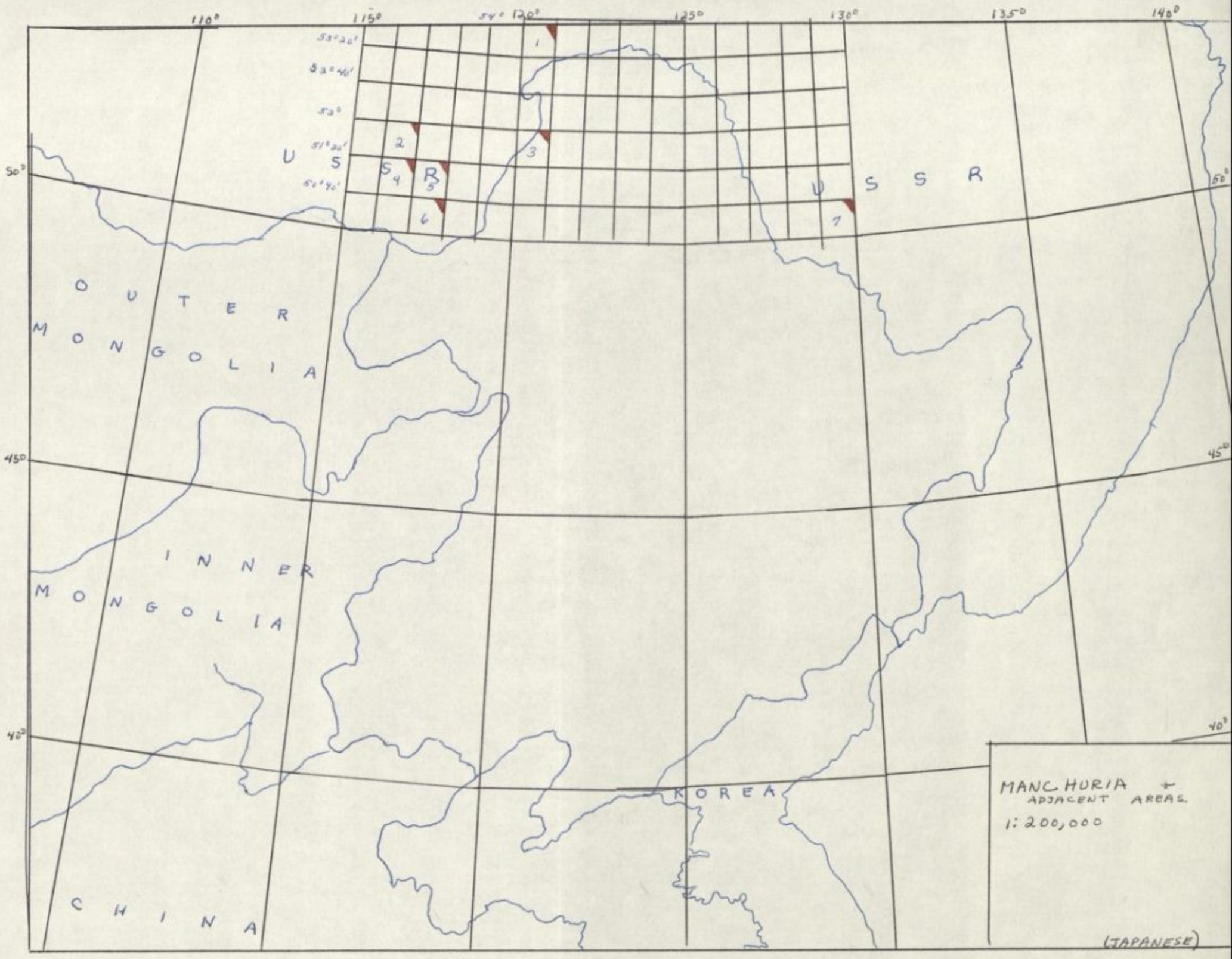

Case R Folder 52

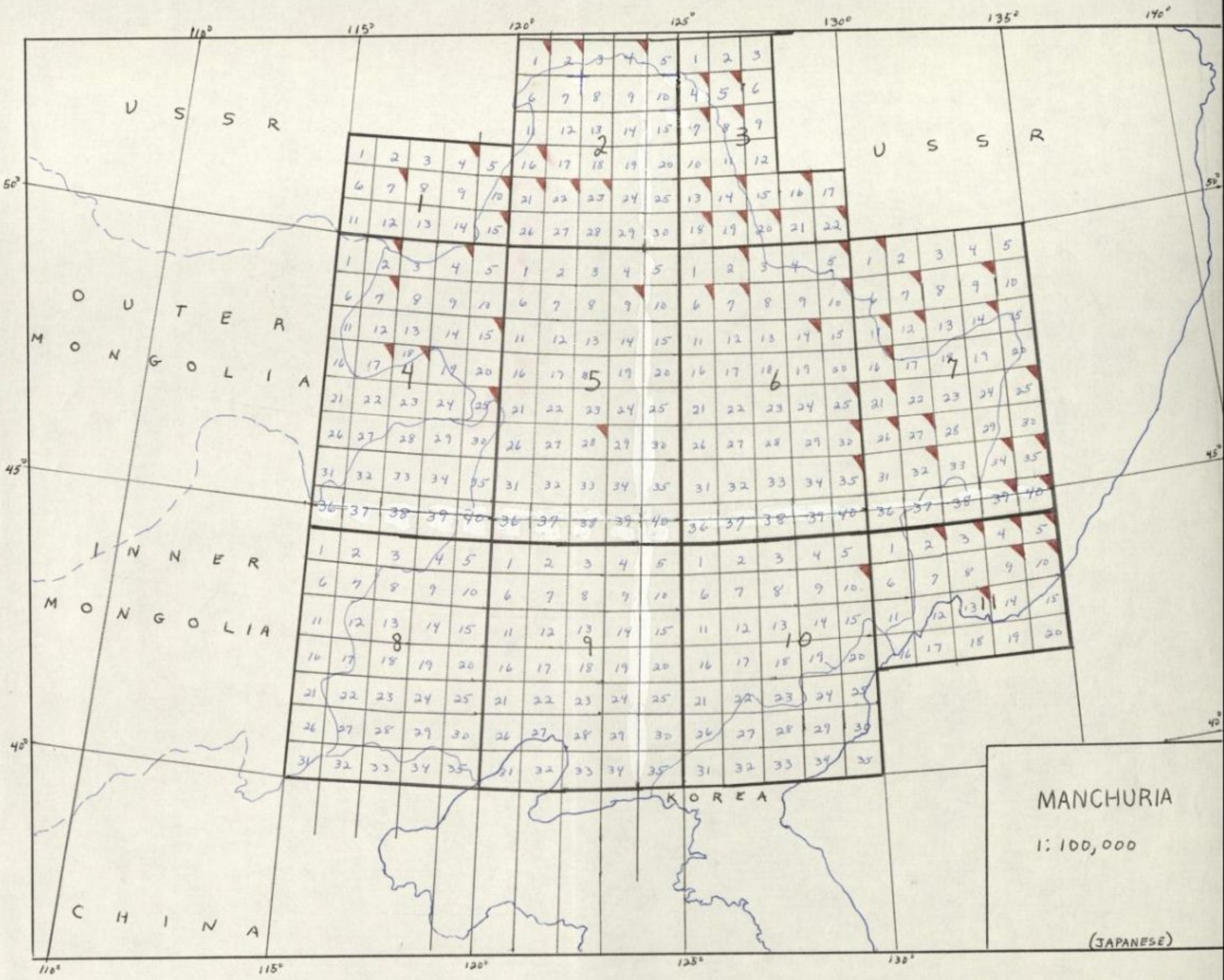

Case R Folder 53

125.

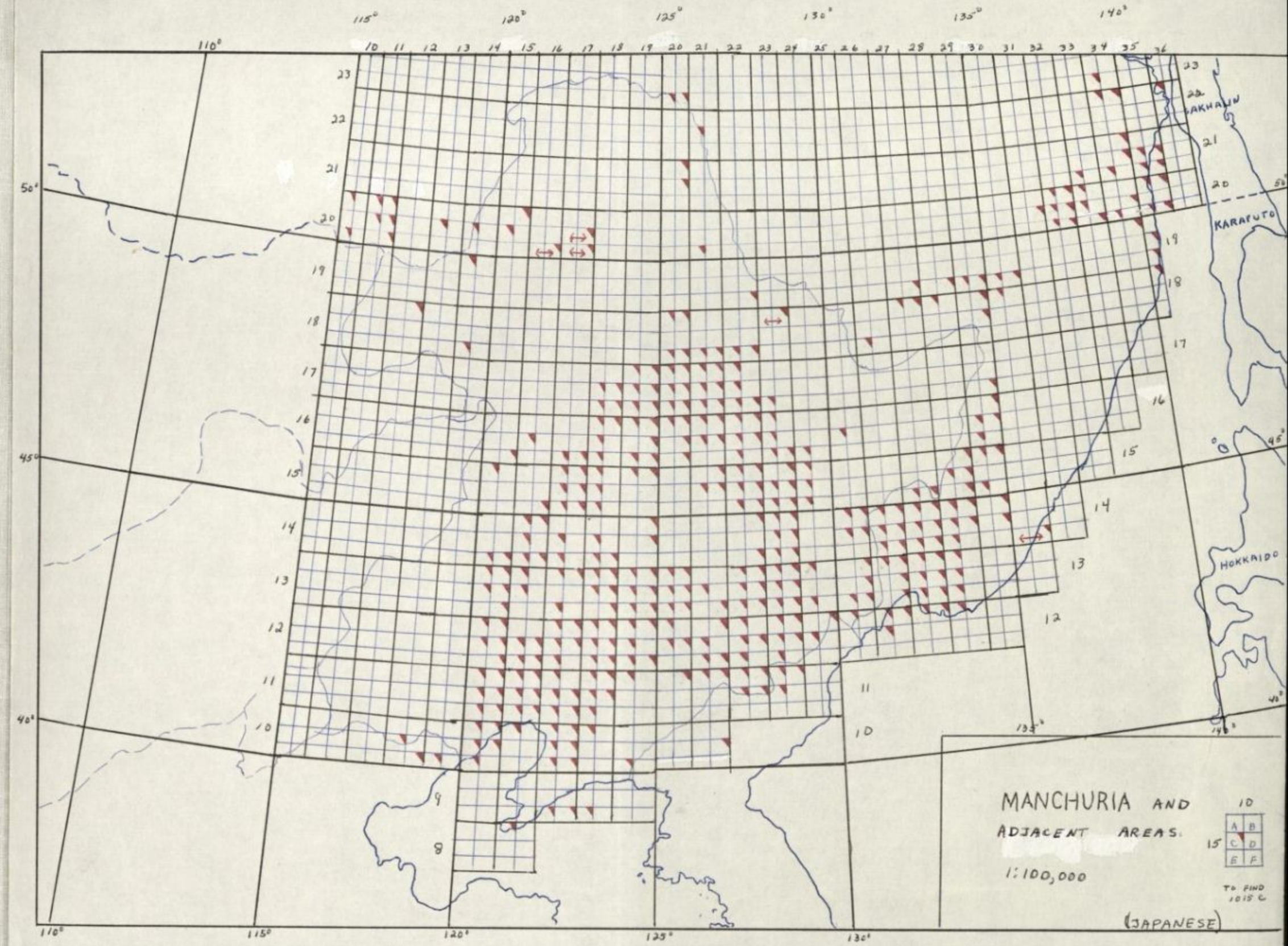

Case B Folliaes 54 + 55

USSR
USSR
A
B
C
D
E
HARBIN
KIRIN
FENGTIEN
LAKE
KOREA
MANCHURIA
1:50,000
YELLOW SEA

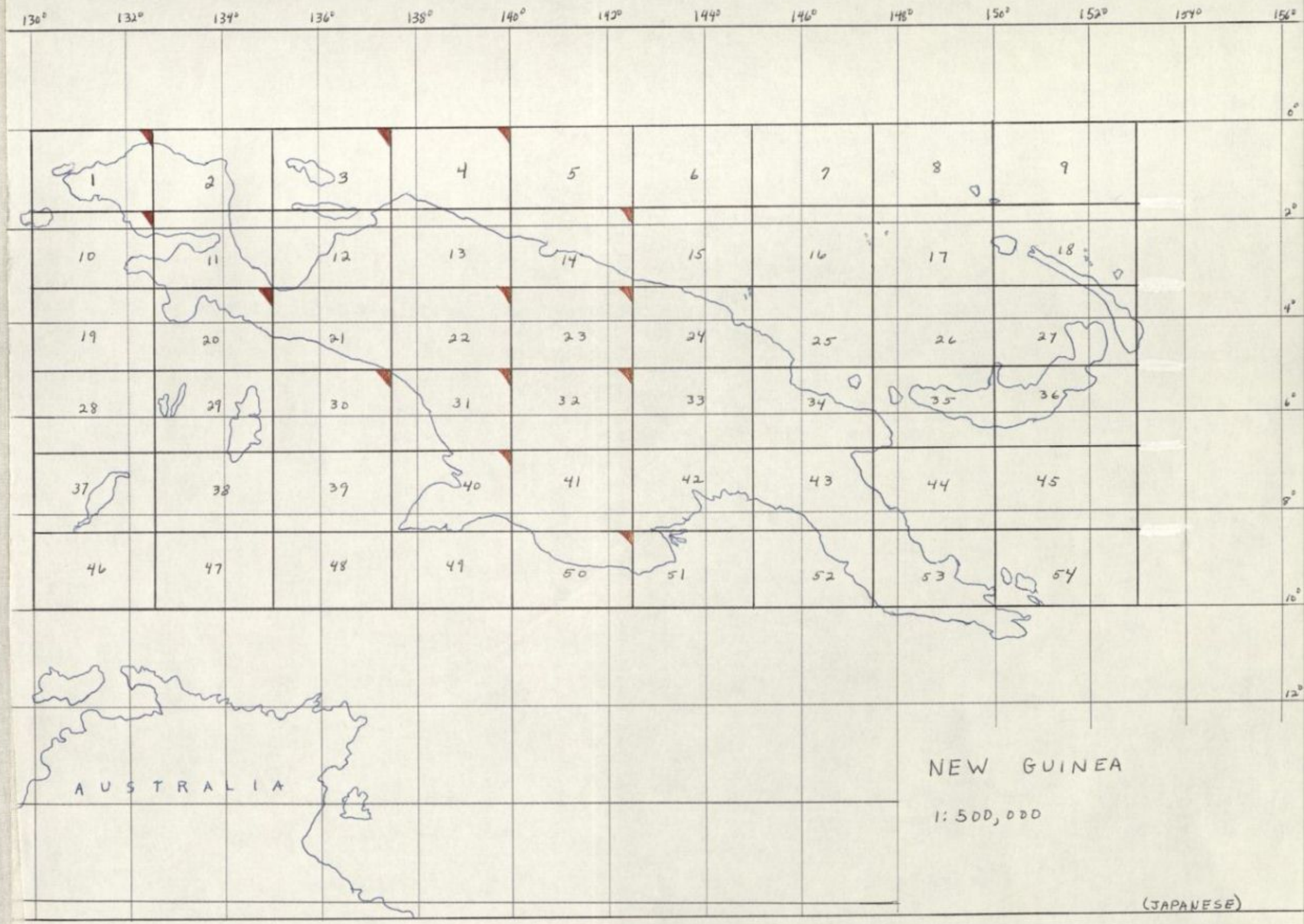

NEW GUINEA

1:500,000

(JAPANESE)

Case R. Folder 57

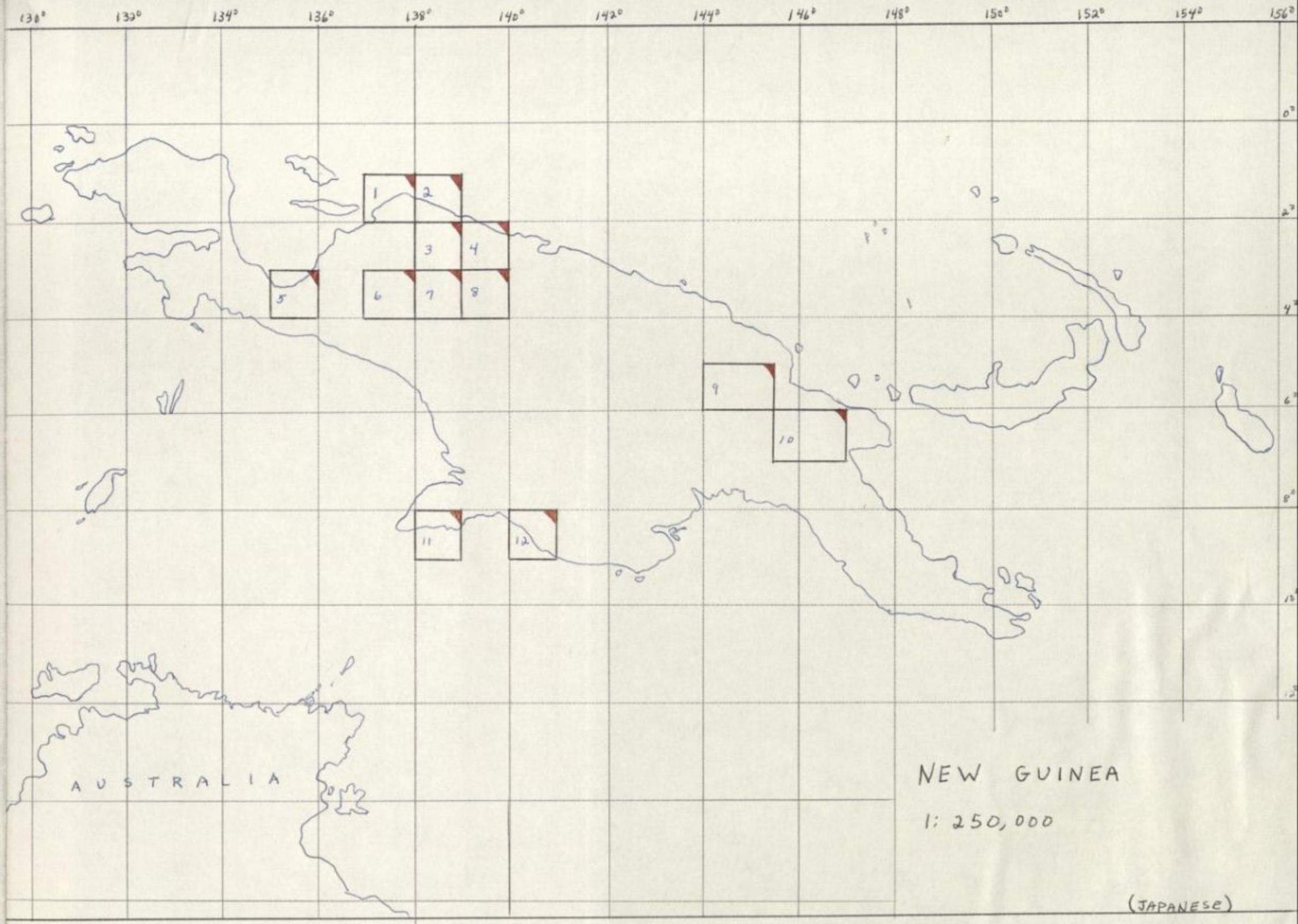

NEW GUINEA

1: 250,000

(JAPANESE)

Case R Folder 57

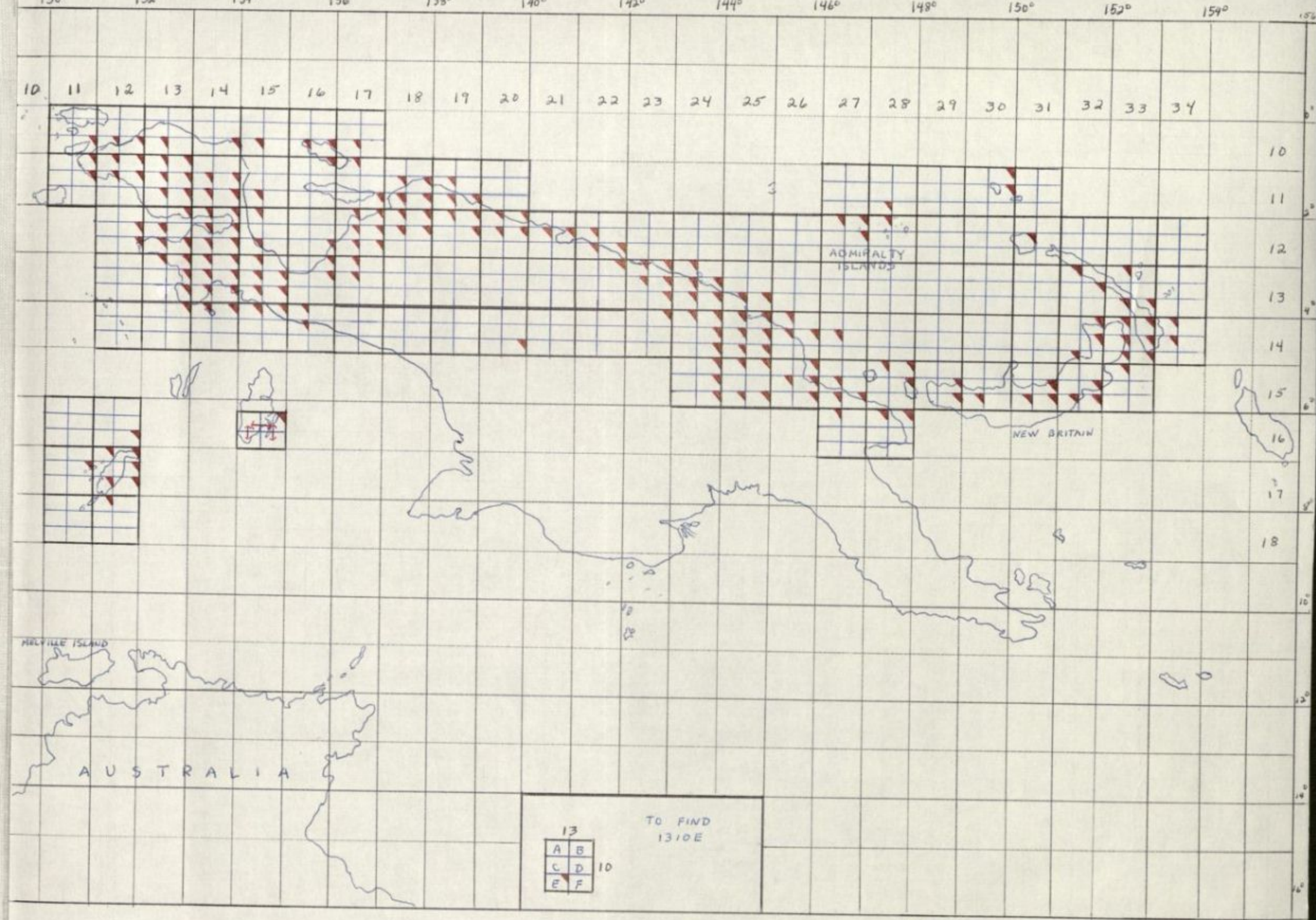

NEW GUINEA
1:100,000

Cruise R. Fieldwork 57 + 58

(JAPANESE) 131.

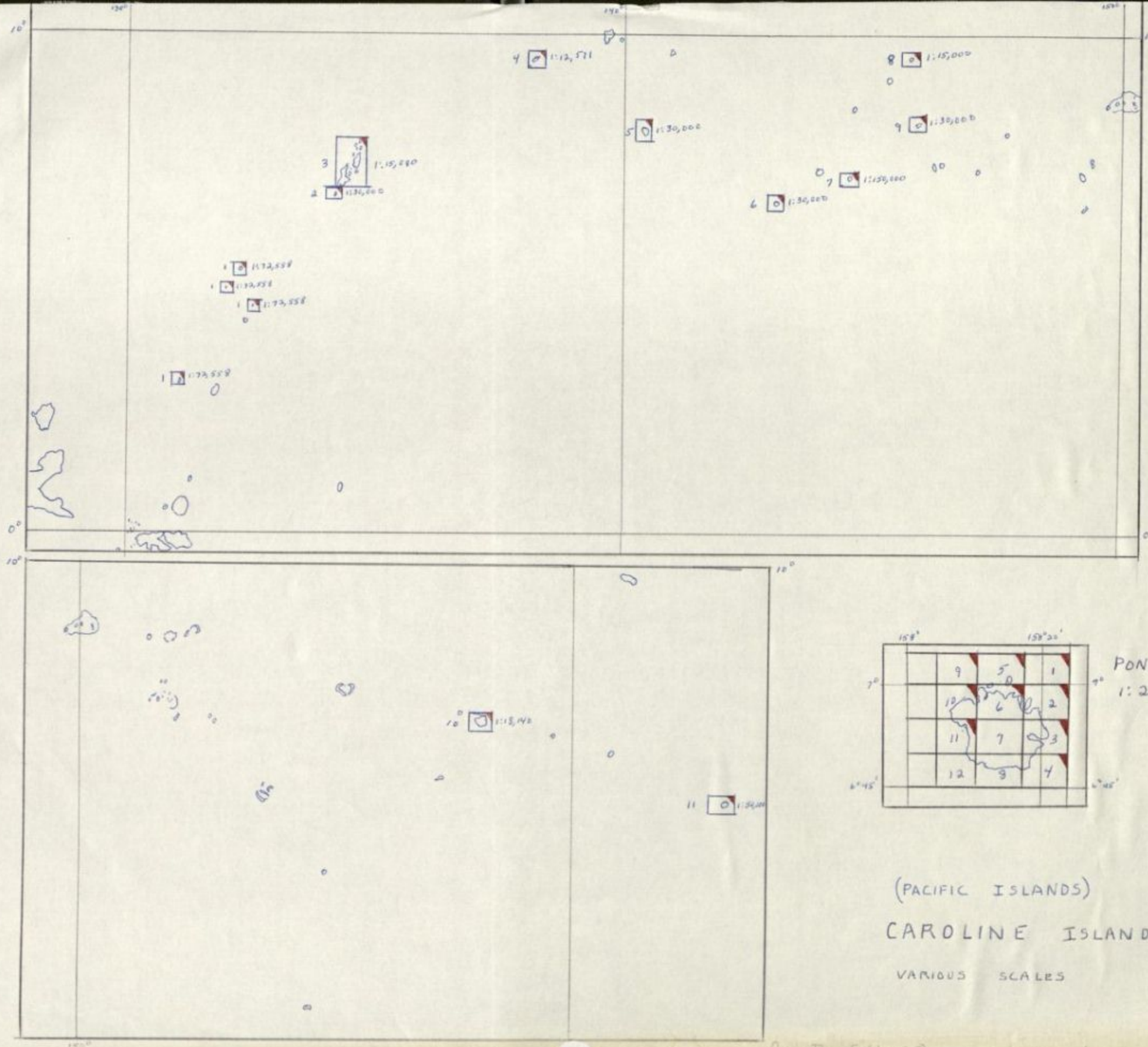

(PACIFIC ISLANDS)

CAROLINE ISLANDS

VARIOUS SCALES

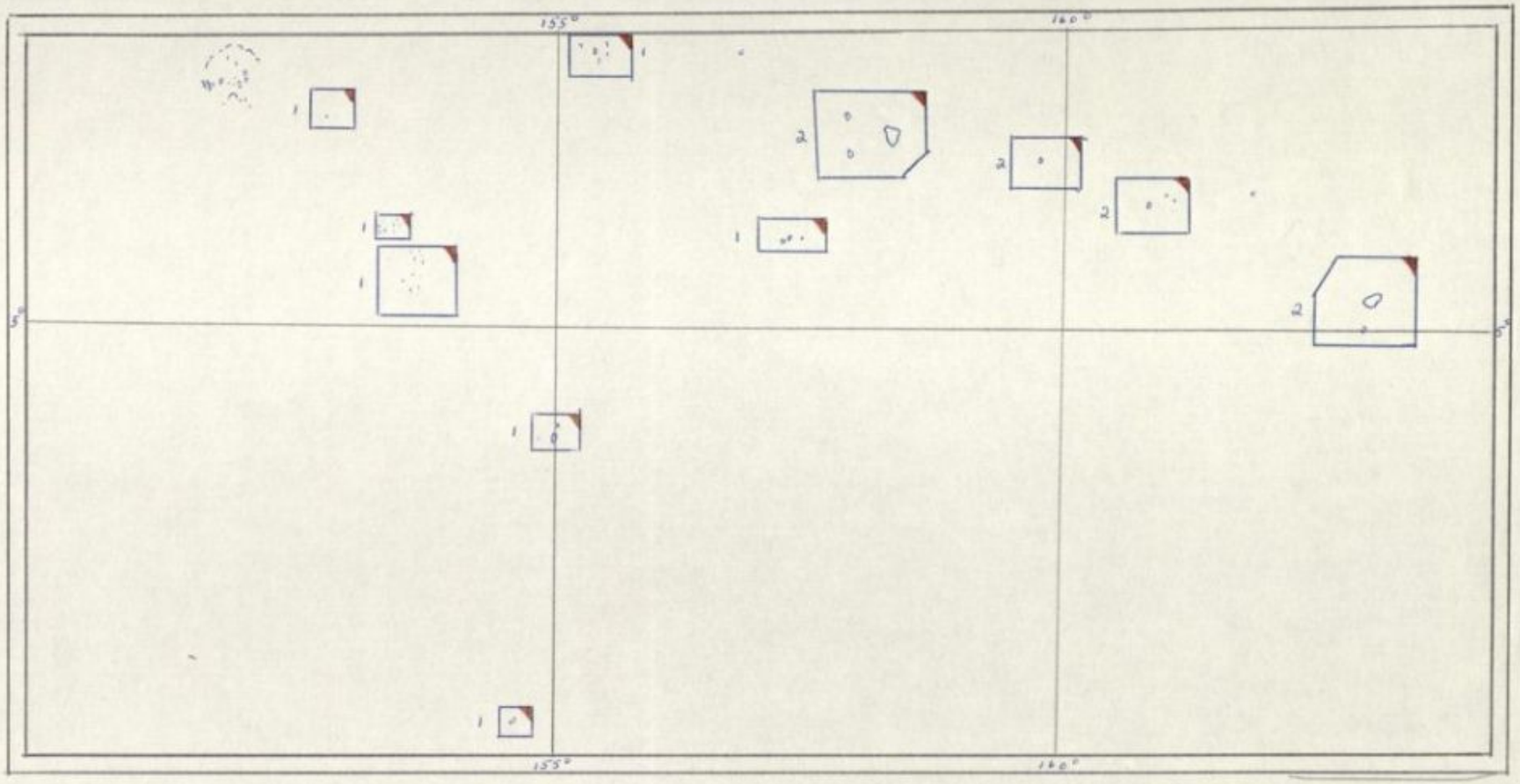

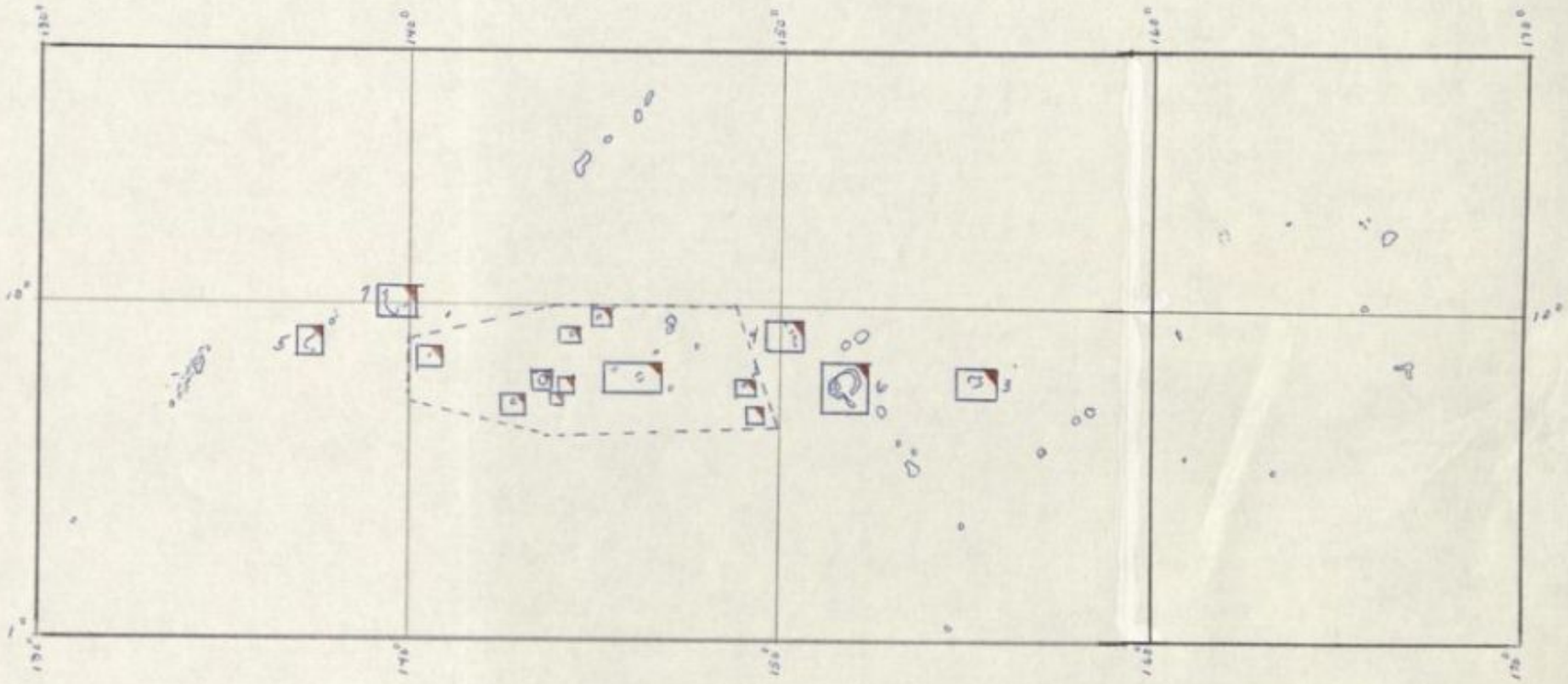

(PACIFIC ISLANDS) CAROLINE ISLANDS

1:100,000

Case R Folder 38

(JAPANESE)

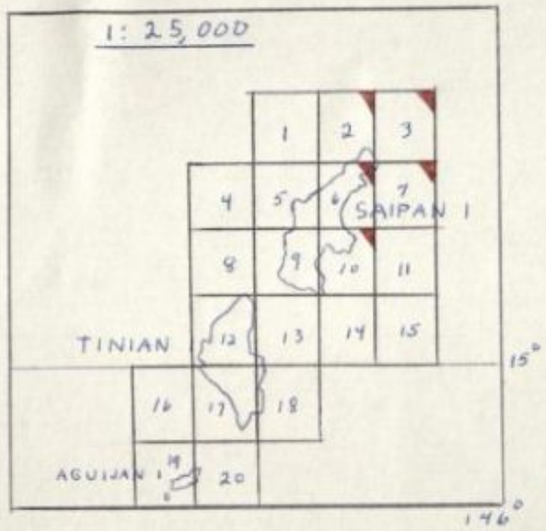

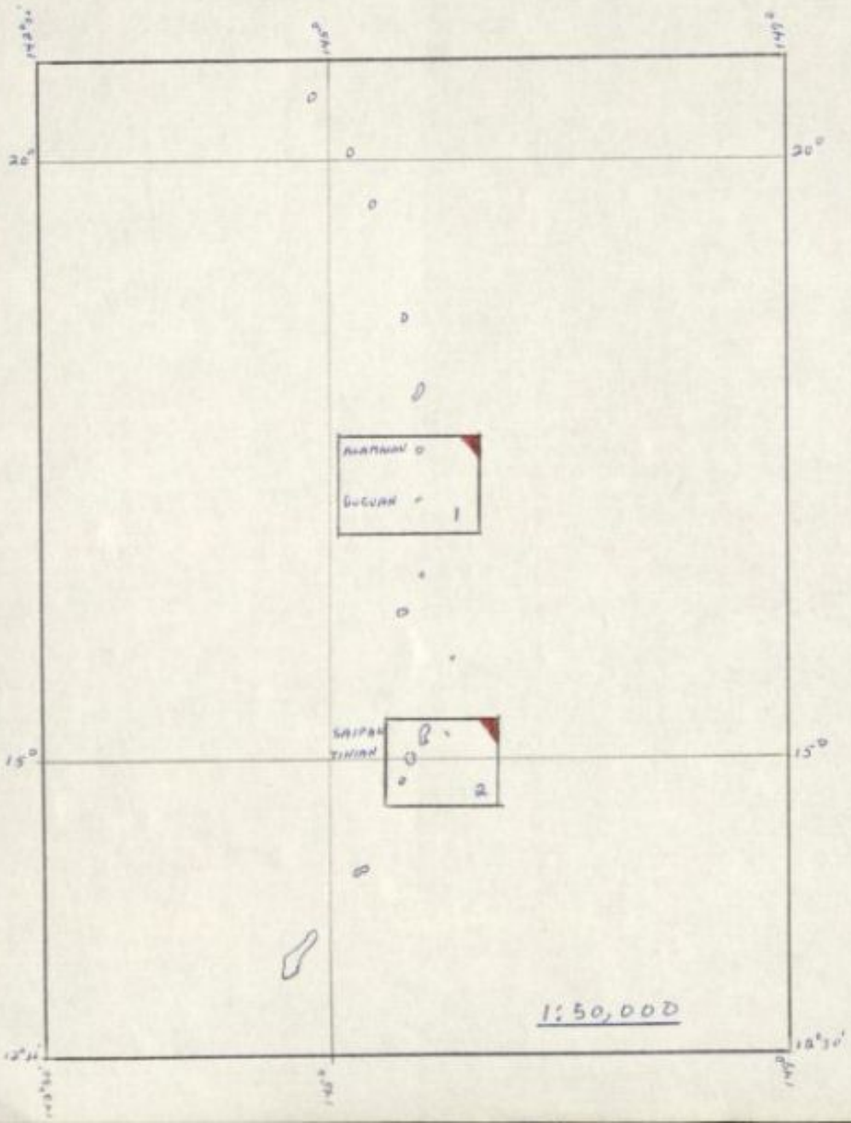

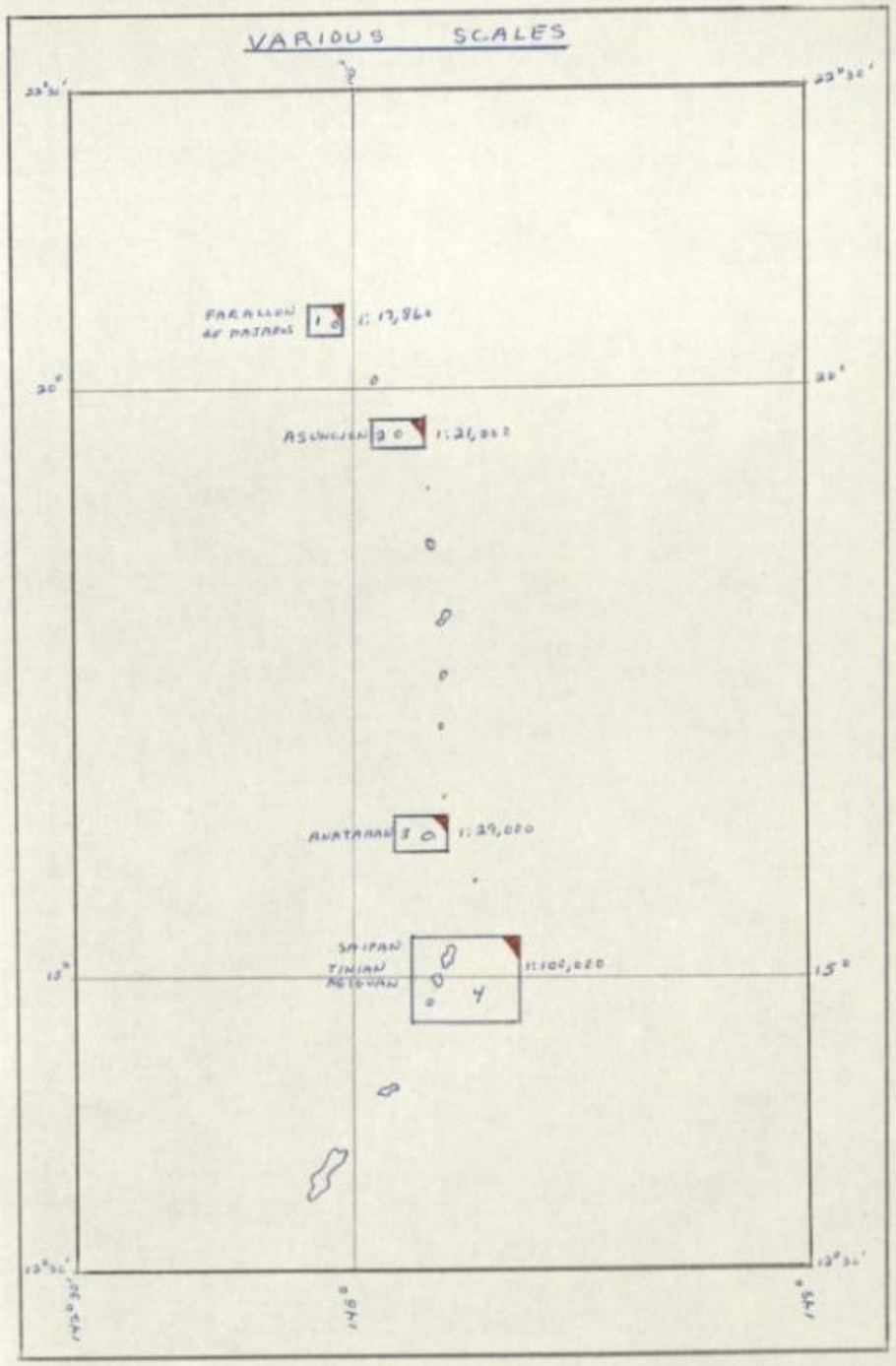

(PACIFIC ISLANDS)

MARIANAS ISLANDS

VARIOUS SCALES

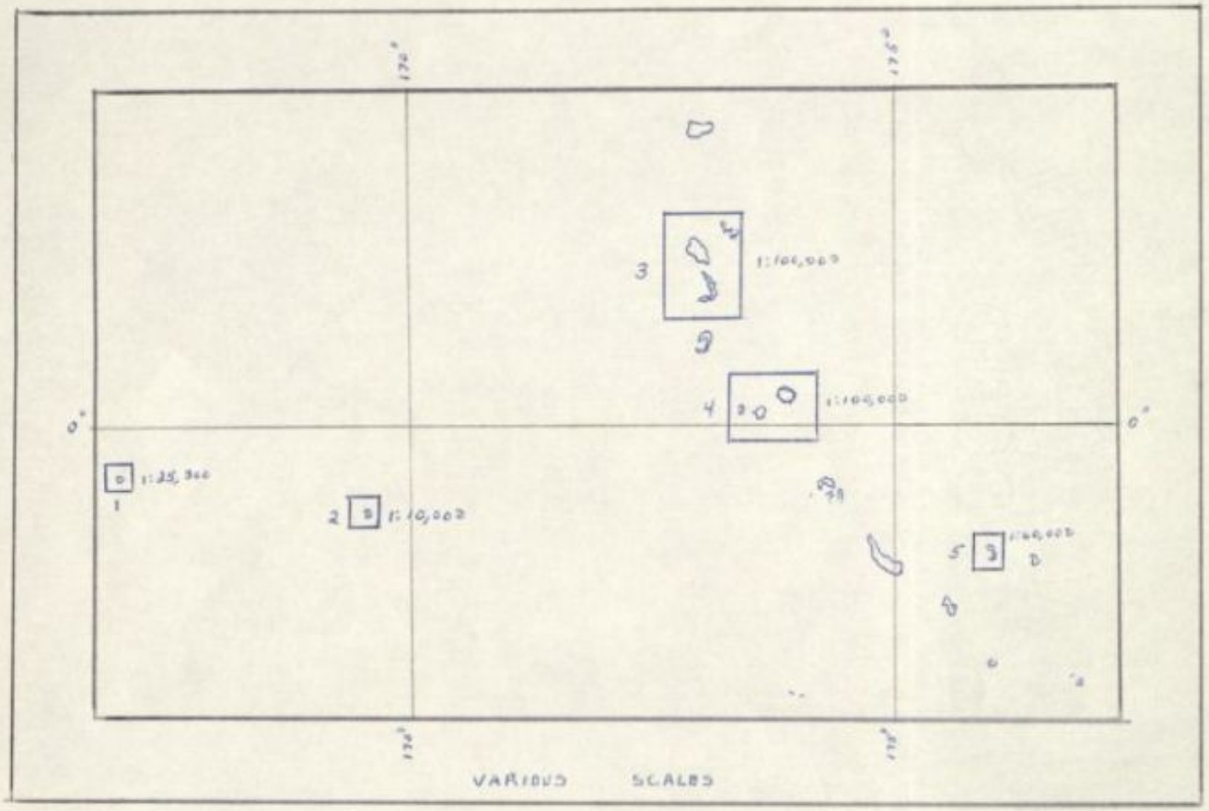

GILBERT ISLANDS

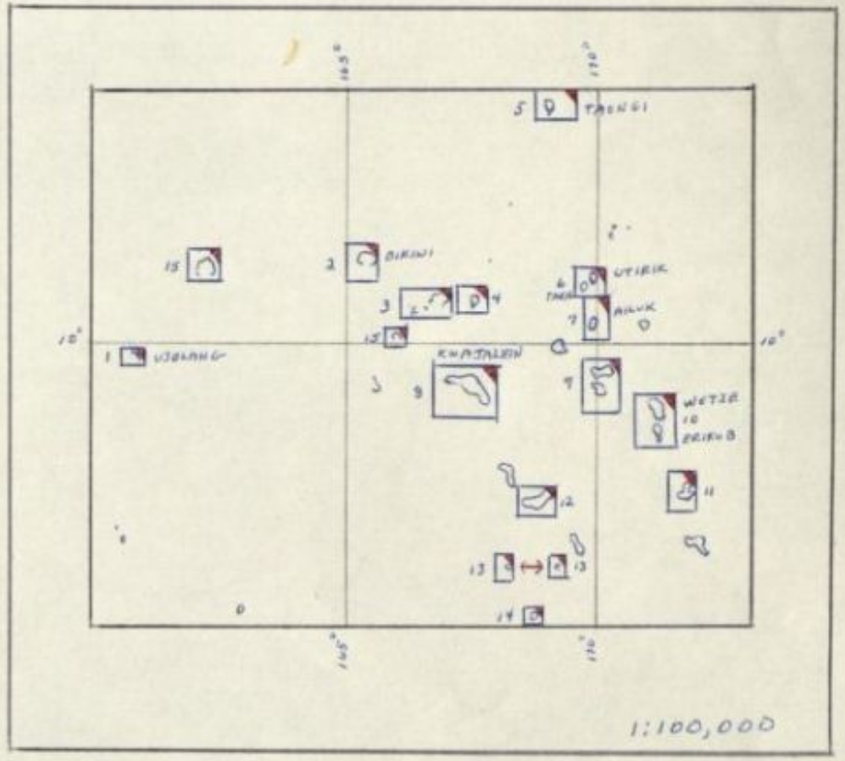

MARSHALL ISLANDS

(PACIFIC ISLANDS)

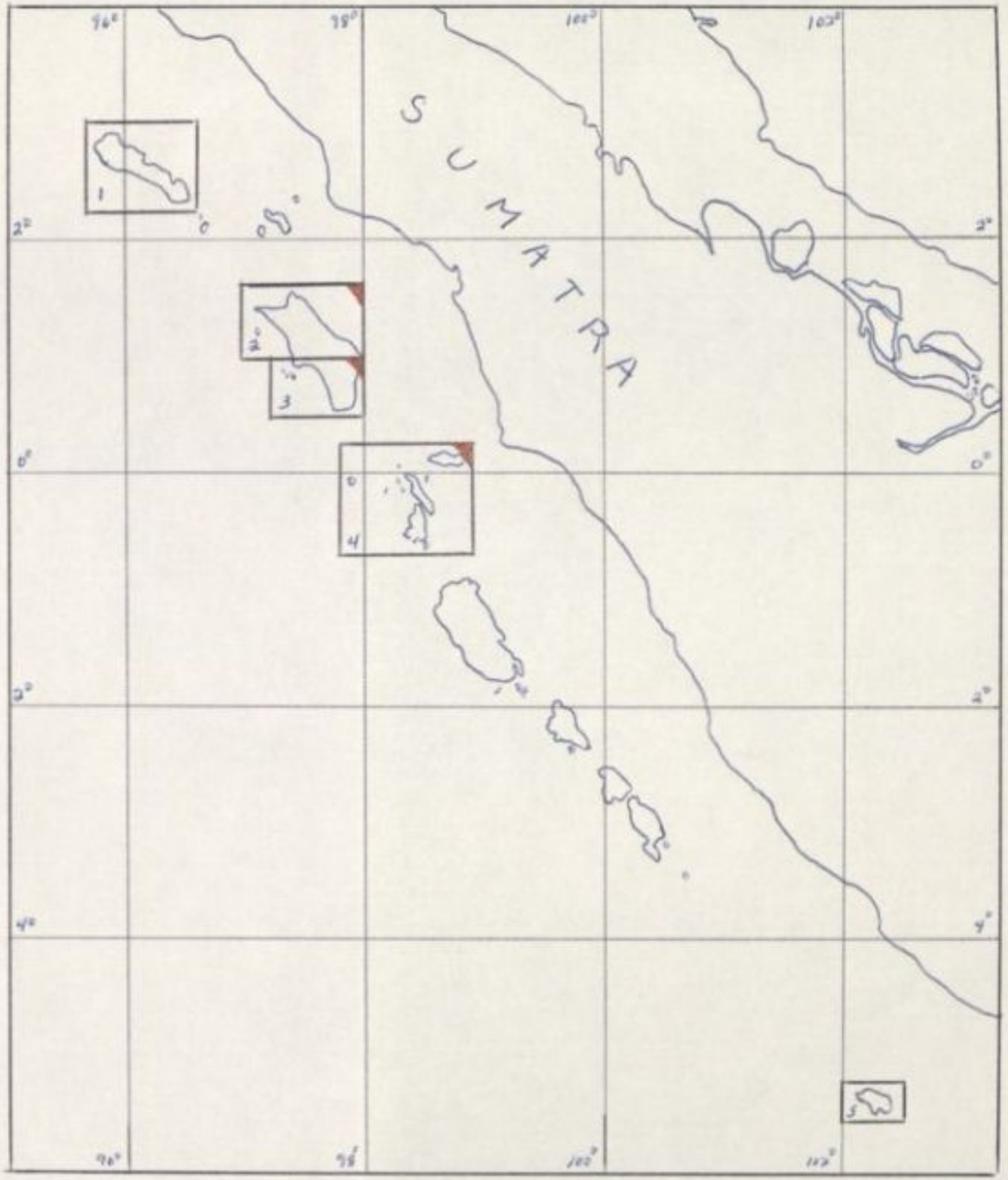

(PACIFIC ISLANDS) SOENDA ISLANDS

1:100,000

(JAPANESE) 142.

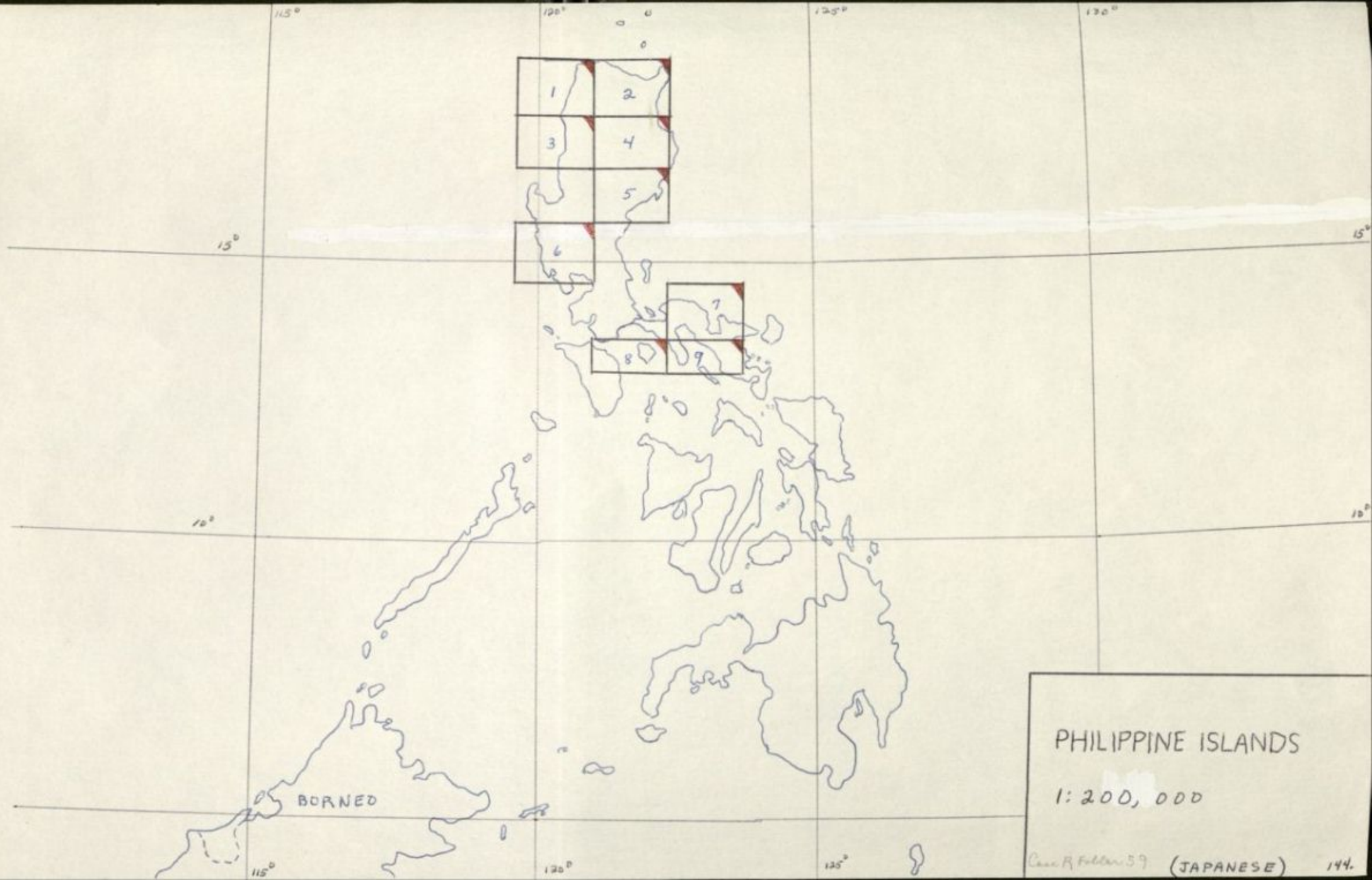

PHILIPPINE ISLANDS

1:200,000

Cmdr R Fuller 59 (JAPANESE) 144.

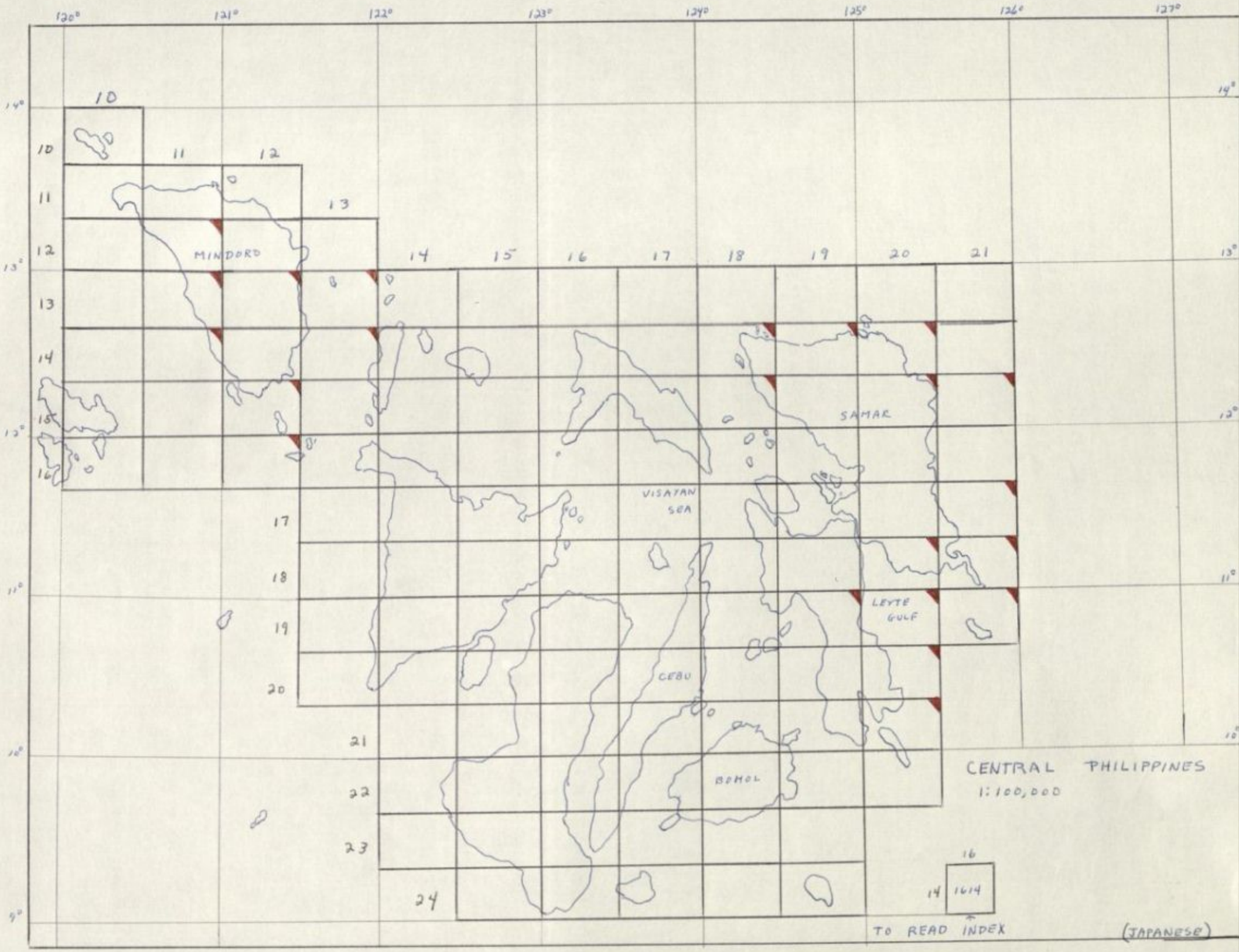

Case R Folder 59

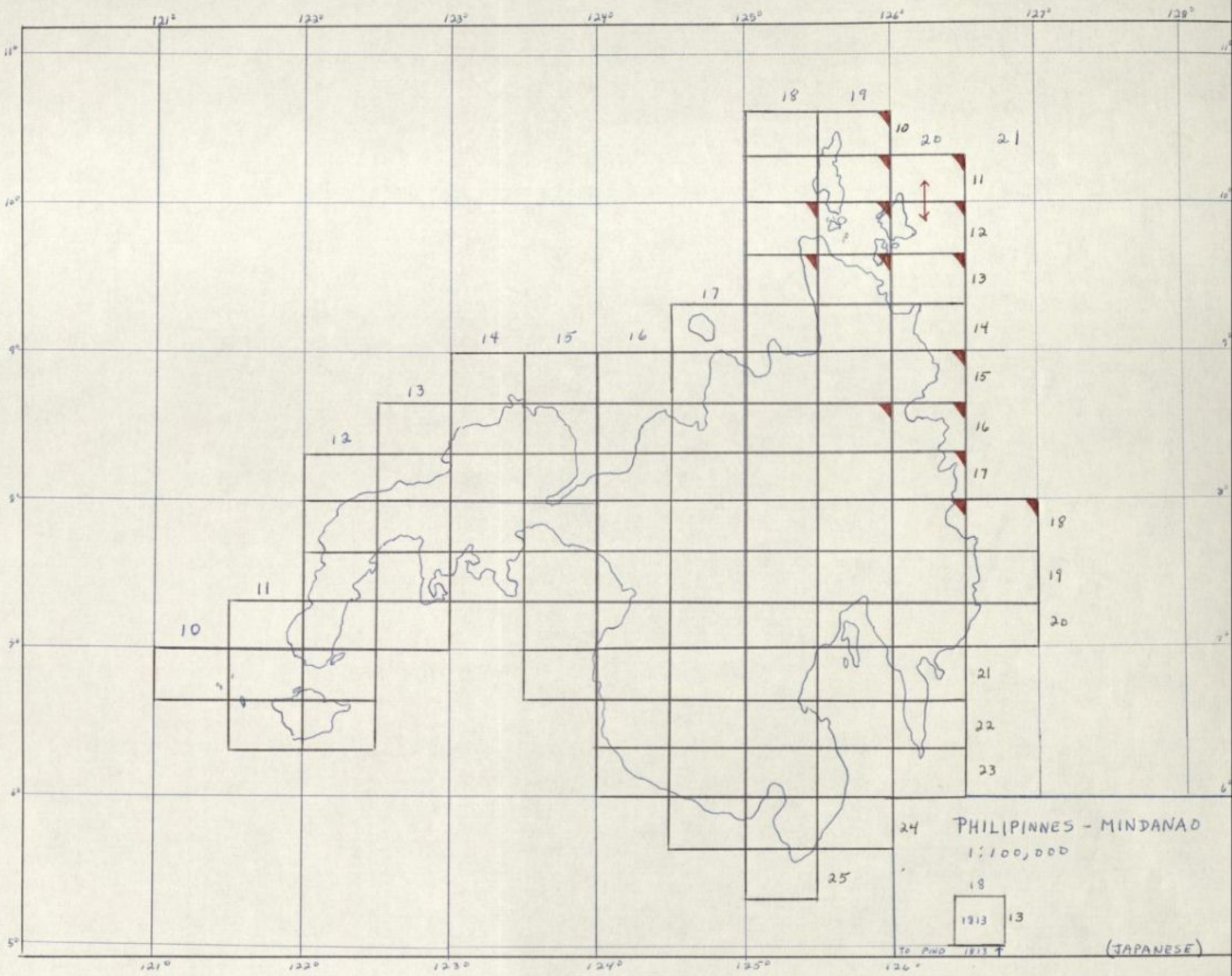

Case R Folder 59

PHILIPPINES – LUZON

1: 50,000

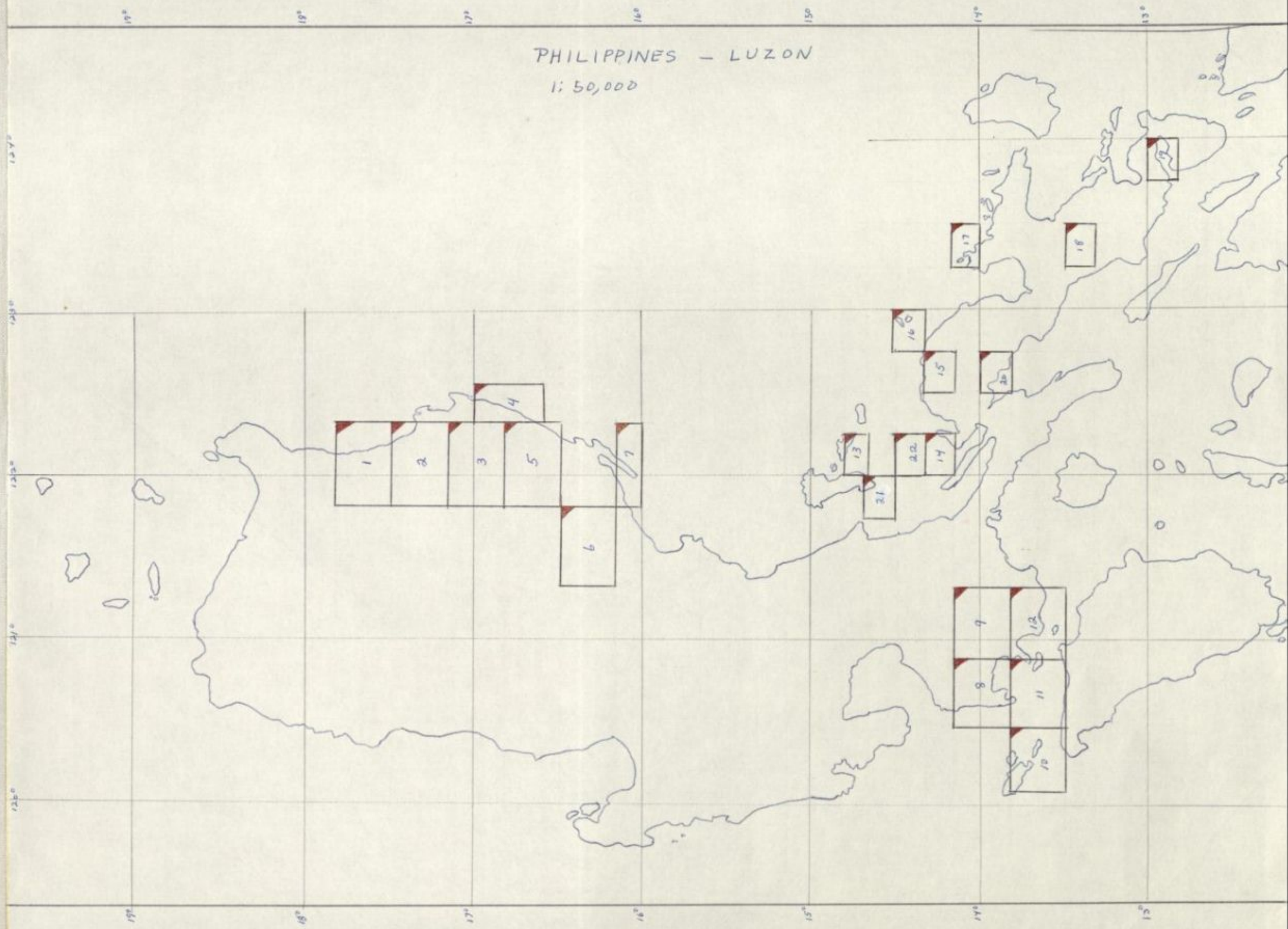

Cross R. Folder 59

Numbering does not necessarily correspond to the numbers shown on the indexes on the individual sheets.

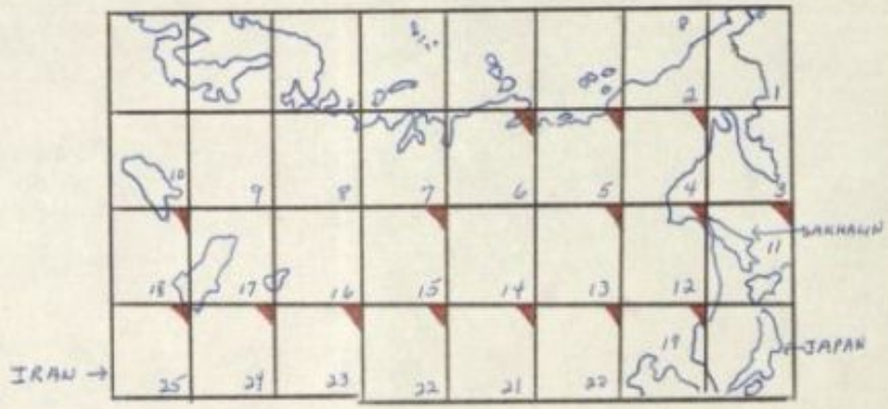

U. S. S. R.

1: 2,500,000

Case R Folder 60

(JAPANESE) 181.

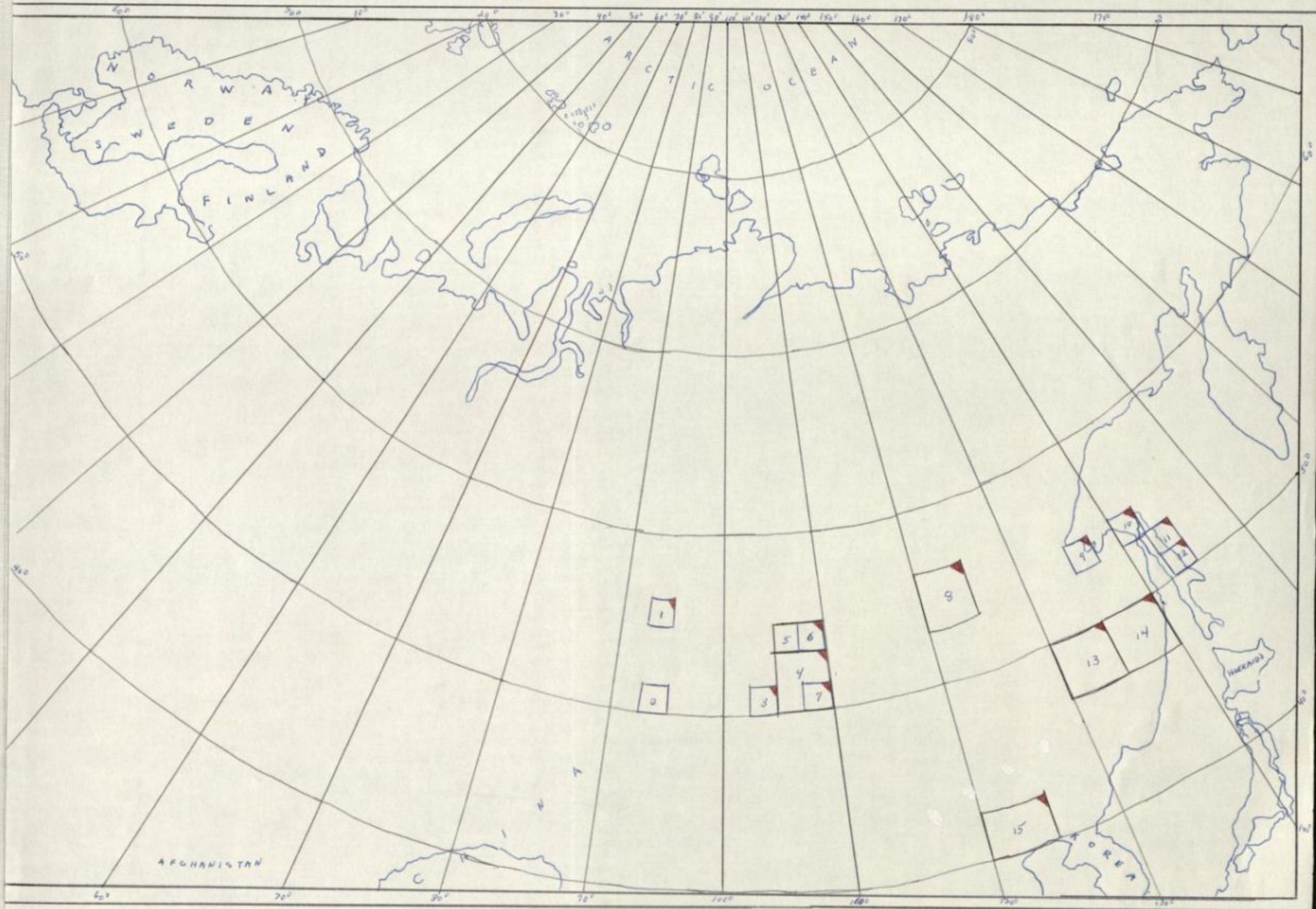

U. S. S. R.
1:500,000

Case R Folder 60

(JAPANESE) 182.

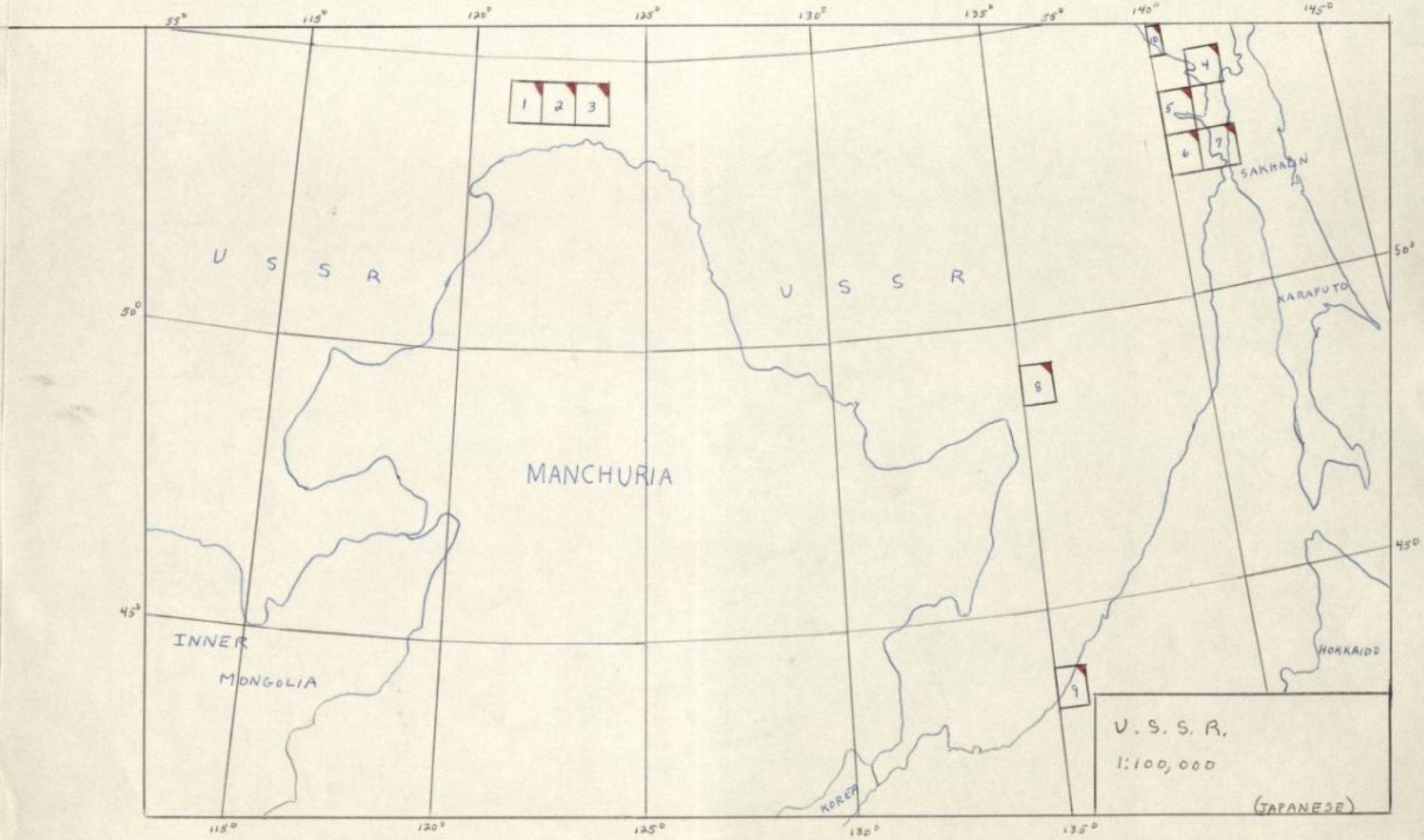

Cass R. Feb. 1960

Case R Folder 60

(JAPANESE)

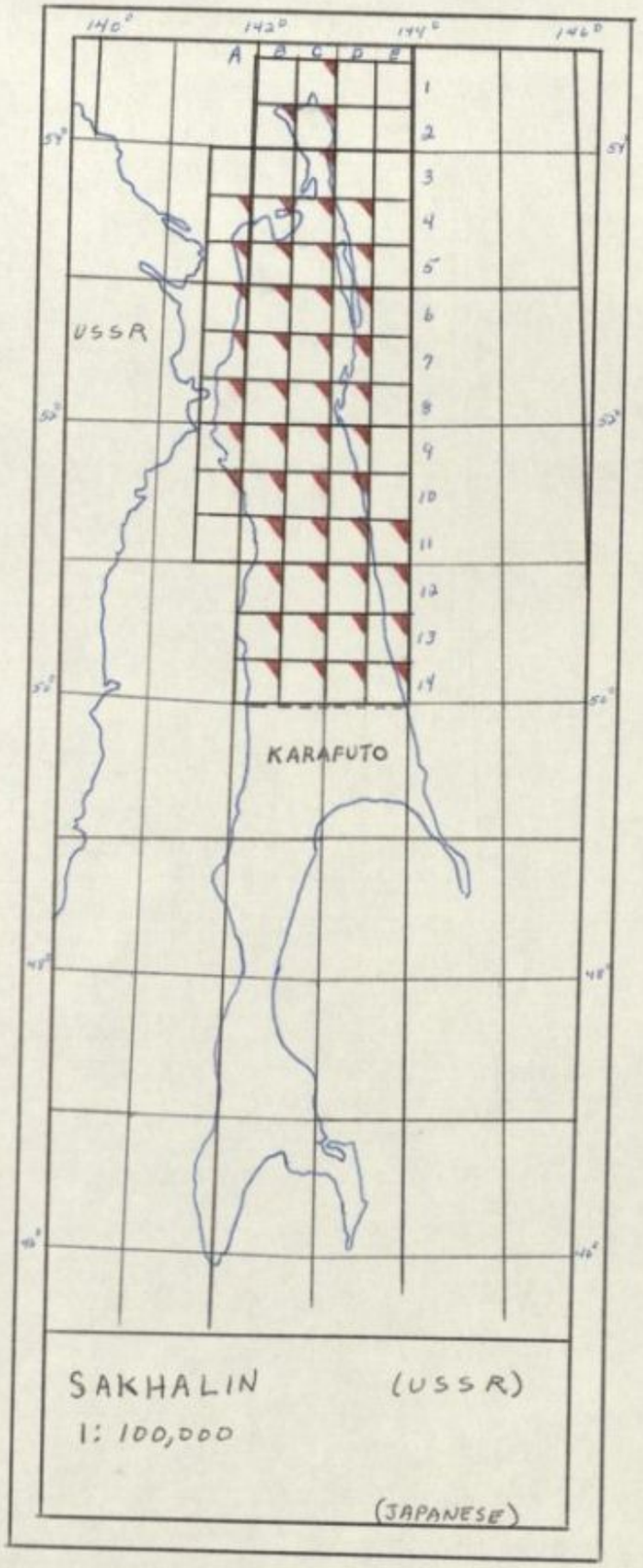

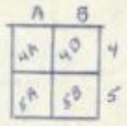

To READ:

Case R Folder 60

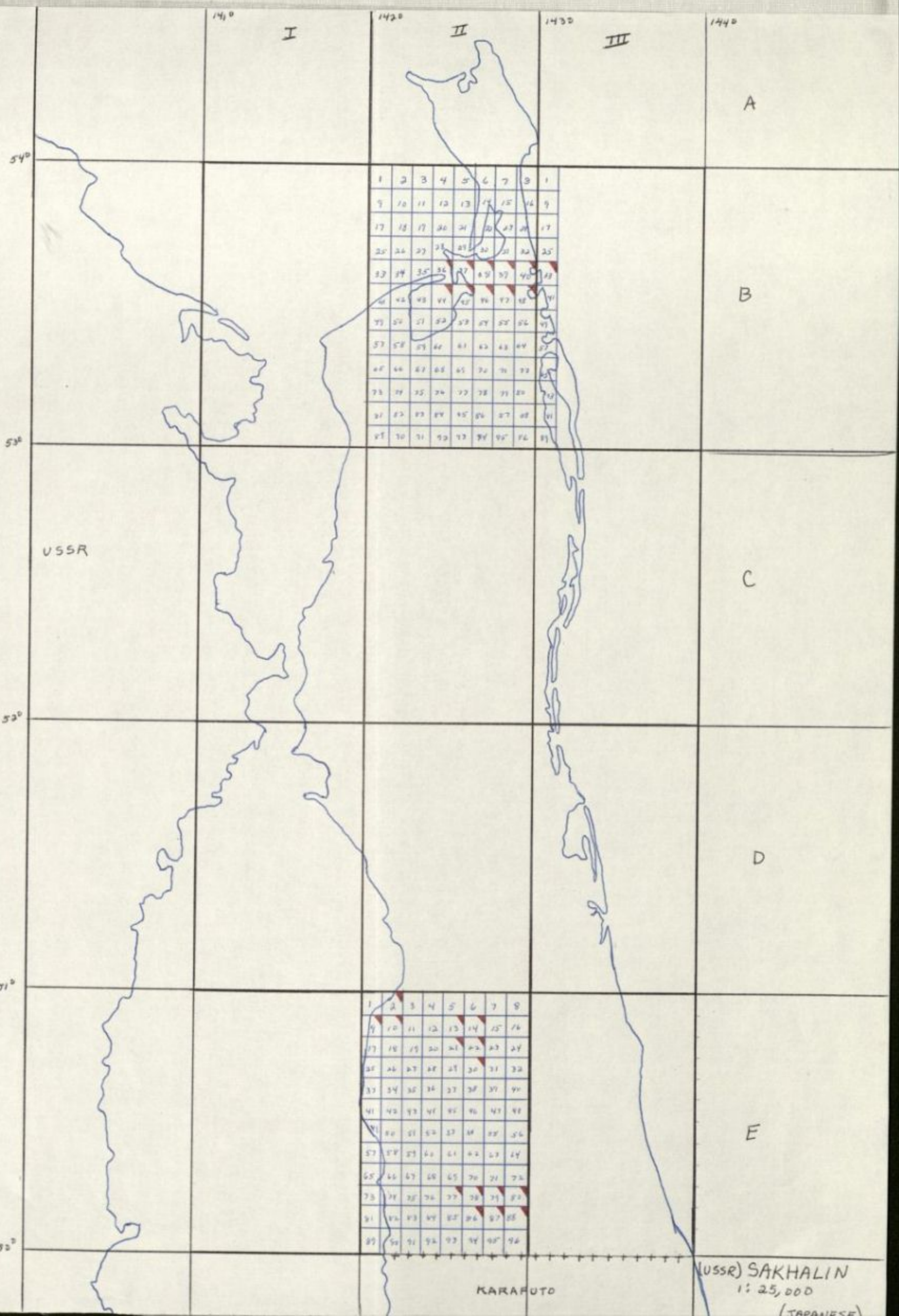

Comm. R. Fellows 60

186.